Beyond the Model: A Practical Guide to Validating Movement Ecology Approaches in Biomedical Research

Generated at: 2026-03-30
Source URL: https://www.ecologysci.com/posts/beyond-the-model-a-practical-guide-to-validating-movement-ecology-approaches-in-biomedical-research

Beyond the Model: A Practical Guide to Validating Movement Ecology Approaches in Biomedical Research

Abstract

This article provides researchers, scientists, and drug development professionals with a comprehensive framework for the validation of movement ecology models. It explores the foundational principles of key statistical models like Resource Selection Functions (RSF), Step Selection Functions (SSF), and Hidden Markov Models (HMMs), detailing their specific applications and assumptions. The content delivers actionable methodologies for implementation, addresses common troubleshooting and optimization challenges, and presents a comparative analysis of validation techniques. By establishing rigorous 'evaludation' standards, this guide aims to enhance the credibility and predictive power of computational models, supporting their reliable integration into biomedical research and drug development pipelines.

Core Principles: Demystifying Movement Ecology Models and Their Role in Biomedical Science

Understanding the relationships between animal space use and the environment is a fundamental objective in ecological research and is essential for effective species conservation [1]. Statistical models that link animal movement data to environmental covariates provide critical insights into key ecological concepts such as **habitat selection**, **movement corridors**, and **behavioral states** [1]. Among the most prominent frameworks used for this purpose are Resource Selection Functions (RSF), Step Selection Functions (SSF), and Hidden Markov Models (HMMs). Each of these models operates on different principles, requires different data resolutions, and answers distinct ecological questions, making the choice of an appropriate method crucial for meaningful interpretation of results [1].

The proliferation of biologging devices has generated unprecedented volumes of movement data, creating a need for sophisticated analytical tools that can extract meaningful biological insights from complex, autocorrelated tracking data [2]. While RSFs and SSFs are both used to study habitat selection, they differ in their temporal resolution and how they account for movement constraints. HMMs, in contrast, represent a fundamentally different approach focused on identifying **behavioral states** and linking these states to environmental features [1] [3]. This guide provides a comprehensive comparison of these three approaches, detailing their mathematical foundations, implementation requirements, and appropriate applications within movement ecology.

The table below provides a systematic comparison of the key characteristics of RSF, SSF, and HMM methodologies.

Table 1: Comparative overview of RSF, SSF, and HMM statistical models

Feature	Resource Selection Function (RSF)	Step Selection Function (SSF)	Hidden Markov Model (HMM)
Primary Ecological Question	Broad-scale habitat selection; relative probability of use [1]	Small-scale habitat selection during movement; integrated movement & habitat selection [1] [3]	Behavioral state identification and state-dependent relationships with environment [1] [3]
Data Requirements	Animal locations (used) & random points (available) [1]	Observed steps & random steps from each relocation [4]	Regular time-series of movements (step lengths, turning angles) [3]
Temporal Resolution	Utilizes locations without strict sequence requirements [1]	Requires high-frequency, sequential relocation data [1]	Requires regular time-series data [3]
Handling of Autocorrelation	Often ignores temporal autocorrelation [1]	Explicitly accounts for movement autocorrelation by design [1]	Explicitly models autocorrelation as part of state process [3]
Key Output	Relative selection strength (coefficients) for habitat covariates [1] [4]	Selection coefficients for habitat covariates conditional on movement [4]	Behavioral state sequences & state-specific selection coefficients [3]
Mathematical Form	(w(\mathbf{x}) = \exp(\beta1 x1 + \beta2 x2 + \cdots + \betak xk))	Conditional logistic regression on observed vs. random steps [5]	(Pr(St=k \mid S{t-1})) & (Pr(Zt \mid St=k)) with state-specific (\beta_k) [3]

Feature	Resource Selection Function (RSF)	Step Selection Function (SSF)	Hidden Markov Model (HMM)
	[1]		
Implementation Scale	Home range (2nd order selection) or landscape (1st order) [1]	Within-home range movement (3rd order selection) [1]	Individual behavior with population-level inference possible [3]

Detailed Model Methodologies

Resource Selection Function (RSF)

Experimental Protocol and Analysis The standard protocol for implementing an RSF involves several key stages. First, researchers define the availability domain, typically using the animal's home range estimated via methods like **Minimum Convex Polygon (MCP)** or **Kernel Density Estimation (KDE)** [1] [4]. Subsequently, observed "used" locations are compared to randomly sampled "available" locations within this domain. Environmental covariates such as elevation, vegetation type, or distance to human infrastructure are then extracted for both used and available points [4]. The final stage involves fitting a logistic regression model where the binary response variable indicates used (1) versus available (0) locations:

[Pr(y*i* = *1*|*mathbf{x}*i) = \frac{\exp(\beta*1* x{1,i} + \beta*2* x{2,i} + \cdots + \beta*k* x{k,i})}{1 + \exp(\beta*1* x{1,i} + \beta*2* x{2,i} + \cdots + \beta*k* x{k,i})}]

The exponential of the linear predictor, (w(\mathbf{x}) = \exp(\beta*1* x1 + \beta*2* x2 + \cdots + \beta*k* xk)), provides the relative probability of selection, where positive coefficients indicate selection for a habitat feature and negative coefficients indicate avoidance [1] [4]. Model selection techniques like Akaike Information Criterion (AIC) can be used to compare different biological hypotheses represented by different covariate combinations [4].

Step Selection Function (SSF)

Experimental Protocol and Analysis SSF analysis requires a structured workflow to account for the sequential nature of movement data. The process begins with **trajectory preprocessing**, which involves constructing a regular time series of animal relocations, often requiring resampling to a consistent time interval (e.g., 10 minutes with a 2-minute tolerance) [6]. For each observed step (the vector between two consecutive locations), researchers generate a set of random steps that originate from the same starting point. These random steps represent alternative movement choices available to the animal at that moment [5].

The core analysis employs **conditional logistic regression**, where each stratum consists of one observed step and its associated random steps. This compares habitat characteristics along the observed path against what was available but unused, conditional on the animal's movement capabilities [5]. The model effectively decomposes into two components: a movement kernel that describes how animals move irrespective of habitat (using step lengths and turning angles) and a selection kernel that describes which habitats are selected once movement constraints are accounted for [3]. This framework directly integrates movement behavior with habitat selection, addressing a key limitation of traditional RSFs.

Hidden Markov Model (HMM)

Experimental Protocol and Analysis HMMs conceptualize animal movement as a doubly stochastic process comprising an observable sequence (movement metrics) and an underlying, unobserved sequence of behavioral states. The implementation protocol begins with **data preparation**, focusing on derived movement characteristics such as step lengths and turning angles, which serve as observed emissions [3]. The model is then defined by three core elements: the **initial state probabilities** (the probability of starting in each state), the **state transition probability matrix** (\gamma*{ij}* = *mathbb{P}(S*{t+1} = j \mid S_t = i)), which defines the probability of switching from state i to state j, and the **state-dependent distributions**, which describe the probability of observing particular movement metrics (e.g., gamma-distributed step lengths) given the current behavioral state [3].

Model fitting typically employs the **Expectation-Maximization algorithm**, with the Baum-Welch algorithm being a specific variant for HMMs that estimates transition probabilities and emission distribution parameters [3]. After fitting, the **Viterbi algorithm** is used to decode the most likely sequence of hidden behavioral states given the observed data and model parameters. Advanced implementations such as HMM-SSF can integrate habitat selection directly into the state-dependent process, simultaneously identifying behavioral states and quantifying state-specific habitat selection [3] [5].

Workflow Diagram

The following diagram illustrates the logical relationships and methodological flow between the three statistical models in movement ecology.

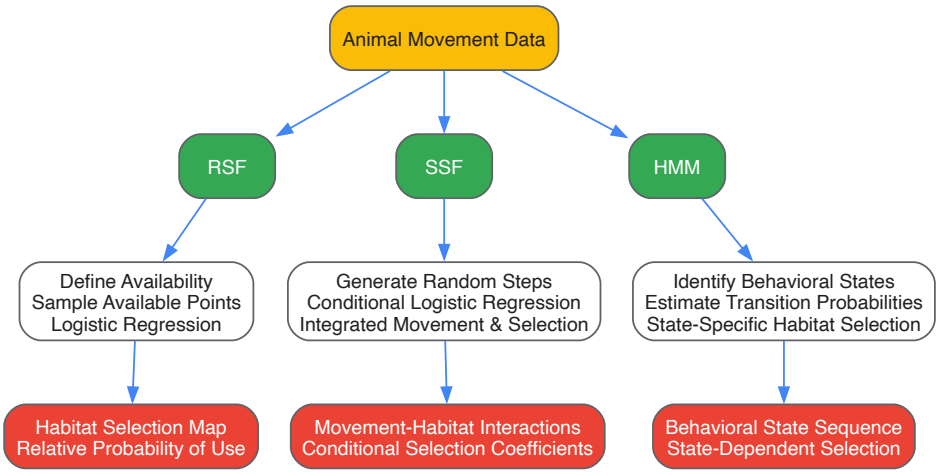

Methodological Flow of Movement Ecology Models

Research Toolkit

Table 2: Essential computational tools and reagents for movement ecology analysis

Tool/Resource	Function/Purpose	Implementation Example
R Statistical Software	Primary programming environment for statistical analysis and modeling	Comprehensive implementation of RSF, SSF, and HMM [1] [6]
`amt` R Package	Comprehensive toolkit for animal movement and habitat selection analysis	Creates tracks, generates random points/steps, extracts covariates, fits SSFs [1] [6]
`momentuHMM` R Package	Implements hidden Markov models for animal movement data	Fits multi-state HMMs with various observation distributions [1]
`glmmTMB` R Package	Fits generalized linear mixed models with Template Model Builder	Can implement weighted RSFs with random effects [6]
GPS Tracking Data	High-resolution animal relocation data	Typically requires resampling to regular intervals (e.g., 10 minutes) [6]
Environmental Covariates	Raster layers representing habitat characteristics	Elevation, vegetation, time since fire, distance to roads [1] [4]
Conditional Logistic Regression	Statistical method for matched case-control designs	Core statistical engine for SSF analysis [5]

RSF, SSF, and HMM approaches offer complementary perspectives for understanding animal movement and habitat relationships, each with distinct strengths and appropriate applications. RSFs provide a robust framework for identifying broad-scale habitat selection patterns, while SSFs integrate movement constraints to reveal fine-scale habitat selection during locomotion. HMMs focus primarily on identifying behavioral states and quantifying how habitat associations vary with these states. The emerging framework of HMM-SSF represents a promising integration that simultaneously identifies behavioral states and state-specific habitat selection [3] [5].

Choosing the appropriate model requires careful consideration of research objectives, data characteristics, and ecological questions. Future methodological developments will likely continue to bridge these approaches, enhancing our ability to infer complex ecological processes from animal tracking data and ultimately supporting more effective conservation and management strategies.

Understanding Model Assumptions and Mathematical Underpinnings

The validation of ecological models is a cornerstone of robust scientific research, ensuring that mathematical representations accurately reflect complex natural systems. In movement ecology, where models are used to understand everything from individual animal paths to population-level migrations, validating these tools is paramount. However, a significant challenge persists: with numerous models available, it remains difficult to distinguish which ones accurately describe nature versus those that oversimplify reality [7]. For instance, in predator-prey dynamics alone, over 40 different models describe how predators consume prey based on prey availability [7]. This diversity highlights the critical need for rigorous validation methods that can test model assumptions and mathematical foundations against empirical data.

The field has traditionally relied on pattern-matching approaches, where model predictions are compared to observed data cycles or trends [7]. Yet, these methods often struggle to distinguish genuine model inadequacies from confounding effects of unobserved biotic or abiotic factors [7]. This persistent validation challenge has resulted in an accumulation of models without a corresponding accumulation of confidence in their predictive power. Recent methodological innovations are now providing more rigorous frameworks for testing the core assumptions and mathematical underpinnings of movement ecology models, offering new pathways to bridge the gap between theoretical constructs and ecological reality.

Comparative Analysis of Validation Approaches

Traditional vs. Contemporary Validation Methods

Movement ecology employs diverse approaches to model validation, each with distinct mathematical foundations and applicability. The table below summarizes key methodologies used in the field.

Table 1: Comparison of Model Validation Approaches in Movement Ecology

Validation Method	Mathematical Foundations	Key Applications in Movement Ecology	Primary Limitations
Pattern Matching	Statistical correlation; time-series analysis	Predator-prey population cycles (e.g., lynx-hare dynamics) [7]	Cannot distinguish model inadequacies from unobserved factors [7]
Euler-Maruyama Approximation	Stochastic differential equations; discrete-time approximation	Parameter estimation for potential-based movement models [8]	Unstable with non-high-frequency GPS sampling [8]
Ozaki Linearization Method	Local linearization of drift terms; continuous-time inference	Parameter estimation for movement models [8]	More computationally intensive than Euler method [8]
Covariance Criteria	Queueing theory; covariance relationships between observables	Testing predator-prey functional responses; detecting higher-order interactions [7]	Establishes necessary but not always sufficient conditions for validity [7]
Exact Algorithm/Monte Carlo EM	Markov Chain Monte Carlo; exact simulation of diffusion paths	Inference for potential-based movement models with ecological attractors [8]	Computationally intensive for complex models [8]

Performance Evaluation of Statistical Inference Methods

A practical study assessed inference procedures for potential-based movement models, which use gradients of attractive zones (e.g., foraging areas) in their drift terms [8]. The research compared performance across sampling frequencies, measuring stability and convergence of parameter estimates.

Table 2: Performance Comparison of Inference Methods for Movement Models [8]

Inference Procedure	Performance at Low Sampling Frequency	Performance at High Sampling Frequency	Computational Efficiency	Stability of Estimates
Euler-Maruyama Approximation	Poor	Good	High	Low
Ozaki Linearization Method	Good	Good	Medium	High
Adaptive High-Order Gaussian Approximation	Good	Good	Medium	High
Monte Carlo Expectation Maximization (Exact Algorithm)	Good	Good	Low	High

The experimental assessment demonstrated that the Euler method, commonly used in ecology, performs worse than alternative procedures for non-high-frequency GPS sampling schemes typically encountered in ecological fieldwork [8]. The Ozaki method and other advanced discretization approaches showed greater robustness across sampling regimes, performing similarly to exact methods for the tested models [8].

Experimental Protocols for Model Validation

Covariance Criteria Validation Framework

The covariance criteria approach establishes a rigorous test for model validity based on necessary covariance relationships between observable quantities, regardless of unobserved factors [7]. The methodology follows these key steps:

1. Problem Formulation:

- Define the population model with Gain (G) and Loss (L) components
- Express the population change as: $dN/dt = G(N) - L(N)$
- Identify observable quantities from empirical data

2. Data Requirements:

- Collect time-series data on population abundances
- Ensure temporal resolution matches ecological processes
- Document environmental covariates where possible

3. Covariance Calculation:

- Compute empirical covariances between observables
- Apply statistical tests to determine significance
- Compare observed relationships with model predictions

4. Validation Decision:

- If covariance patterns match theoretical expectations, model receives support
- If mismatches occur, the model is invalidated regardless of unobserved factors
- Iterate with alternative model formulations if invalidated

This protocol was successfully applied to resolve competing models of predator-prey functional responses, disentangle ecological and evolutionary dynamics in systems with rapid evolution, and detect the influence of higher-order species interactions [7].

Case Study: Predator-Prey Model Validation

Researchers applied the covariance criteria to a classic ecological dilemma: determining the appropriate mathematical structure for predator-prey interactions [7]. The experimental protocol included:

Data Collection:

- Used a dataset of aquatic invertebrates (predator) and algae (prey) populations
- Measured population abundances at regular time intervals
- Monitored environmental conditions

Model Comparison:

- Tested traditional Lotka-Volterra model with self-regulation
- Compared against ratio-dependent functional response models
- Calculated covariance relationships for each model structure

Results:

- The traditional Lotka-Volterra model accurately described prey dynamics
- A simplified version adequately captured predator dynamics
- Ratio-dependent models were invalidated by the covariance criteria
- The analysis supported the traditional mass-action approach over ratio-dependent methods for this system [7]

Research Reagent Solutions for Movement Ecology

The experimental approaches discussed require specific methodological tools and analytical frameworks. The table below details essential "research reagents" for conducting rigorous movement ecology model validation.

Table 3: Essential Research Reagent Solutions for Movement Ecology Validation

Research Reagent	Function/Purpose	Example Applications
High-Resolution GPS Tracking	Captures fine-scale movement trajectories; provides primary data for parameter estimation [9]	Studying foraging behavior, migration routes, home range use [9]
Potential-Based Movement Models	Mathematical framework where drift is gradient of potential function; represents attractive zones [8]	Modeling movement toward resources (food, mates) or away from risks [8]

Research Reagent	Function/Purpose	Example Applications
Stochastic Differential Equations	Incorporates random components into movement models; captures inherent unpredictability [8]	Modeling animal movement paths with both deterministic and stochastic elements [8]
Covariance Criteria Framework	Provides rigorous mathematical test for model validity based on necessary conditions [7]	Testing predator-prey models; detecting higher-order species interactions [7]
Advanced Inference Algorithms	Estimates parameters from observed movement data; superior to basic Euler method [8]	Parameter estimation for potential-based models with ecological attractors [8]
Multi-Species Tracking Datasets	Enables analysis of species interactions and community-level dynamics [9]	Quantifying encounter rates; studying predator-prey spatial dynamics [9]

Visualization of Validation Workflows

Covariance Criteria Validation Pathway

The following diagram illustrates the logical workflow for applying the covariance criteria to ecological model validation:

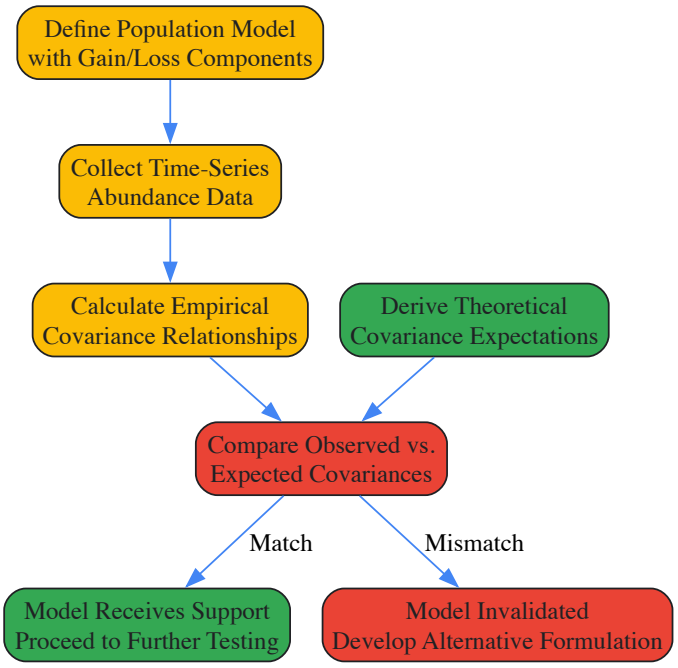

Movement Model Inference Protocol

The diagram below outlines the experimental workflow for evaluating inference procedures in movement ecology:

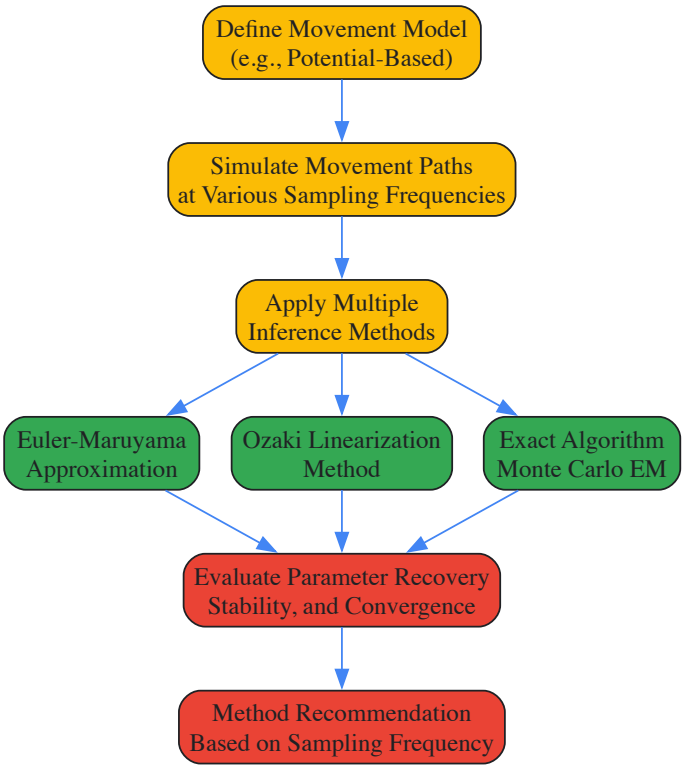

The rigorous validation of movement ecology models requires careful consideration of both mathematical assumptions and inference procedures. Contemporary approaches like the covariance criteria offer powerful tools for testing model validity against empirical data, while advanced statistical methods provide more robust parameter estimation than traditional approximations. As movement ecology continues to integrate with conservation applications—from predicting species responses to climate change to mapping anthropogenic threats on migratory pathways [9]—the importance of reliable, validated models becomes increasingly critical. By adopting these rigorous validation frameworks, researchers can build greater confidence in models used to forecast ecological dynamics and inform conservation decisions in our rapidly changing world.

In movement ecology, understanding animal space use requires integrating multiple spatial scales, from the broad geographic boundaries of a home range to the fine-scale habitat choices made with each step. The central thesis of this field posits that **animal movement is the fundamental process** linking these scales, acting as the "glue" that connects patterns of home range establishment with mechanisms of habitat selection [10]. This conceptual framework has emerged through technological and analytical advances that allow researchers to track individual movements with unprecedented resolution while quantitatively assessing environmental drivers.

The distinction between **second-order selection** (home range placement within the landscape) and **third-order selection** (resource use within the home range) provides a critical foundation for understanding scale-dependent habitat relationships [11]. Meanwhile, contemporary approaches recognize that these patterns emerge from individual movement decisions influenced by both internal state (e.g., sex, reproductive status) and external environmental factors (e.g., resource distribution, predation risk) [11] [10]. This guide compares the primary methodological approaches for studying these interconnected phenomena, examining how each addresses the scale continuum from home ranges to movement-specific habitat selection.

Comparative Analysis of Methodological Approaches

Table 1: Methodological comparison for studying movement ecology across scales

Methodological Approach	Spatial Scale	Key Measured Variables	Primary Applications	Technical Requirements
Integrated Step Selection Analysis (iSSA)	Fine-scale (stepping decisions)	Habitat selection coefficients, movement parameters (turn angles, step lengths)	Linking movement mechanisms to habitat selection; quantifying how environmental factors influence each step [11]	GPS telemetry, environmental GIS layers, statistical modeling (R packages like `amt`)
Home Range Estimation	Broad-scale (seasonal range)	Home range size (e.g., MCP, KDE), utilization distribution	Establishing space use boundaries; quantifying effects of sex, season, and resources on space use [11]	GPS telemetry, kernel density estimators (e.g., `adehabitatHR`)

Methodological Approach	Spatial Scale	Key Measured Variables	Primary Applications	Technical Requirements
Residence Time & Time-to-Return Metrics	Multi-scale (from patches to landscapes)	Duration in specific areas, time between revisits	Identifying critical habitats; quantifying site fidelity and foraging efficiency [10]	High-resolution GPS tracking, spatial clustering algorithms
Experimental Pond Systems	Fine- to medium-scale (controlled environments)	Movement paths, space use in replicated ecosystems	Establishing causality through manipulation; testing effects of specific variables (e.g., predators, resources) [12] [13]	Acoustic telemetry arrays, replicated pond infrastructures, experimental manipulations

Table 2: Data requirements and analytical outputs across movement ecology approaches

Approach	Tracking Data Requirements	Environmental Data Integration	Key Analytical Outputs	Scale Bridging Capabilities
iSSA	High-frequency relocations (minutes-hours)	Continuous habitat variables at fine spatial resolution	Resource selection coefficients; movement parameters conditional on environment; inference on behavioral mechanisms [11]	Directly connects fine-scale movement decisions to emergent home range patterns
Home Range Analysis	Moderate-frequency relocations (hours-days) over extended periods	Landscape-scale habitat composition and configuration	Home range size estimates; core use areas; seasonal variation in space use [11]	Defines broad-scale spatial context for finer-scale analyses
Time-Based Metrics	High-resolution paths over appropriate temporal windows	Patch-level habitat characteristics	Maps of area-restricted search; identification of functionally significant sites; foraging efficiency measures [10]	Links behavioral states to spatial memory and resource renewal processes
Experimental Systems	Complete system coverage with precise positioning	Full control and manipulation of environmental variables	Causal relationships; individual behavioral variation; response to specific perturbations [12] [13]	Isolates processes across scales in controlled settings

Experimental Protocols in Movement Ecology

Integrated Step Selection Analysis (iSSA) Protocol

The iSSA framework represents a significant methodological advancement for simultaneously investigating animal movement and habitat selection. The following protocol outlines its key implementation steps:

- **Step 1: Data Collection** - Fit free-ranging animals with GPS telemetry collars programmed to record locations at regular intervals (e.g., every 1-4 hours) across multiple seasons to capture temporal variation in movement patterns [11]. In the Iberian ibex study, researchers collected 700-3,230 fixes per individual over 206-576 days to ensure robust seasonal analysis [11].
- **Step 2: Environmental Layer Preparation** - Compile Geographic Information System (GIS) layers representing relevant environmental variables (e.g., vegetation type, elevation, slope, distance to water) at spatial resolutions matching the scale of animal movement. These layers enable quantitative assessment of habitat characteristics influencing movement decisions.
- **Step 3: Used and Available Steps Generation** - For each observed movement step (the linear segment between two consecutive GPS fixes), generate a set of alternative "available" steps that the animal could have taken but did not. These available steps are typically matched to observed steps by starting point and sampling randomly from the empirical step-length and turning-angle distributions [11].
- **Step 4: Habitat Covariate Extraction** - Extract environmental variables at the starting point and endpoint of each observed and available step. This creates a dataset where each step is characterized by its movement characteristics and the habitat conditions it traverses.
- **Step 5: Conditional Regression Modeling** - Implement a conditional logistic regression model where observed steps are compared against available steps. This models the probability of selecting a step given its movement characteristics and habitat conditions, effectively integrating movement constraints with habitat selection [11].
- **Step 6: Interpretation and Application** - Interpret coefficients for habitat variables as selection strength while accounting for intrinsic movement patterns. These models can reveal how habitat selection constrains movement, which in turn affects emergent space-use patterns like home range size and structure [11].

Experimental Pond System Protocol

Replicated pond infrastructures offer unprecedented opportunities for causal inference in movement ecology through experimental manipulation:

- **Step 1: System Establishment** - Create or utilize existing replicated pond systems with similar physical characteristics (e.g., size ~90×30m, depth ~1.5m, substrate composition) to ensure experimental control [13]. The iPonds infrastructure in Sweden exemplifies such a system, specifically designed for movement ecology research.
- **Step 2: Acoustic Telemetry Array Installation** - Equip each pond with a dense array of acoustic telemetry receivers (e.g., 8 receivers per pond) positioned to enable complete coverage and accurate multilateration for precise positioning of tagged animals [13].
- **Step 3: Animal Tagging** - Surgically implant acoustic transmitters into the body cavity of study animals. In fish studies, ensure tagging procedures minimize physiological impacts and allow adequate recovery before experimentation [13].
- **Step 4: Experimental Manipulation** - Manipulate variables of interest while maintaining appropriate controls. Potential manipulations include:
  - Habitat structure modifications (e.g., vegetation removal or addition)
  - Predator presence/absence using caged predators to manipulate perceived risk
  - Resource distribution adjustments
  - Community composition alterations [13]
- **Step 5: Data Collection** - Monitor movement patterns continuously throughout the experimental period, leveraging the high-resolution positioning capabilities of the acoustic array. The temporal resolution can be adjusted based on experimental needs through transmitter programming [13].
- **Step 6: Path Reconstruction and Analysis** - Reconstruct complete movement paths using multilateration techniques, then apply movement metric analyses (e.g., step length, turning angle, residence time) to quantify behavioral responses to experimental manipulations [13].

Conceptual Framework Diagrams

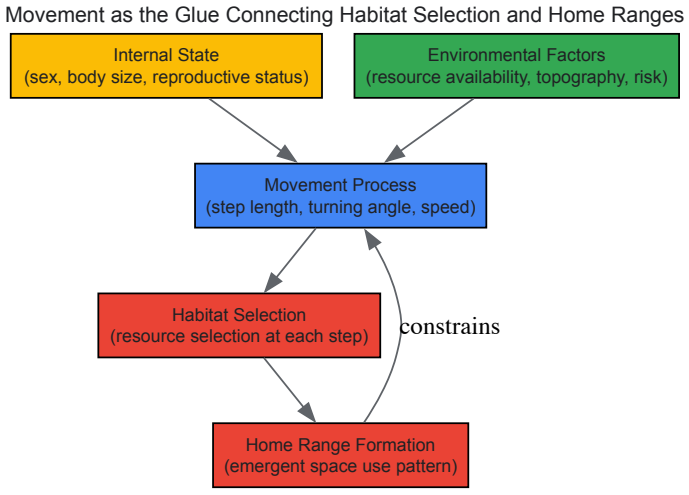

Movement Ecology Conceptual Framework

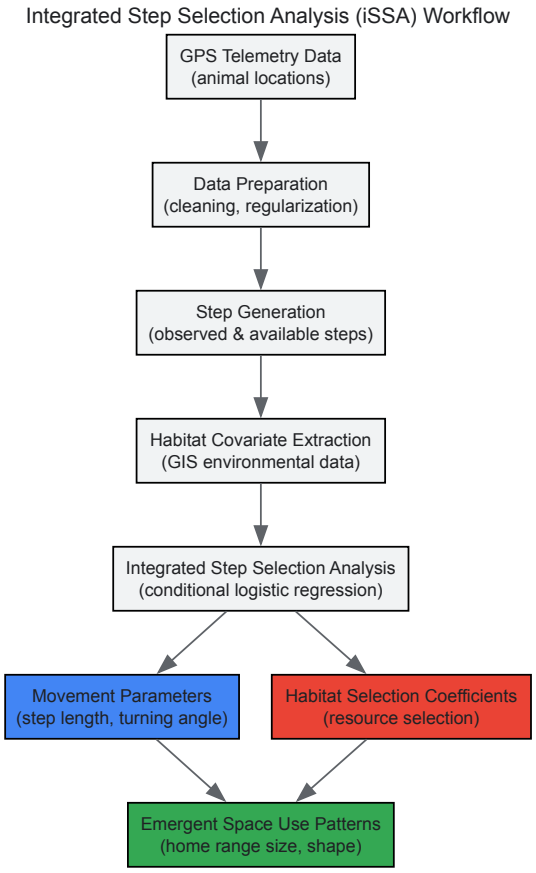

iSSA Methodological Workflow

The Scientist's Toolkit: Essential Research Reagents and Equipment

Table 3: Essential research tools for movement ecology studies across scales

Tool Category	Specific Equipment/Technology	Primary Function	Key Applications
Tracking Technologies	GPS telemetry collars	Record animal locations at programmed intervals	Home range estimation, movement path reconstruction [11]
	Acoustic telemetry transmitters and receivers	Underwater animal tracking using ultrasonic signals	Aquatic movement studies in lakes, ponds, and oceans [12] [13]
Habitat Assessment Tools	Geographic Information Systems (GIS)	Spatial analysis of environmental variables	Mapping habitat characteristics, resource distribution [11]
	Remote sensing platforms (satellites, drones)	Broad-scale habitat mapping	Landscape-scale habitat classification and monitoring [9]
Experimental Infrastructure	Replicated pond systems	Controlled experimental arenas for aquatic studies	Hypothesis testing with full environmental control [12] [13]
	Mobile terrestrial enclosures	Semi-controlled field experiments	Manipulating terrestrial habitat features [14]
Analytical Frameworks	Integrated Step Selection Analysis (iSSA)	Simultaneously model movement and habitat selection	Quantifying habitat selection while accounting for movement constraints [11]
	Residence Time/Time-to-Return metrics	Quantify area-restricted search and site fidelity	Identifying critical habitats and foraging areas [10]

The most powerful insights in movement ecology emerge from integrating multiple methodological approaches, each addressing different aspects of the scale continuum. **Home range analysis** establishes the broad spatial context of animal space use, while **integrated step selection analysis** reveals the fine-scale mechanisms generating these patterns through sequential habitat choices. Meanwhile, **experimental approaches** using replicated systems like pond infrastructures provide causal validation of hypothesized relationships.

Future methodological development should focus on better bridging these scales, particularly through approaches that explicitly link short-term movement decisions to long-term space use outcomes. The field is moving toward frameworks that can forecast animal movement under environmental change, requiring robust validation through integrated observational and experimental approaches across spatiotemporal scales [9]. This comparative guide provides a foundation for selecting appropriate methodologies based on specific research questions about animal movement and habitat relationships across organizational levels.

The Critical Importance of Model Validation in Regulatory and Research Contexts

Model validation is a critical pillar in both regulatory and research contexts, ensuring that statistical and mathematical models are reliable, accurate, and generalizable. In movement ecology—a field increasingly reliant on complex models to understand animal movement across scales—robust validation is what transforms a theoretical pathway into a trustworthy prediction, with profound implications for conservation and policy [9] [15]. As models underpin more high-stakes decisions, from drug development to species protection, the process of validating them has evolved from a technical step to a fundamental scientific practice. This guide objectively compares core validation methodologies, providing researchers with the experimental protocols and tools necessary to implement them effectively.

Experimental Protocols for Model Validation

Adhering to a structured, methodical process is key to sound model validation. The following workflow outlines the critical stages, from initial data preparation to final model selection.

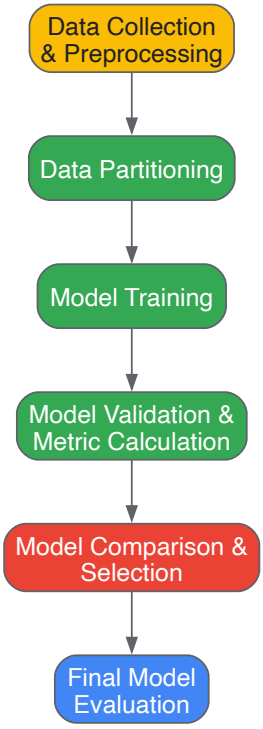

Detailed Methodologies

The general workflow above is operationalized through specific, rigorous techniques:

- **Data Partitioning and Cross-Validation**: The foundational step is to split the available data into distinct subsets. A common approach is the **holdout method**, where data is divided into a training set (e.g., 70%) for model fitting, a validation set (e.g., 15%) for comparison and tuning, and a test set (e.g., 15%) for the final, unbiased evaluation [16]. For more robust validation, **K-Fold Cross-Validation** is preferred. This technique partitions the data into K subsets (or "folds"). The model is trained K times, each time using a different fold as the validation set and the remaining K-1 folds as the training set. The final performance metric is the average across all K trials [15] [17]. This reduces variability and provides a more reliable estimate of model performance on unseen data.

- **Performance Metric Calculation**: Once the data is partitioned, relevant metrics are calculated on the validation set to quantify model performance. The choice of metrics is problem-dependent. For regression models (e.g., predicting migration distance), common metrics include **Mean Squared Error (MSE)** and **R-squared** [16]. The MSE is calculated as: `MSE = (1/n) * Σ(actual - forecast)²` [15] where n is the number of observations. For classification models (e.g., identifying behavioral states from movement data), researchers use metrics like **Accuracy, Precision, Recall, and the F1-score**, which combines precision and recall into a single metric [16] [17].

- **Model Comparison and Selection**: With metrics calculated for each candidate model, the final step is comparison and selection. This involves more than just picking the model with the best metric. Researchers must contrast models by considering **complexity, interpretability, and robustness** [16]. A slightly less accurate but vastly simpler model is often preferable for explaining ecological mechanisms. Information criteria like the **Akaike Information Criterion (AIC)** and **Bayesian Information Criterion (BIC)** are commonly used for formal model comparison, as they penalize model complexity to guard against overfitting [15].

Comparison of Validation Metrics and Techniques

Different validation metrics and techniques offer unique insights, and their appropriate application depends on the model's purpose—whether for explanation or prediction. The tables below provide a structured comparison.

Table 1: Key Performance Metrics for Model Validation

Metric	Primary Use Case	Interpretation	Advantages	Limitations
Mean Squared Error (MSE) [15]	Regression Models (e.g., forecasting movement paths)	Measures average squared difference between predicted and actual values. Closer to 0 is better.	Provides a strong penalty for large errors. mathematically convenient.	Sensitive to outliers; value is not in original units.
Akaike Information Criterion (AIC) [15]	Model Comparison & Selection	Estimates relative information loss. Lower values indicate a better model.	Balances model fit and complexity; useful for model selection.	Does not provide a test for a single model; relative measure only.
F1-Score [17]	Classification Models (e.g., identifying foraging vs. migration)	Harmonic mean of precision and recall. Ranges from 0 (worst) to 1 (best).	Balances the trade-off between precision and recall.	Can be misleading with imbalanced class distributions.
ROC-AUC [17]	Binary Classification Models	Measures the model's ability to distinguish between classes. Closer to 1 is better.	Provides a comprehensive view across all classification thresholds.	Less informative for datasets with high class imbalance.

Table 2: Comparison of Core Validation Techniques

Technique	Methodology	Best For	Advantages	Disadvantages
Holdout Validation [16] [17]	Simple random split into training and holdout sets.	Large datasets, initial model prototyping.	Simple and computationally efficient.	Performance estimate can be highly variable based on the split.
K-Fold Cross-Validation [17]	Data divided into K folds; each fold serves as validation once.	Medium-sized datasets, robust performance estimation.	Reduces variability; uses all data for both training and validation.	Computationally intensive; requires multiple model fits.
Leave-One-Out Cross-Validation (LOOCV) [17]	A special case of K-Fold where K equals the number of data points.	Very small datasets.	Minimizes bias; uses nearly all data for training.	Extremely computationally expensive; high variance in estimates.
Bootstrapping [15]	Resamples the dataset with replacement to create multiple simulated datasets.	Assessing model stability, particularly with limited data.	Effective for estimating the sampling distribution of a statistic.	Can lead to overly optimistic results if not carefully implemented.

The Scientist's Toolkit: Essential Research Reagents and Solutions

Building and validating a robust movement ecology model requires a suite of methodological "reagents." The following toolkit details essential components, from conceptual frameworks to analytical techniques.

Table 3: Key Research Reagent Solutions in Movement Ecology Modeling

Research Reagent	Function & Purpose	Application Example
Hierarchical Movement Framework [9]	A conceptual tool that partitions an animal's trajectory into nested behavioral modes (e.g., foraging, commuting) and broader phases (e.g., seasonal migration).	Enables multi-scale analysis, linking short-term decisions to lifetime dispersal events to forecast range shifts under climate change [9].

Research Reagent	Function & Purpose	Application Example
Reaction-Diffusion Theory [9]	A mathematical framework derived from statistical physics to model encounters between moving animals as first-passage events.	Provides rigorous quantification of encounter rates for processes like predation and disease transmission, moving beyond simplistic "ideal gas" models [9].
Energetics-Informed Network Model [9]	A pathfinding model (e.g., using Dijkstra's algorithm) modified with energy constraints and environmental data like wind patterns.	Used to reconstruct and predict plausible long-distance migration routes for insects like the globe-skimmer dragonfly [9].
Agent-Based Modeling (ABM) [9]	A simulation technique where individual "agents" (e.g., birds in a flock) follow a set of behavioral rules, with group-level patterns emerging from their interactions.	Used to analyze how individual rules of alignment and cohesion lead to collective escape maneuvers from predators [9].
Hidden Markov Models (HMMs) [18]	A statistical method that infers unobserved (hidden) behavioral states from sequential, observed movement data (e.g., step length, turning angle).	Commonly applied to classify animal tracking data into discrete behavioral states such as "resting," "foraging," and "transit" [18].
Satellite Telemetry & Biologging Data [9]	The primary empirical data source, providing high-resolution recordings of animal movement paths, often coupled with environmental sensors.	Compiled to create comprehensive maps of migratory marine megafauna and assess their overlap with anthropogenic threats like shipping traffic [9].

The relationships and applications of these tools within a research workflow can be visualized as follows:

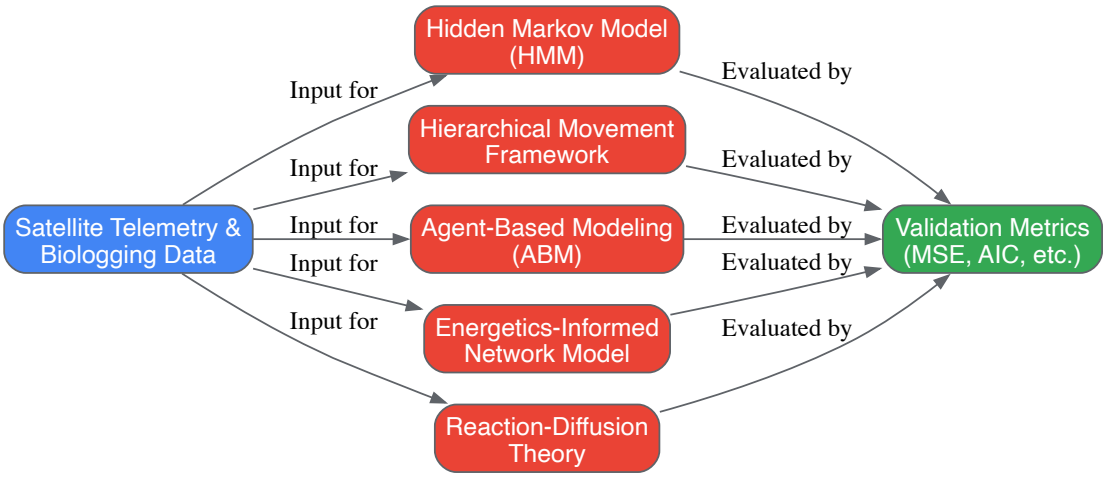

A Guide to Common Pitfalls and Best Practices

Even with the right tools, validation can fail if best practices are not followed. Here is a critical summary of common challenges and their solutions.

Table 4: Common Validation Pitfalls and Mitigation Strategies

Common Challenge	Description	Consequence	Best Practice & Mitigation Strategy
Overfitting [16] [17]	Model is too complex and fits the training data noise, not the signal.	Poor generalization to new, unseen data (high training accuracy, low validation accuracy).	Use regularization techniques, feature selection, and cross-validation to tune complexity [17]. Prefer simpler, more interpretable models where possible [16].
Data Leakage [17]	Information from the test or validation set inadvertently influences the training process.	Over-optimistic performance estimates that do not reflect real-world performance.	Strictly partition data before any analysis; perform all feature engineering using only the training set.
Ignoring Data Quality [17]	Building models on data with missing values, outliers, or biases.	Skewed and unreliable predictions, reinforcing existing biases.	Implement rigorous data cleaning, preprocessing (e.g., handling missing values), and exploratory data analysis [15] [17].
Misinterpreting Metrics [16]	Relying on a single metric (e.g., accuracy for imbalanced	A false sense of model competency, missing critical	Use multiple evaluation metrics (e.g., precision, recall, F1) to gain a comprehensive view of

Common Challenge	Description	Consequence	Best Practice & Mitigation Strategy
	classification).	weaknesses.	performance [16] [17].
Neglecting Domain Expertise	Validating a model based solely on statistical metrics without ecological context.	Model may be statistically sound but ecologically irrelevant or misleading.	Collaborate with domain experts to interpret results and ensure model outputs align with biological understanding [17].

In high-stakes fields like movement ecology and drug development, model validation is the non-negotiable practice that separates conjecture from reliable science. It is a multifaceted process, demanding careful data management, the strategic application of techniques like cross-validation, and the clear-eyed interpretation of multiple performance metrics. By adopting the rigorous protocols and best practices outlined in this guide—using structured workflows, comparing models with appropriate metrics, leveraging specialized analytical tools, and vigilantly avoiding common pitfalls—researchers can build models that are not only statistically sound but also truly fit for purpose. This commitment to robust validation is what ensures that models can effectively inform conservation policy, regulatory decisions, and our fundamental understanding of the natural world.

In the field of movement ecology, accurately interpreting animal behavior from tracking data is fundamental. Traditional model **validation** often involves a binary check against a limited set of known truths. However, this approach can be insufficient for complex behavioral models, leading to a proposed shift in terminology and practice towards comprehensive **evaludation**—a broader process that encompasses validation, verification, and uncertainty quantification [19]. This guide compares traditional validation against the semi-supervised evaludation framework, demonstrating how the latter significantly enhances behavioral inference, particularly for species exhibiting subtle behavioral differentiations.

Comparative Performance Analysis: Validation vs. Semi-Supervised Evaludation

A 2023 study on red-billed tropicbirds provides quantitative evidence for the superiority of the evaludation approach. The research used Hidden Markov Models to classify GPS tracks into behavioral states, comparing a traditional unsupervised HMM with a semi-supervised HMM that incorporated a small subset of data labeled with behaviors from auxiliary sensors [19].

Table 1: Overall Model Performance Comparison

Metric	Unsupervised HMM	Semi-Supervised HMM	Performance Change
Overall Accuracy	0.77 ± 0.01	0.85 ± 0.01	+0.08 [19]
Data Informed	None	9% of full dataset	-

While overall accuracy improved notably, the evaludation framework's impact varied significantly by behavioral state.

Table 2: State-Specific Model Performance (Semi-Supervised HMM)

Behavioural State	Sensitivity (True Positive Rate)	Precision (Positive Predictive Value)
Foraging	0.37 ± 0.06	0.06 ± 0.01 [19]
Travelling	Data not available in search results	Data not available in search results
Resting	Data not available in search results	Data not available in search results

The low precision for foraging indicates that even the improved model frequently misclassifies other behaviors as foraging. This highlights a key finding: the benefit of semi-supervision is **state-dependent**. It is most effective for behaviors with distinct movement patterns but struggles with "foraging on the go" in homogenous environments [19].

Experimental Protocols: Implementing a Semi-Supervised Evaludation

Fieldwork and Data Collection

The foundational study was conducted on red-billed tropicbirds across several colonies in Cabo Verde between 2017 and 2021 [19]. The experimental protocol involved:

- **Primary Tracking:** Birds were equipped with GPS loggers programmed to record positions every 5 minutes.
- **Auxiliary Sensor Deployment:** A subset of birds was co-tagged with:
  - **Tri-axial accelerometers** (25 Hz) to capture fine-scale movements and posture.
  - **Time Depth Recorders** (TDR) (1s intervals) to detect dive events.
  - **Wet-dry sensors** (every 6s) to determine immersion in saltwater [19].
- **Data Integration:** GPS data was transformed into a bivariate series of step lengths and turning angles, the standard inputs for HMMs.

Behavioural Labelling from Auxiliary Data

The data from auxiliary sensors were used to definitively label GPS fixes with behaviors, creating a "ground-truth" subset:

- **Resting:** Inferred from wet-dry data indicating prolonged dry periods, likely on land or at the sea surface.
- **Foraging:** Identified via a combination of dive events from TDR data and characteristic burst-and-glide movements from accelerometers.
- **Travelling:** Characterized by directed, sustained flight without associated diving or foraging-associated movements [19].

Model Fitting and Evaludation

The methodology compared two modelling approaches:

- **Unsupervised HMM:** An HMM was fitted using only the GPS-derived movement metrics (step length and turning angle) for the entire population.
- **Semi-Supervised HMM:** The same HMM structure was fitted, but the model was informed by the known behavioural states from the auxiliary sensor subset, which represented 9% of the full dataset. This "semi-supervision" guides the model to more accurately learn the movement signatures of each behavior [19].

The workflow is illustrated in the diagram below.

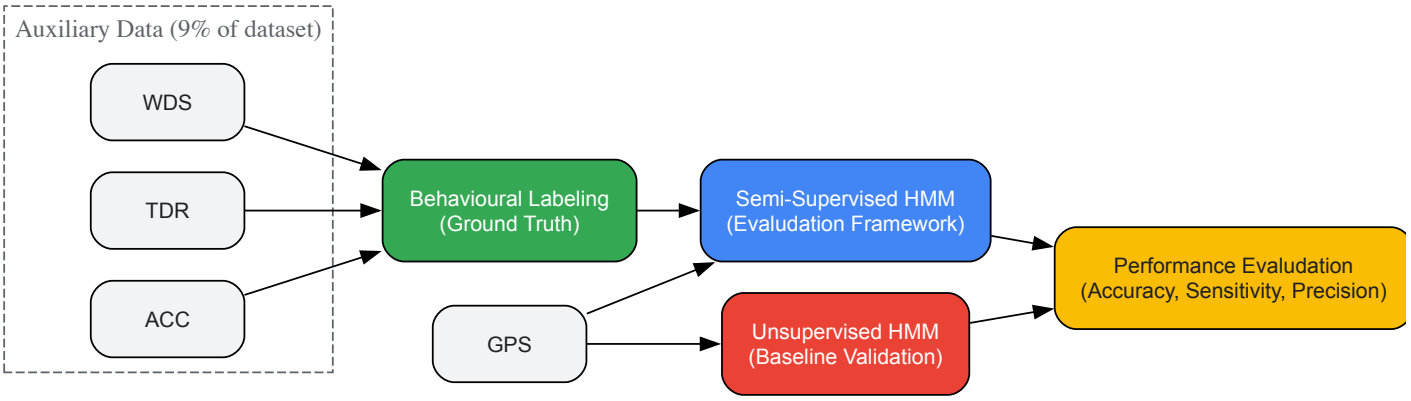

The Scientist's Toolkit: Essential Research Reagent Solutions

Movement ecology research relies on a suite of sophisticated biologging technologies and analytical tools.

Table 3: Essential Research Reagents for Movement Ecology Evaludation

Tool / Reagent	Primary Function	Specific Application in Evaludation
GPS Loggers	Records high-frequency location data.	Provides core movement metrics (step length, turning angle) for state-space models [19].
Tri-axial Accelerometer	Measures dynamic body acceleration across three axes.	Validates fine-scale behaviors (e.g., foraging attempts, flight mode) for ground-truth labeling [19].
Time Depth Recorder (TDR)	Logs pressure/depth over time.	Objectively identifies diving and underwater foraging activity in marine species [19].
Wet-Dry Sensor	Detects immersion in water based on conductivity.	Helps distinguish resting on water from flight and land-based activities [19].
Hidden Markov Model (HMM)	A statistical framework for classifying sequences of data into hidden states.	The core analytical model for inferring latent behavioral states from movement data [20] [19].
Semi-Supervised Learning	A machine learning paradigm that uses both labeled and unlabeled data.	The core of the evaludation framework, using a small, informed dataset to drastically improve behavioral classification for a larger dataset [19].

The transition from simple validation to a comprehensive evaludation framework marks a significant advancement in movement ecology. The empirical evidence clearly demonstrates that integrating a small subset of multi-sensor data into HMMs significantly improves behavioral classification accuracy. This approach is particularly valuable for resolving the persistent challenge of accurately identifying foraging behavior in opportunistically foraging species within homogenous environments [19]. Future research should focus on developing more accessible tools for implementing semi-supervised models and exploring their application across a wider range of species and ecosystems.

From Theory to Practice: Implementing and Applying Movement Ecology Models

A Step-by-Step Guide to Developing a Resource Selection Function (RSF)

Within movement ecology, validating models of animal-space use is fundamental for robust ecological inference and effective conservation planning. A Resource Selection Function (RSF) is a cornerstone model that quantifies the relative probability of an animal using a resource unit based on its environmental characteristics [1]. This guide provides a step-by-step protocol for developing an RSF, objectively compares its performance against alternative step-selection functions (SSFs) and hidden Markov models (HMMs), and frames the discussion within the critical context of model validation. Supported by experimental data and detailed workflows, this guide serves as a practical toolkit for researchers.

A Resource Selection Function (RSF) is a statistical model widely used to understand species-habitat associations by relating the habitat characteristics at locations used by an animal to those available to it [1]. The RSF, denoted as (w(\mathbf{x})), is typically an exponential function of linear predictors: (w(\mathbf{x}) = \exp(\beta*{1} x*{1} + \beta*{2} x*{2} + \cdot \cdot \cdot + \beta*{k} x*{k})), where (\mathbf{x}) represents the values of *k* predictor habitat variables and ({\beta }*{1}),..., ({\beta }*{k}) are the **selection coefficients** to be estimated [1]. Positive coefficients indicate selection *for* a habitat feature, while negative coefficients indicate avoidance [4].

RSFs operate on a **use-available design**, which contrasts environmental covariates at locations observed to be used by an animal with those from a sample of locations deemed available to it within a defined availability domain, such as a home range [1] [4]. This framework allows researchers to test hypotheses about the environmental drivers of habitat selection, which is often categorized into different orders, from the selection of a home range within the species' geographical range (second-order selection) to the selection of specific habitat features within the home range (third-order selection) [1].

A Step-by-Step Protocol for RSF Development

Step 1: Data Preparation and Definition of "Used" Locations

- **Objective**: Compile the dataset of animal locations, often obtained via GPS telemetry, that will be classified as "used."
- **Protocol**:
  - **Data Sourcing**: Use cleaned and pre-processed animal movement data. The temporal resolution should be appropriate for the research question; RSFs can often accommodate lower-frequency data compared to other models like SSFs [1].
  - **Subsampling**: To mitigate the effects of spatial autocorrelation, which can inflate the sample size and lead to overconfident models, consider subsampling the movement track [4]. For instance, in a caribou case study, researchers subsampled 200 out of thousands of observed locations for analysis [4].

Step 2: Defining "Availability"

- **Objective**: Determine the spatial domain that represents the area accessible to the animal, from which "available" locations will be randomly sampled.
- **Protocol**:
  - **Common Methods**: The availability domain is often defined using a home range estimator. Simple methods include the **Minimum Convex Polygon (MCP)**. More complex methods include **Kernel Density Estimation (KDE)** or **Brownian Bridge Movement Models (BBMM)** [4].
  - **Implementation**: Using R, an MCP can be calculated with the `adehabitatHR` package. Available points are then generated within this polygon using the `spsample` function. A common practice is to generate a larger number of available points than used points (e.g., 1000 available vs. 200 used) to ensure a robust comparison [4].

Step 3: Extracting Environmental Covariates

- **Objective**: Obtain the values of relevant environmental variables (e.g., elevation, vegetation cover, distance to roads) at both used and available locations.
- **Protocol**:
  - **Data Sources**: Covariates are typically stored as raster layers in a GIS.
  - **Extraction**: Use the `raster::extract()` function in R to sample the values of each environmental covariate at the coordinates of every used and available point [4]. This creates the final dataset for modeling, with columns for location type (Used TRUE/FALSE) and the extracted covariate values.

Step 4: Model Fitting with Logistic Regression

- **Objective**: Estimate the selection coefficients ((\beta)) of the RSF.
- **Protocol**:

- **Statistical Model**: The RSF is statistically equivalent to an **inhomogeneous Poisson point process (IPP)** and can be fitted using logistic regression on the used/available data [1]. The model is: `glm(Used ~ scale(covariate1) + scale(covariate2) + ..., data = Data.rsf, family = "binomial")` [4].
- **Scaling Covariates**: It is good practice to scale and center covariates (e.g., using `scale()`) to improve model convergence and make coefficients comparable [4].
- **Model Selection**: To find the most parsimonious model, compare candidate models with different combinations of covariates and interactions using **Akaike Information Criterion (AIC)** [21]. For example, a model with an interaction between elevation and distance to roads may have a significantly lower AIC than a model without it [4].

Step 5: Model Validation

- **Objective**: Assess the predictive performance and robustness of the fitted RSF.
- **Protocol**:
  - **k-Fold Cross-Validation**: A standard method is fivefold cross-validation. The data (both used and available points) are split into five folds. The model is trained on four folds and used to predict to the withheld fold. This process is repeated five times [21].
  - **Evaluation Metric**: The predictive power is assessed by calculating the **Spearman rank correlation coefficient ((r_s))** between the ranked RSF predictions and the observed use of the withheld data. A high correlation indicates good predictive performance [21].

Step 6: Interpretation and Mapping

- **Objective**: Interpret the model coefficients and create a predictive map of relative probability of use across the landscape.
- **Protocol**:
  - **Coefficient Interpretation**: Plot the model coefficients (e.g., using the `sjPlot` package) to visualize selection and avoidance. A positive coefficient for elevation means animals select for higher elevations [4].
  - **RSF Map Creation**: Use the `predict()` function with the fitted model and a raster stack of environmental covariates to predict the RSF value ((w(\mathbf{x}))) for every pixel in the study area. The result is a map of the relative probability of use [4].

The following workflow diagram summarizes the key steps in the RSF development process.

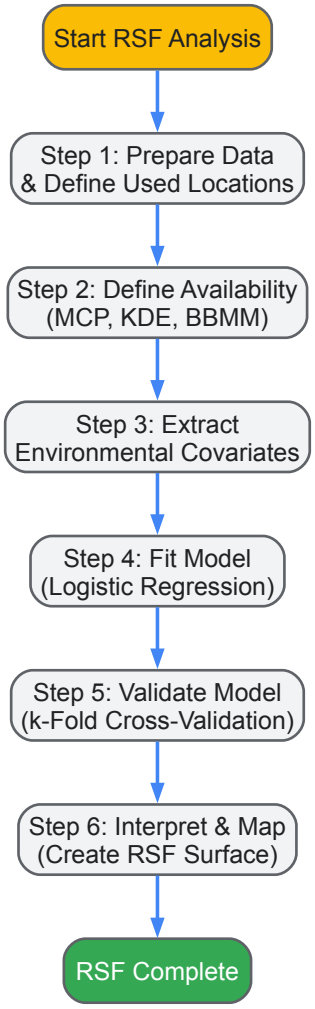

Quantitative Comparison of Habitat Selection Models

While RSFs are powerful, other models like Step-Selection Functions (SSFs) and Hidden Markov Models (HMMs) offer different approaches and insights. The table below compares these models based on key criteria, with data synthesized from a comparative review [1].

Table 1: Comparative analysis of Resource Selection Functions (RSFs), Step-Selection Functions (SSFs), and Hidden Markov Models (HMMs).

Feature	Resource Selection Function (RSF)	Step-Selection Function (SSF)	Hidden Markov Model (HMM)
Core Unit of Analysis	Individual "used" GPS locations [1]	Paired "used" and "available" steps (vectors between consecutive locations) [1]	Sequence of observations (e.g., steps, turns) linked to latent behavioral states [1]
Temporal Data Resolution	Lower frequency often sufficient [1]	Requires high-frequency data [1]	Requires high-frequency data [1]
Handling of Autocorrelation	Often requires subsampling to mitigate [4]	Explicitly controls for it by conditioning on the animal's previous location [1]	Explicitly models it as a state-dependent process [1]
Primary Ecological Inference	Habitat selection at the scale of the availability domain [1]	Habitat selection during movement, integrated with movement mechanics [1]	How habitat relates to discrete, latent behavioral states (e.g., foraging vs. traveling) [1]
Key Advantage	Simplicity; provides broad-scale habitat preference maps [1]	More realistic integration of movement and selection; avoids some biases of RSFs [1]	Reveals variable habitat associations across different behaviors [1]

Experimental Data from a Model Comparison Case Study

A case study on a ringed seal (*Pusa hispida*) directly compared RSF, SSF, and HMM outputs, providing critical empirical evidence for their differential performance [1].

Table 2: Contrasting results from a ringed seal case study applying RSF, SSF, and HMM to the same movement track (adapted from [1]).

Model	Relationship with Prey Diversity	Identified "Important" Areas
RSF	Stronger positive relationship (though not always significant after accounting for autocorrelation) [1]	Different areas identified compared to SSF and HMM [1]
SSF	Weaker positive relationship than RSF (often not significant after accounting for autocorrelation) [1]	Different areas identified compared to RSF and HMM [1]
HMM	Positive relationship with prey diversity specifically during a **slow-moving, area-restricted search** behavior (likely foraging) [1]	Different areas identified compared to RSF and SSF [1]

This case study demonstrates that the choice of model can lead to **varying ecological insights** and identify different areas as important. The HMM, in particular, provided a more nuanced understanding by linking habitat use (prey diversity) to a specific behavior.

Successful implementation of habitat selection analyses requires a suite of computational tools and data resources.

Table 3: Essential tools and packages for developing resource selection and movement models in R.

Tool Name	Type	Primary Function	Key Citation/Reference
`amt`	R Package	Provides a unified framework for animal movement telemetry analyses, including track creation, SSF simulation, and RSF development [1].	[1] [4]
`adehabitatHR`	R Package	Calculates animal home ranges using various methods like MCP and KDE, which are crucial for defining availability in RSFs [4].	[4]
`momentuHMM`	R Package	Fits sophisticated HMMs to animal movement data, allowing the incorporation of environmental covariates into state-dependent distributions [1].	[1]

Tool Name	Type	Primary Function	Key Citation/Reference
`ResourceSelection`	R Package	Specifically designed for fitting resource selection (probability) functions, including goodness-of-fit tests like the Hosmer-Lemeshow test [22].	[22]
`raster`	R Package	Core package for handling and extracting data from spatial raster layers, which is essential for obtaining environmental covariates [4].	[4]
GPS Telemetry Collars	Hardware	Provides the primary data source—high-resolution spatiotemporal location data—for all movement analyses.	[21]
Environmental GIS Rasters	Data	Spatial layers representing habitat covariates (e.g., elevation, land cover, vegetation indices) that are linked to animal locations.	[4] [21]

Advanced Considerations and Future Directions

The Contact RSF: An Innovative Extension

Moving beyond individual habitat selection, the RSF framework has been innovatively extended to model contacts between individuals. A study on wild pigs (*Sus scrofa*) developed a **contact-RSF** model, where "used" points were contact locations between individuals, and "available" points were non-contact locations within their overlapping home ranges [21]. This model revealed that the landscape predictors (e.g., wetlands, linear features) driving contact locations were different from those driving general habitat selection (individual-RSF) [21]. This finding is critical as it challenges the common assumption that spatial overlap of individual RSFs can accurately predict contact hotspots, with direct implications for understanding disease transmission dynamics [21].

The following diagram illustrates the conceptual and data structural differences between a standard RSF and a contact-RSF.

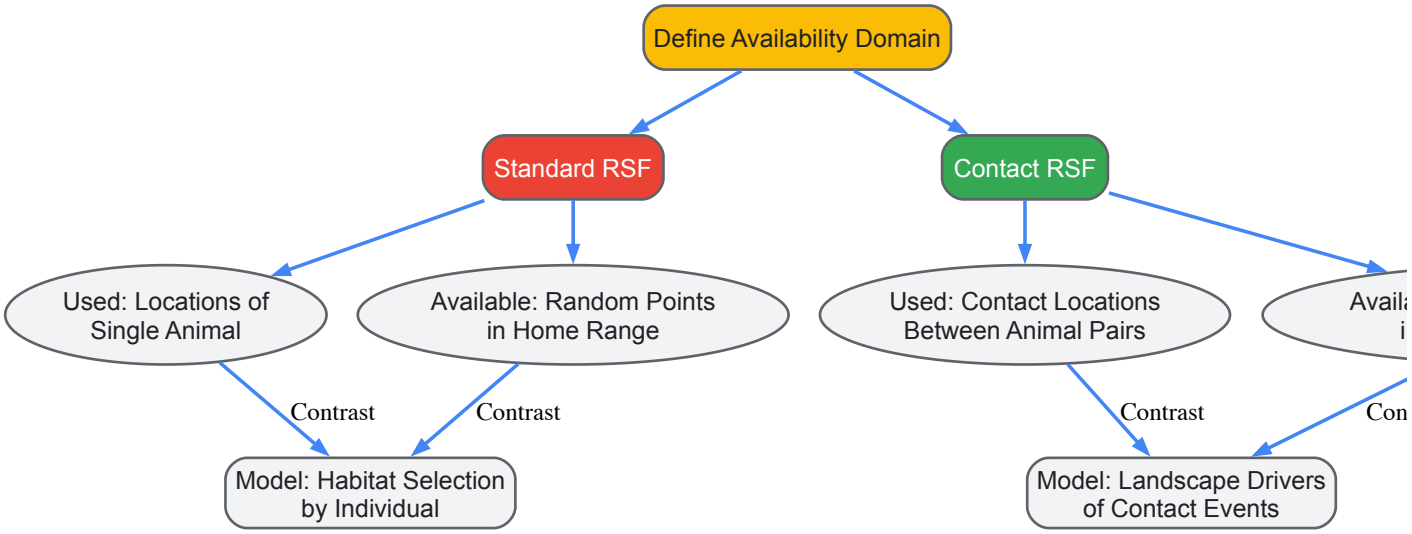

Future Directions in Model Validation

The future of movement model validation lies in multi-model frameworks and robust cross-validation techniques. As the ringed seal case study showed, relying on a single model can yield a narrow or potentially misleading perspective [1]. Future research should:

- **Embrace Multi-Model Inference**: Apply and compare RSF, SSF, and HMM frameworks to the same dataset to gain a comprehensive, behaviorally explicit understanding of habitat selection [1].
- **Prioritize Independent Validation:** Always validate models with out-of-sample data using structured protocols like k-fold cross-validation, rather than relying solely on in-sample fit statistics like AIC [21].
- **Incorporate Biological Realism**: Move beyond simple MCPs for defining availability and use more biologically realistic availability domains derived from movement models, such as those accounting for diffusion-based space use or memory [4].

Leveraging Step Selection Functions (SSFs) for Fine-Scale Movement Analysis

Step-Selection Functions (SSFs) represent a powerful framework in movement ecology for integrating animal movement trajectories with environmental covariates to quantify habitat selection and movement constraints. This comparative guide examines SSFs alongside alternative statistical models, including Resource Selection Functions (RSFs) and Hidden Markov Models (HMMs), highlighting their distinct mathematical

foundations, application domains, and inferential capabilities. We present experimental data and protocols from key studies, synthesizing quantitative comparisons of model performance and providing a structured toolkit for researchers seeking to apply these methods to fine-scale movement analysis. Within the broader thesis of movement ecology model validation, this guide emphasizes the critical importance of matching model selection to specific research questions and data structures.

Understanding species-habitat relationships is fundamental to ecological research and conservation [23]. The analysis of animal movement data has been revolutionized by the advent of high-resolution biologging technology, which provides massive amounts of sequential spatial data on animal trajectories [24] [9]. Statistical models that relate these movement data to environmental indicators enable researchers to infer resource selection, identify critical habitats, and understand behavioral mechanisms [23]. Step-Selection Functions (SSFs) have emerged as particularly valuable tools for studying resource selection by animals moving through a landscape because they explicitly incorporate movement constraints into habitat selection analyses [24] [25].

SSFs belong to a broader family of habitat selection models that also includes Resource Selection Functions (RSFs) and behavior-oriented approaches like Hidden Markov Models (HMMs) [23]. Each model class operates on different principles, requires different data resolutions, and yields distinct ecological insights [23]. For instance, while RSFs provide broad-scale information on species-habitat relationships, SSFs offer a more nuanced understanding of how movement capacities interact with environmental features to shape space use patterns [24] [23]. The validation of these movement ecology models requires careful consideration of their underlying assumptions, data requirements, and inferential limitations.

Model Comparison: SSFs vs. Alternative Approaches

Conceptual Foundations and Mathematical Formulations

Step-Selection Functions (SSFs) compare environmental attributes of observed steps (the linear segment between two consecutive positions) with alternative random steps taken from the same starting point [24]. The SSF is typically defined as an exponential function of the form $w(x) = \exp(\beta x)$, where x represents a vector of habitat covariates and β are selection coefficients [24]. This approach conditions each step on the previous location, thereby explicitly incorporating the serial correlation inherent in movement data [24] [25]. SSFs can be framed as an approximation to space-time point process models, with the general form:

[[\textbf{s}(t*i)||\textbf{s}(t*{i-1}),\varvec{\beta}] \equiv \frac{g(\textbf{w}(\textbf{s}(t*i)),\varvec{\beta})fi(\textbf{s}(t*i)||\textbf{s}(t*{i-1}))} {\int*{\mathcal{S}}g(\textbf{w}(\textbf{s}),\varvec{\beta})fi(\textbf{s}|\textbf{s}(t_{i-1}))d\textbf{s}}]

where (f_i) represents the movement kernel and (g) weights this kernel based on habitat resources [25].

Resource Selection Functions (RSFs) are traditionally defined as any function proportional to the probability of selection of a spatial resource unit [24] [23]. RSFs compare environmental conditions at used locations versus available locations typically drawn from the animal's home range [23]. The standard exponential RSF takes the form $w(x) = \exp(\beta_1 x_1 + \beta_2 x_2 + \cdots + \beta_k x_k)$, with coefficients estimated via logistic regression comparing used and available locations [23]. RSFs can also be formulated as inhomogeneous Poisson point processes (IPPs) that model the density of animal locations across geographical space [23].

Hidden Markov Models (HMMs) take a fundamentally different approach by assuming an animal's movement arises from multiple behavioral states (e.g., resting, foraging, relocating), each characterized by distinct movement characteristics and habitat selection patterns [23] [26]. HMMs incorporate latent behavioral states that are inferred probabilistically from the observed movement data, allowing researchers to link specific behaviors to environmental covariates [23] [26].

Comparative Analysis of Model Characteristics

Table 1: Comparison of Key Characteristics Between Movement Analysis Models

Characteristic	Step-Selection Functions (SSFs)	Resource Selection Functions (RSFs)	Hidden Markov Models (HMMs)
Primary Question	How do movement and habitat selection interact?	Where is habitat selected?	How does habitat relate to behavioral states?
Scale of Inference	Fine-scale (3rd-4th order selection)	Broad-scale (2nd-3rd order selection)	Behavior-specific selection
Temporal Resolution	High (regular or irregular intervals)	Lower (independent locations)	High (regular intervals)
Movement Constraints	Explicitly incorporated	Not incorporated	Incorporated via state-dependent distributions
Behavioral Inference	Limited without extensions	Not applicable	Explicit state estimation

Characteristic	Step-Selection Functions (SSFs)	Resource Selection Functions (RSFs)	Hidden Markov Models (HMMs)
Availability Definition	Movement-based from previous location	Home range or study area	Varies by implementation
Typical Data Requirements	GPS tracks with short intervals	GPS or VHF locations	High-frequency GPS data

Quantitative Performance Comparison

Table 2: Experimental Comparison of Model Performance from Empirical Studies

Study System	Model	Key Covariates	Predictive Performance	Behavioral Insights
Muskoxen (High Arctic) [26]	Behavior-specific SSF	Terrain, vegetation, snow	Improved for foraging/relocating	State-dependent selection tradeoffs
	Behavior-unspecific SSF	Terrain, vegetation, snow	Lower overall performance	Masked state-specific selections
Ringed Seal [23]	SSF	Prey diversity	Non-significant relationship	Limited behavioral context
	RSF	Prey diversity	Stronger apparent relationship (potentially spurious)	No behavioral discrimination
	HMM	Prey diversity	Variable by behavior (positive with slow movement)	Clear state-dependent selection
Mountain Lion [25]	Rayleigh SSF	Landscape features	Improved with irregular intervals	Continuous-time movement

Experimental Protocols and Methodologies

Core SSF Workflow

The following diagram illustrates the standard workflow for implementing Step-Selection Function analysis:

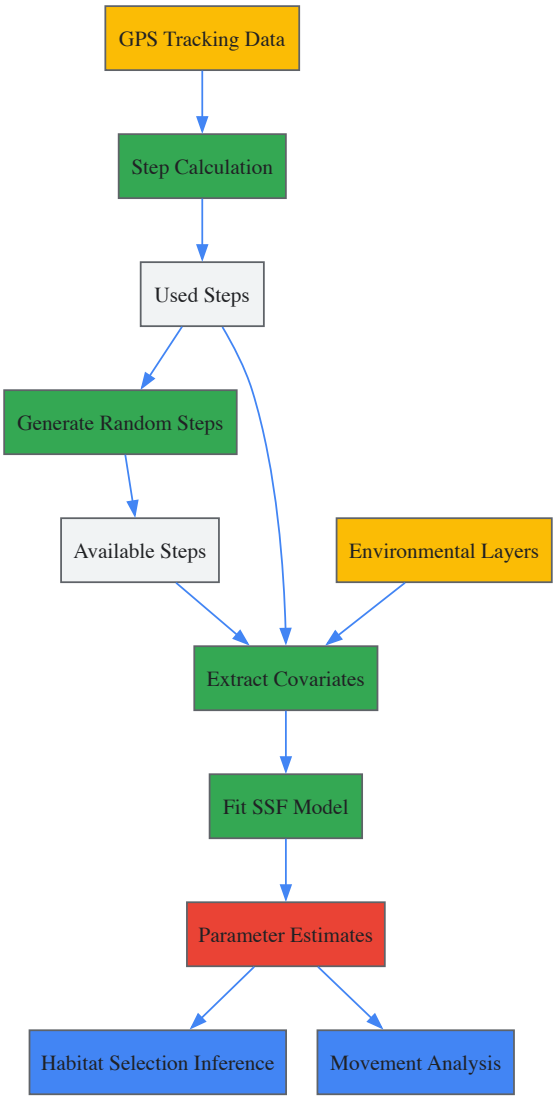

SSF Workflow Diagram

Detailed Methodological Protocols

Objective: To evaluate how accounting for behavior in SSFs influences habitat selection inference.

Step 1: Data Collection

- Collect high-resolution GPS data (e.g., hourly positions) from study individuals
- Record environmental covariates: terrain features, vegetation metrics, snow conditions

Step 2: Behavioral State Inference

- Apply Hidden Markov Models to classify movements into behavioral modes (resting, foraging, relocating)
- Use characteristic movement patterns: step lengths and turning angles for each state
- Validate state classification using field observations or posterior probability checks

Step 3: Behavior-Specific SSF Implementation

- Define availability domains separately for each behavioral state
- Generate random steps from state-specific distributions of step lengths and turning angles
- Fit separate SSF models for each behavioral state using conditional logistic regression
- Compare with behavior-unspecific SSF that pools all data

Step 4: Model Evaluation

- Assess predictive performance using cross-validation or out-of-sample prediction
- Compare variable selection and coefficient estimates between models
- Evaluate ecological interpretability of state-specific selection patterns

Key Findings: Behavior-specific availability domains improved predictive performance for foraging and relocating models but decreased performance for resting models. Fitting separate behavior-specific models primarily influenced selection strength estimates [26].

Objective: To implement continuous-time SSF that accommodates irregular sampling intervals.

Step 1: Ecological Diffusion Theory Foundation

- Derive availability distributions from ecological diffusion principles
- Use Rayleigh distribution for step lengths: $f(l) = \frac{l}{\sigma^2} \exp\left(-\frac{l^2}{2\sigma^2}\right)$
- Use uniform distribution for turning angles: $f(\theta) = \frac{1}{2\pi}$

Step 2: Motility Estimation

- Calculate homogenized motility coefficient using temporal moving average: $\bar{\delta}(t_i) \approx \sum_{t_j \sim t_i} \frac{(\textbf{s}(t_j)-\textbf{s}(t_{j-1}))'(\textbf{s}(t_j)-\textbf{s}(t_{j-1}))}{4n_i\Delta t_j}$
- Adjust for spatial grain and temporal interval irregularity

Step 3: SSF Estimation with Rayleigh Distributions

- Generate available steps from Rayleigh step-length distribution
- Compare with commonly used distributions (gamma, log-normal)
- Assess model fit using AIC and predictive performance

Key Findings: The Rayleigh distribution naturally accommodates irregular time intervals and showed advantages in precision and inference compared to traditional distributions [25].

Statistical Software and Computational Tools

Table 3: Essential Research Tools for SSF Implementation

Tool Category	Specific Software/Package	Key Functionality	Application in SSF Analysis
R Packages	`amt` [23]	SSF, RSF, movement analysis	Track manipulation, SSF implementation
	`momentuHMM` [23]	HMM fitting	Behavioral state inference
	`glmmTMB`, `inlabru`	Advanced regression	Model fitting alternatives
GIS Software	ArcGIS, QGIS, Raster	Spatial analysis	Environmental covariate processing
Programming	R, Python	Data manipulation	End-to-end analysis workflow
Specialized Tools	GME [24]	SSF implementation	Early SSF tool for GIS integration

Data Requirements and Collection Technologies

GPS Tracking Technology: Modern wildlife tracking collars capable of high-frequency data collection (minutes to hours between fixes) with high spatial accuracy (e.g., GPS, satellite telemetry) [24] [9]. The choice of fix rate should align with the research question and the expected scale of animal decision-making [24].

Environmental Data Layers: Remote sensing products and geographic information systems (GIS) providing data on vegetation, topography, hydrology, human infrastructure, and climate variables at appropriate spatial and temporal resolutions [24] [23]. The resolution should match the scale of animal perception and movement capabilities.

Computational Infrastructure: Adequate computing resources for processing large movement datasets, storing environmental layers, and running computationally intensive statistical models, particularly for hierarchical or integrated SSF approaches [9] [27].

Advanced Methodological Considerations

Integrated Step-Selection Analysis (iSSA)

Integrated Step-Selection Analysis extends conventional SSFs by simultaneously estimating movement parameters and selection coefficients, thereby providing a more cohesive framework for understanding movement and habitat selection [26] [25]. This approach explicitly models how environmental covariates influence both movement characteristics (step lengths and turning angles) and habitat selection, offering a more mechanistic understanding of animal space use [26].

Numerical Integration Approaches

Traditional SSF estimation often relies on conditional logistic regression, which can be limiting for certain model formulations [27]. Numerical integration techniques, including Monte Carlo methods and quadrature approaches, offer alternative estimation strategies that provide greater flexibility in model specification and improved statistical inference [27]. These approaches explicitly distinguish between model formulation and inference technique, allowing researchers to compare different SSF formulations using standard model selection criteria like AIC [27].

Multi-Scale and Hierarchical Frameworks

Animal movement occurs across multiple spatial and temporal scales, necessitating approaches that can accommodate this complexity [24] [9]. Hierarchical frameworks that partition movement trajectories into nested behavioral modes and phases enable researchers to connect fine-scale movement decisions to broader-scale space use patterns [9]. These approaches are particularly valuable for forecasting how animals may respond to environmental changes across different organizational levels [9].

Step-Selection Functions provide a powerful and flexible framework for integrating animal movement with environmental selection, offering distinct advantages over traditional RSFs particularly for fine-scale analyses of movement- habitat interactions [24] [23] [25]. The integration of behavioral states through HMMs or behavior-specific SSFs further enhances our ability to understand the contextual nature of habitat selection [23] [26].

Future methodological developments will likely focus on improved computational efficiency for large datasets, enhanced incorporation of individual variability, more sophisticated approaches for defining availability, and better integration with population-level processes [9] [27]. As movement ecology continues to mature, the validation and comparison of different modeling approaches will be essential for advancing both methodological rigor and ecological understanding [23].

For researchers selecting among these approaches, key considerations should include: the specific research question (habitat selection vs. behavior vs. movement mechanisms), the spatial and temporal resolution of available data, the need to accommodate irregular sampling intervals, and the importance of behavioral context in habitat selection inferences [23] [26] [25]. By carefully matching model capabilities to research objectives, movement ecologists can maximize insights from increasingly sophisticated tracking data.

Using Hidden Markov Models (HMMs) to Link Environment to Behavioral States

Comparative Analysis of HMM Frameworks in Movement Ecology

This guide objectively compares the performance of standard and enhanced Hidden Markov Models (HMMs) for inferring animal behavioral states from movement data, a critical task in ecology for understanding species-environment interactions. The evaluation is framed within the broader challenge of model validation in movement ecology.

Hidden Markov Models are statistical tools that interpret a sequence of observed animal movements (like step lengths and turning angles) to infer underlying, unobserved behavioral states (such as resting, foraging, or travelling). Their performance is not universal and depends on the model's structure and the ecosystem's characteristics [28] [29].

The table below summarizes the core performance characteristics of three HMM-based approaches as identified in the literature.

HMM Framework	Best-Suited Environment	Key Strengths	Key Limitations / Challenges
Standard HMM [28] [19]	Heterogeneous systems with patchy resources [19]	- Robust at lower GPS resolutions [19]- High accuracy when movement states are distinct [19]	- Struggles with "foraging on the go" in homogenous environments (e.g., tropical seas) [19]- Prone to misclassify behaviors with similar movement patterns [19]
Semi-Supervised HMM [19]	Homogenous environments where movement states are less distinct [19]	- Significantly improves overall accuracy (e.g., from 77% to 85%) with a small subset of validated data [19]- Validates and improves behavioral classification [19]	- Improvement is state-dependent; inference of foraging behavior can remain challenging (low sensitivity and precision) [19]- Requires additional sensor data collection [19]
Hierarchical HMM (HHMM) [30]	Multi-scale data analysis (e.g., fine-scale diving and large-scale migration) [30]	- Models behavior simultaneously at multiple time scales [30]- Avoids the need to coarsen high-resolution data [30]	- Increased model complexity [30]- One of the first frameworks for multi-scale modeling, implying ongoing development [30]

Experimental Protocols for Model Validation

A critical methodology for validating and improving HMMs involves using auxiliary sensor data. The following protocol, derived from a study on red-billed tropicbirds, provides a replicable experimental design.

1. Objective: To assess whether incorporating a small subset of known behaviors from auxiliary sensors can improve the behavioral classification accuracy of an HMM for a species foraging in a homogenous environment [19].

2. Field Data Collection:

- **Primary Data:** GPS loggers were deployed on 478 red-billed tropicbirds, recording positions every 5 minutes to calculate step lengths and turning angles [19].
- **Auxiliary Validation Data:** A subset of birds was co-tagged with:
  - **Wet-dry sensors:** To distinguish periods of rest (on water) from flight [19].
  - **Accelerometers:** To provide fine-scale activity measurements indicative of specific behaviors [19].
  - **Time Depth Recorders (TDR):** To detect dive events, a direct indicator of foraging [19].

3. Data Integration and Model Fitting:

- **Behavioral Labeling:** GPS fixes coinciding with data from auxiliary sensors were assigned "known" behavioral states (e.g., a GPS point during a dive was labeled "foraging") [19].
- **Semi-Supervision:** An HMM was fitted to the entire GPS dataset, but the model was informed ("semi-supervised") by the pre-labeled fixes. This process involved holding out the known states during the model's training phase to evaluate classification accuracy [19].

4. Performance Evaluation:

- The model's inferred behaviors were compared against the known behaviors from the auxiliary sensors.
- Metrics such as overall accuracy, sensitivity (true positive rate), and precision (positive predictive value) were calculated for each behavioral state (resting, foraging, travelling) to identify specific strengths and weaknesses in the classification [19].

Conceptual Workflow for Semi-Supervised HMM Validation

The diagram below illustrates the logical workflow for the semi-supervised HMM approach used to improve behavioral classification.

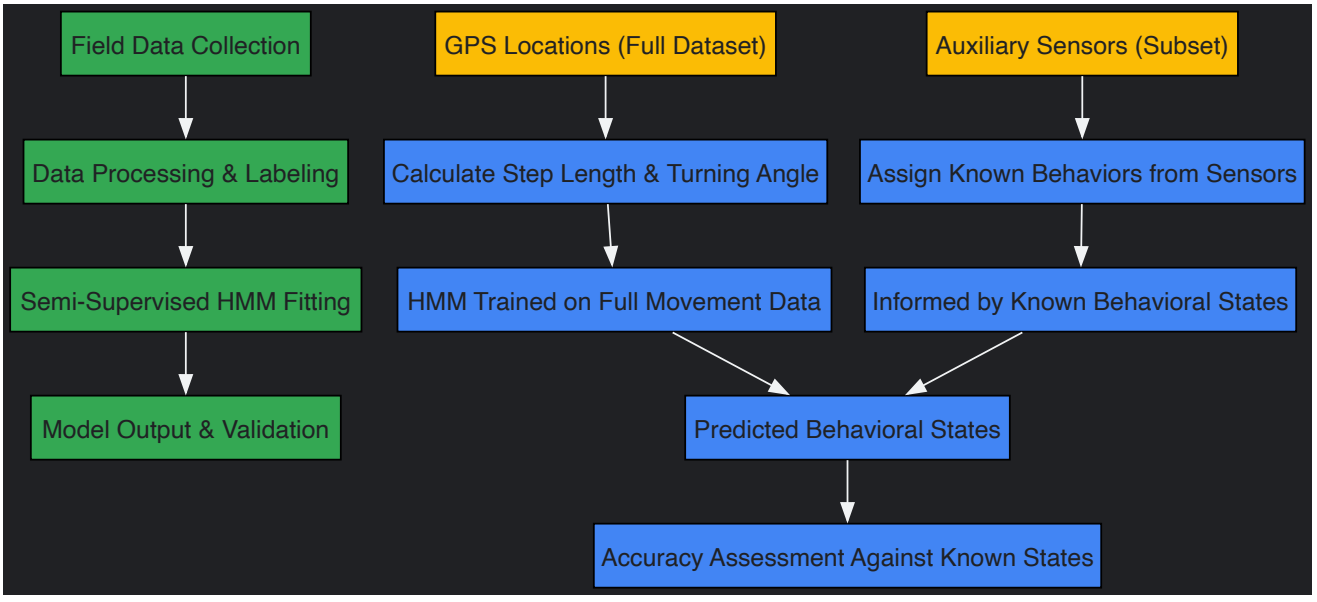

The Scientist's Toolkit: Essential Research Reagents and Materials

The table below details key equipment and analytical tools essential for conducting movement ecology studies using HMMs.

Item Name	Function / Application in HMM Research
GPS Loggers	Primary device for collecting animal location data at regular intervals. The step lengths and turning angles calculated from these positions form the core observation data for the HMM [19].
Bio-Logging Sensor Suite (Accelerometer, TDR, Wet-Dry)	Auxiliary sensors used to collect high-fidelity, ground-truthed data on specific behaviors (e.g., diving, flying, resting). This data is crucial for validating and semi-supervising HMMs [19].
Hidden Markov Model Software (e.g., `moveHMM`, `momentuHMM` in R)	Specialized statistical packages used to fit HMMs to movement data. They allow for the incorporation of multiple data streams and semi-supervision protocols [19].

Item Name	Function / Application in HMM Research
Hierarchical HMM (HHMM) Framework	An advanced modeling framework that incorporates multiple Markov chains at different time scales. It is used to make behavioral inferences simultaneously across fine and broad temporal resolutions [30].

Data Requirements and Preparation for Different Modeling Approaches

Within the broader context of movement ecology model validation, selecting an appropriate analytical model is contingent upon the type and structure of available data. Modern movement ecology leverages a variety of statistical and computational models to infer behavioral states, understand ecological processes, and forecast movement paths. This guide objectively compares the data requirements and preparation protocols for prominent modeling approaches used in the field, providing a framework for researchers to align their data collection strategies with their analytical goals.

Comparative Analysis of Modeling Approaches

The table below summarizes the core data requirements, preparation needs, and primary applications of four key modeling approaches in movement ecology.

Table 1: Data Requirements and Model Applications Comparison

Modeling Approach	Core Data Requirements	Key Data Preparation Steps	Primary Applications & Validation Insights
Hidden Markov Models (HMMs) [20] [31]	**Tracking Data:** High-frequency, regular-time-interval location data (e.g., GPS).**Data Structure:** Time series of step lengths and turning angles.**Ancillary Data:** Optional covariates (e.g., habitat type, physiological data from biologgers).	1. **Process Raw Locations:** Filter spurious fixes and correct for measurement error.2. **Derive Movement Metrics:** Calculate step lengths (distance between consecutive points) and turning angles (change in direction).3. **Handle Gaps:** Impute or regularize time series for missing data.4. **Scale Covariates:** Normalize environmental or physiological covariates for model stability.	**Application:** Inferring latent behavioral states (e.g., foraging vs. transit) from movement patterns [20].**Validation Insight:** Model fit is often assessed via pseudo-residual plots and the Viterbi algorithm to decode the most probable sequence of states, which can be validated against direct behavioral observations [31].
State-Space Models (SSMs) [31]	**Tracking Data:** Lower-frequency data or data with substantial measurement error (e.g., Argos satellite data).**Data Structure:** Time series of observed locations.**Ancillary Data:** Can incorporate various observation error models.	1. **Define Error Structure:** Specify appropriate error distributions for the observation process (e.g., for Argos Kalman filter).2. **Model True Location:** The model estimates a latent, "true" location path from noisy observations.3. **Integrate with HMMs:** SSMs are often used as a pre-processing step before HMM analysis to obtain a cleaner path for behavioral inference.	**Application:** Estimating an animal's true, unobserved path from noisy data and analyzing resource selection [31].**Validation Insight:** The estimated path can be validated by comparing inferred space use against independent data, such as camera traps or prey distribution maps.
Hierarchical Movement Frameworks [9]	**Tracking Data:** Multi-scale tracking data (e.g., high-resolution GPS over long periods).**Data Structure:** Trajectories that need segmentation into discrete behavioral modes and phases.**Ancillary Data:** Environmental data at multiple spatio-temporal scales.	1. **Path Segmentation:** Partition long-term tracks into a hierarchy: fundamental movement elements -> canonical activity modes (e.g., foraging bout) -> broad phases (e.g., migration).2. **Multi-scale Covariate Alignment:** Align environmental data (e.g., NDVI, temperature) with the appropriate hierarchical level (e.g., daily weather for a foraging bout, seasonal climate for a migratory phase).	**Application:** Forecasting animal movement and space use under environmental change by understanding how fine-scale behaviors aggregate into lifetime movement patterns [9].**Validation Insight:** Forecasts are validated through hindcasting, where models are trained on historical data and their predictions are tested against known future movements.
Reaction-Diffusion &	**Tracking Data:** Multiple individual tracks within a shared landscape, or data on animal density and movement	1. **Estimate Diffusion Rates:** Calculate parameters from individual movement paths or use literature values.2. **Define**	**Application:** Quantifying encounter rates between individuals for processes like predation, disease transmission, and

Modeling Approach	Core Data Requirements	Key Data Preparation Steps	Primary Applications & Validation Insights
Encounter Theory [9]	rates.**Data Structure:** Individual paths or population-level movement parameters.**Ancillary Data:** Landscape characteristics and permeability.	**Encounter Kernels:** Mathematically define the criteria for an "encounter" (e.g., first-passage event within a critical distance).3. **Map Landscape Resistance:** Incorporate GIS layers representing barriers or corridors to movement.	social contact, overcoming limitations of the classic "ideal gas" model [9].**Validation Insight:** Model-predicted encounter rates can be validated with direct observational data from camera traps or proximity loggers.

Experimental Protocols for Model Validation

Robust validation is critical for assessing model performance and ensuring ecological inference is reliable.

Protocol: Validating HMMs with Field Experiments

This protocol is designed to ground-truth HMM-inferred behavioral states, as exemplified in hummingbird cognition research [20].

- **Objective:** To determine how patterns of animal movement change as they learn a rewarded location and to validate HMM-inferred search strategies against experimental measures.
- **Experimental Setup:**
  - **Subjects:** Wild hummingbirds.
  - **Apparatus:** A field array of artificial flowers, with one specific flower containing a sucrose reward.
  - **Trials:** Birds are subjected to either a single training trial or 12 repeated trials to learn the flower's location. In a separate treatment, local landmarks are removed to test their importance.
- **Data Collection:**
  - **Movement Tracking:** High-resolution recording of bird hovering locations and flight paths near the flower array.
  - **Behavioral Measures:** Independent, experimental measures of spatial memory, such as accuracy in returning to the rewarded location and search time.
- **Model Validation Workflow:**
  - **Apply HMM:** Fit a Hidden Markov Model to the tracked movement paths to identify distinct movement states (e.g., "memory-led search" vs. "systematic search").
  - **Correlate with Experiment:** Compare the proportion of time spent in each HMM-inferred state with the independent behavioral measures of spatial memory and accuracy.
  - **Validation Metric:** A strong, interpretable correlation between the emergence of a "memory-led search" state and high experimental performance validates the HMM's biological relevance [20].

Protocol: Energetics-Informed Path Forecasting

This protocol validates a mechanistic model for long-distance migration, as demonstrated in globe-skimmer dragonfly studies [9].

- **Objective:** To predict and validate multi-generational migratory routes for insects using an energetics- and wind-informed movement model.
- **Experimental Setup:**
  - **Study System:** *Pantala flavescens* (globe-skimmer dragonfly) migration across the Indian Ocean.
  - **Data Compilation:** Gather historical atmospheric data, including seasonal wind patterns (e.g., Somali Jet stream), and identify potential stopover habitats (e.g., Maldives, Seychelles).
- **Model Implementation:**
  - **Algorithm:** Use a modified Dijkstra's pathfinding algorithm.
  - **Energetic Constraints:** Parameterize the model with the dragonfly's flight-time energy constraints.
  - **Wind Compensation:** Incorporate behavioral rules for compensating wind drift.
  - **Network Modeling:** Run the model on wind data from 2002–2007 to generate a predicted migration network linking India and East Africa.
- **Validation Method:**
  - **Field Observation Comparison:** Compare the model's predicted routes, timing, and necessary stopover locations with independent field observations of dragonfly arrivals and departures.
  - **Validation Metric:** The model is considered validated if its predictions align with known migration timing and the existence of a branched migration circuit, thereby supporting the hypothesis that dragonflies use stepping-stone islands for refueling [9].

Visualizing Movement Ecology Workflows

The following diagrams illustrate the logical relationships and experimental workflows described in this guide.

From Tracking Data to Ecological Insight

This diagram outlines the core workflow in movement ecology, from data collection to model-driven ecological understanding.

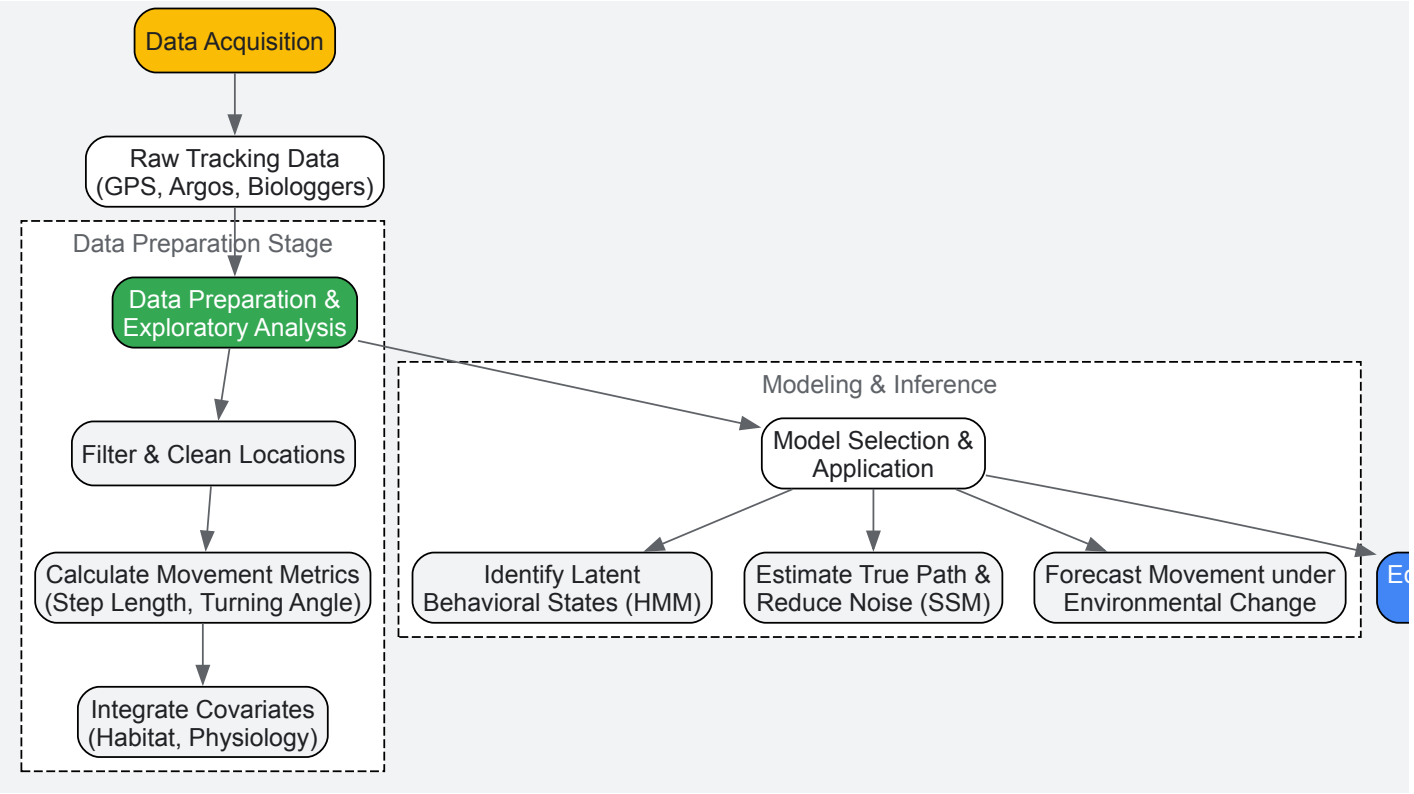

HMM Validation Experiment Logic

This diagram maps the logical flow of the field experiment used to validate HMM-inferred behavioral states.

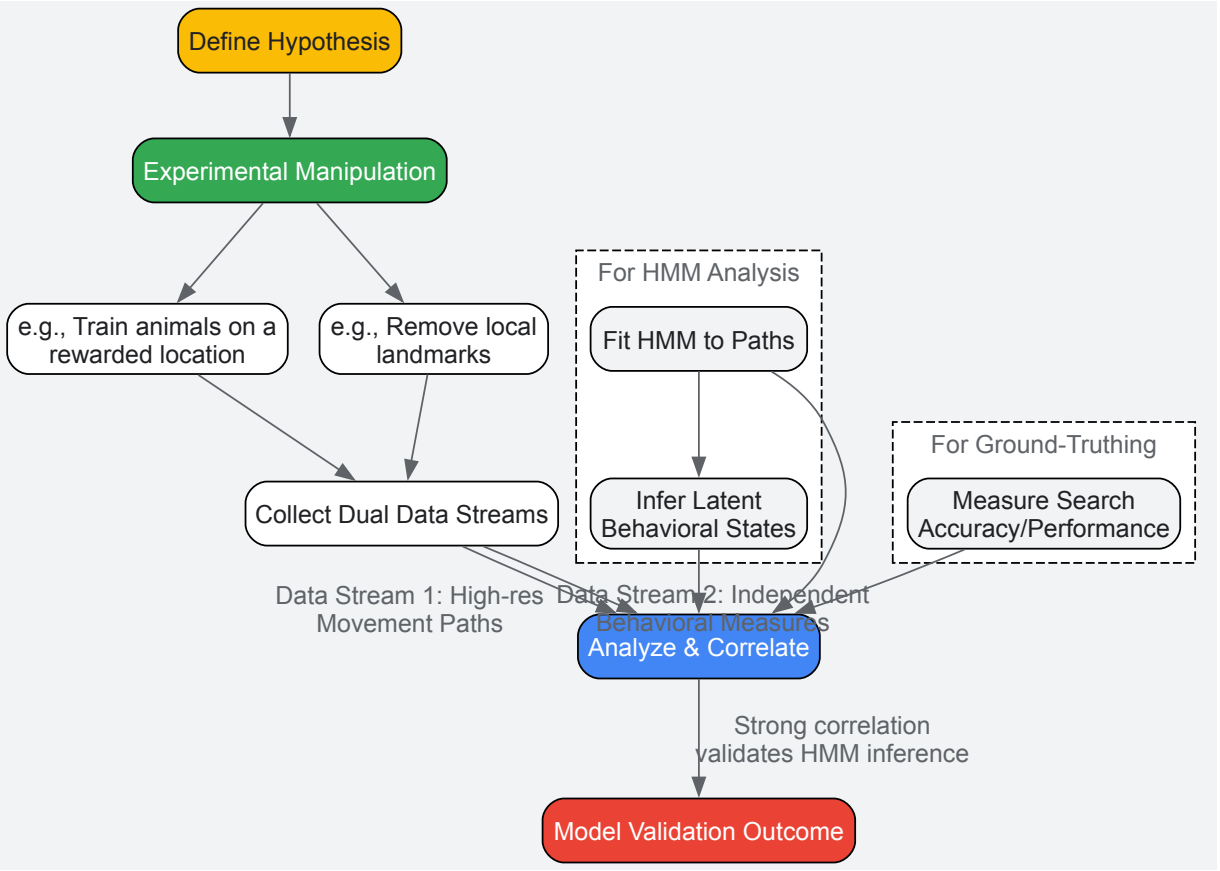

The Scientist's Toolkit: Research Reagent Solutions

This table details key technologies and analytical tools that constitute the essential "reagent solutions" for modern movement ecology research.

Table 2: Essential Research Tools in Movement Ecology

Tool / Technology	Function & Application	Key Considerations
GPS Loggers & Biologgers [32] [31]	**Function:** Capture high-resolution location data and ancillary physiological (e.g., body temperature) or behavioral (e.g., acceleration) data.**Application:** Provides the primary data stream for HMMs, SSMs, and hierarchical analyses.	Size, battery life, and data retrieval/transmission mode (e.g., UHF, Iridium) must be suited to the study species and system.
Accelerometers [31]	**Function:** Measure fine-scale body movement and posture, often used to classify specific behaviors (e.g., foraging, running, flying).**Application:** Used to validate behaviors inferred from GPS data alone or as a core data source for detailed activity budgets.	Data is high-volume and requires sophisticated machine learning classification models for behavioral annotation.
Virtual Fencing & Smart Feeders [32]	**Function:** Enable remote, experimental manipulation of animal movement and resource access in rangeland systems.**Application:** Used as model systems to experimentally test how internal state (e.g., nutritional) and external factors affect movement decisions.	Represents a novel tool for achieving experimental control in semi-free-ranging systems, bridging a gap between lab and wild studies [32].
Hidden Markov Model (HMM) Software (e.g., `moveHMM` in R) [20]	**Function:** Statistical packages for fitting HMMs to movement data to decode latent behavioral states from movement patterns.**Application:** The standard tool for segmenting tracks into behavioral modes like foraging and migration.	Requires careful model selection and checking (e.g., via residual analysis) to ensure ecological validity of inferred states.
State-Space Model (SSM) Software (e.g., `bsam`, `crawl` in R) [31]	**Function:** To estimate the true, underlying path of an animal from observed locations that contain measurement error.**Application:** A critical pre-processing step for analyzing data from sources like Argos satellites, which have high locational uncertainty.	Improves the quality of all subsequent analyses (e.g., home range, speed calculation) by accounting for observation error.
Agent-Based Modeling Platforms (e.g., NetLogo) [9]	**Function:** Simulate the actions and interactions of autonomous agents (e.g., individuals in a flock) to assess emergent group-level outcomes.**Application:** Testing hypotheses about the simple behavioral rules (e.g., alignment, cohesion) that give rise to collective movement.	Allows for virtual experiments that would be impossible or unethical to conduct in the wild.

In the field of movement ecology, accurately inferring an animal's behavioral state from tracking data is a critical step for meaningful connectivity analysis. This case study examines the application of these principles to the **Iberian lynx (Lynx pardinus)**, an endemic feline of the Iberian Peninsula and one of the world's most endangered cat species [33]. The survival and recovery of this species depend heavily on maintaining and restoring **ecological connectivity** between its isolated population nuclei. Traditional connectivity models often make simplified assumptions, treating animal movement as either completely deterministic or entirely random. However, recent research demonstrates that incorporating **behaviorally explicit models**—which distinguish between different movement phases such as territorial maintenance, dispersal, and exploration—dramatically improves the accuracy of connectivity assessments and conservation planning [34] [35]. This study synthesizes current research to compare modeling approaches, detail experimental protocols, and present quantitative findings on lynx movement, providing a framework for validating movement ecology models in conservation practice.

Behavioral State Classification in Iberian Lynx

The movement behavior of the Iberian lynx is not monolithic; it varies significantly depending on the individual's immediate goals and life-history stage. Research based on GPS telemetry data from 124 lynxes, primarily collected during a reintroduction program, has identified and defined five distinct **movement phases** [35].

Table 1: Defined Behavioral (Movement) States in Iberian Lynx

Behavioral State	Definition	Primary Objective	Typical Duration
Home Range	Stable territory use within a defined area [36]	Resource acquisition (foraging, mating) and reproduction	Long-term (years) [33]
Transient Residence	Temporary settlement in an area outside a permanent home range	Short-term resource exploitation during dispersal	Days to weeks

Behavioral State	Definition	Primary Objective	Typical Duration
Excursion	Short, round-trip foray outside the home range	Exploration of adjacent areas without abandoning territory	Short-term (days)
Dispersal	Permanent, directional movement from natal or former home range [37]	Settlement in a new, unoccupied territory	Weeks to months
Post-Release Dispersal	Exploratory phase immediately following reintroduction [36]	Initial settlement and territory establishment in a novel environment	Varies (until settlement)

These movement phases are not merely descriptive; they are characterized by fundamentally different **habitat selection patterns**. For instance, during the stable "Home Range" phase, lynxes consistently select for mosaics of natural vegetation (tree, shrubland, and grassland cover) and avoid intensive non-tree cropland and areas with high road and human infrastructure density at a local scale. In contrast, during "Dispersal" phases, the avoidance of human infrastructure is less pronounced, indicating a high degree of **behavioral plasticity** where the imperative to find a territory temporarily overrides habitat selectivity. "Post-Release Dispersal" shows an intermediate pattern, with infrastructure avoidance but a stronger selection for sheltering features like rugged terrain and shrub cover [35]. Failing to distinguish between these states can lead to严重 flawed connectivity models.

Experimental Protocols for Data Collection and Analysis

Telemetry and Field Monitoring Protocols

The primary data source for inferring lynx behavioral states comes from intensive GPS telemetry campaigns. In a long-term study in the Hornachos-Matachel Valley reintroduction area in Extremadura, Spain, 32 lynxes were monitored between 2014 and 2018 [36].

- **Animal Tagging**: Reintroduced lynx were fitted with tracking collars during their final health check at captive breeding centers before release. The study utilized two main types of collars:
  - **GPS Collars**: Models included Sirtrack G3C, Followit Tellus Ultra light, and PCB TM-202 L70. These were typically used during the first year post-release and were programmed to record 4–5 locations per day, providing high-resolution data for analyzing fine-scale movements and initial exploratory behavior [36].
  - **VHF Collars**: Andreas Wagener Q-7 models were used after an individual was considered settled. Animals with VHF collars were located 2–5 times per week via triangulation, which is sufficient for monitoring territorial individuals but less so for tracking rapid dispersal [36].
- **Release Methods**: The protocol involved both "soft" and "hard" releases. In soft releases, lynx spent a variable period (2–127 days) in a pre-release enclosure within the reintroduction area to acclimate. Hard releases involved freeing the lynx directly into the field, a method used more frequently from 2016 onward [36].
- **Site Fidelity Analysis**: To objectively determine whether a lynx was resident (Home Range state) or in an exploratory phase (e.g., Dispersal), researchers performed a **site fidelity analysis** in four-monthly units. This statistical approach helps identify when an animal's movement patterns become constrained to a specific area, indicating territory establishment [36].

Protocol for Validating Movement Randomness

A key methodological advancement was the validation of the level of randomness in movement models using the **randomized shortest path (RSP)** framework [34]. The protocol involved:

- **Surface Conductance**: A conductance surface, which quantifies the ease of movement across the landscape, was first created using **Point Selection Functions**. Critically, these functions accounted for the behavioral state (territorial vs. exploratory) of the lynx.
- **Model Execution**: Connectivity surfaces were developed using the RSP approach across a spectrum of randomness levels (parameter θ). This range included models that were almost deterministic (akin to Least-Cost Path models) to models simulating nearly random walks (akin to Circuit Theory).
- **Validation**: The different models were validated against independent GPS location data from lynxes that were not used in model creation. Multiple validation techniques were employed to robustly identify the **optimal level of randomness** (θ) that best predicted the actual observed movement paths of the lynx [34].

Comparative Analysis of Modeling Approaches

The study comparing traditional connectivity approaches with the behaviorally-informed RSP model yielded clear and significant contrasts [34].

Table 2: Model Performance Comparison in Lynx Connectivity Analysis

Modeling Approach	Theoretical Basis	Underlying Movement Assumption	Performance in Validation	Key Limitation
Least-Cost Path (LCP)	Deterministic; animals choose the single most efficient route [34]	Totally deterministic	Outperformed by intermediate randomness models	Oversimplifies movement; ignores exploratory behavior
Circuit Theory	Random walk; movement is a function of landscape resistance [34]	Totally random (random walk)	Outperformed by intermediate randomness models	Over-predicts diffusion; lacks goal-directed movement
Randomized Shortest Path (RSP) with Optimized θ	Compromise between LCP and random walk; allows for sub-optimal moves [34]	Intermediate level of randomness	**Superior** fit to independent lynx GPS data	Requires calibration with movement data

The findings were unequivocal: models with **intermediate levels of randomness** significantly outperformed those with extreme assumptions (fully deterministic or fully random). While the optimal value of θ varied slightly depending on the validation technique, the resulting corridor networks were consistently more accurate than those generated by traditional methods. The corridor networks produced by the traditional LCP and Circuit Theory approaches showed "notable differences in patterns" from the network calculated with the optimized RSP, underscoring the practical importance of this methodological refinement [34].

Visualization of Workflows and Relationships

Behavioral Ecology Research Workflow

The following diagram illustrates the integrated workflow for studying Iberian lynx behavioral ecology, from data collection to conservation application.

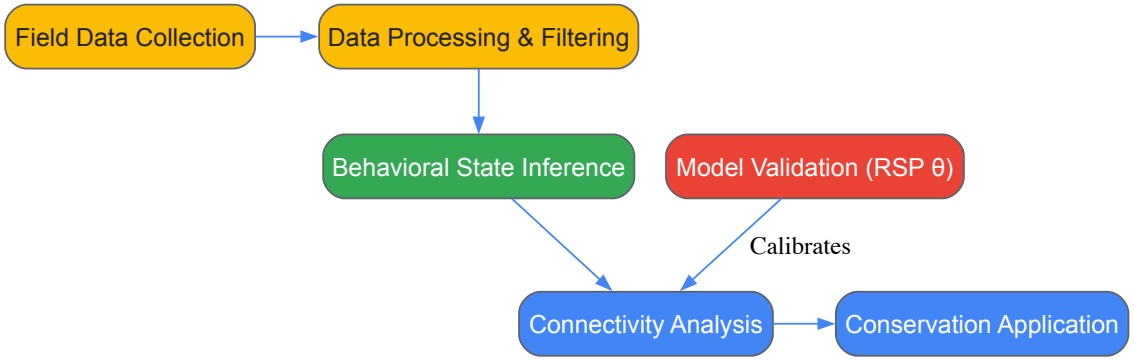

Behavioral State Classification Logic

This diagram outlines the decision logic used to classify different movement states from tracking data.

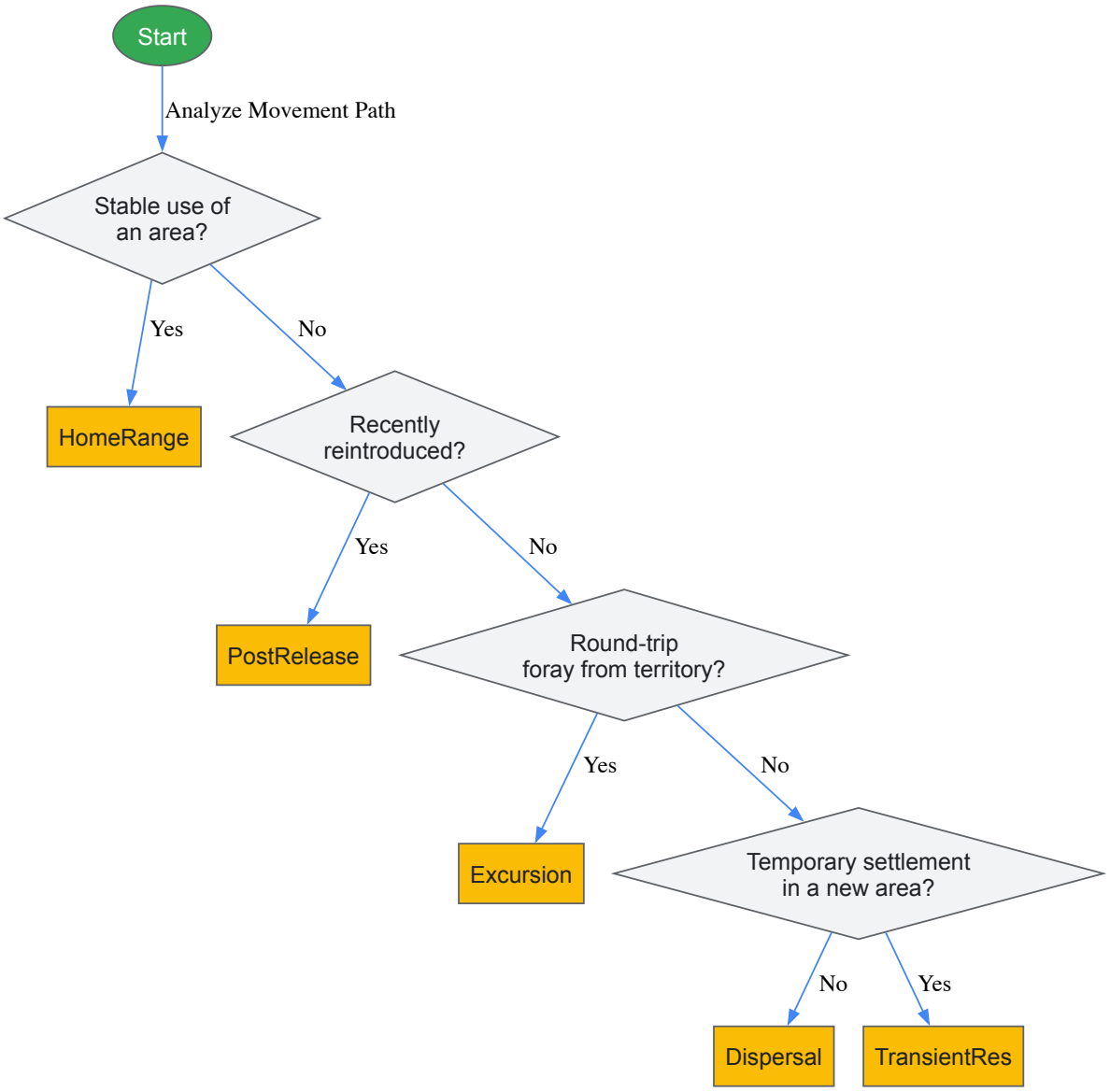

The Scientist's Toolkit: Key Research Reagents and Materials

Successful inference of behavioral states and connectivity analysis for the Iberian lynx relies on a suite of specialized tools and methods.

Table 3: Essential Research Tools for Lynx Movement Ecology

Tool / Material	Specification / Example	Function in Research
GPS Telemetry Collars	Sirtrack G3C; Followit Tellus; 4-5 fixes/day [36]	High-resolution tracking of animal location and movement paths.
VHF Telemetry Collars	Andreas Wagener Q-7 [36]	Long-term, lower-cost monitoring of territorial individuals.
Pre-Release Enclosures	On-site acclimation pens [36]	"Soft-release" method to improve post-release settlement.
Box Traps	With auxiliary wooden box [36]	Safe capture of wild-born lynx for collaring or collar replacement.
Camera Traps	Spartan (email notification) [36]	Non-invasive monitoring of demography, behavior, and prey.
Point Selection Functions	Habitat variables (e.g., land cover, topography) [34]	Statistical models to quantify habitat selection and create conductance surfaces.
Randomized Shortest Paths (RSP)	R package 'gsar' [34]	Modeling movement with an adjustable level of randomness (θ).
Site Fidelity Analysis	4-monthly movement units [36]	Objective statistical method to distinguish resident from exploratory states.

The case of the Iberian lynx powerfully demonstrates that **inferring behavioral states** is not an academic exercise but a fundamental prerequisite for robust connectivity analysis and effective conservation. The findings show that:

- Movement must be decomposed into **discrete behavioral phases**, such as territorial, dispersal, and exploratory, as each exhibits distinct habitat selection rules [35].
- Modeling frameworks must account for an **intermediate level of randomness** in animal movement, as validated models using the Randomized Shortest Path approach significantly outperform both strictly deterministic and completely random models [34].
- **Validation against independent GPS data** is a critical, yet often overlooked, step in ensuring that connectivity models accurately reflect real-world animal movement [34].

For the Iberian lynx, this refined understanding has direct conservation implications. It allows managers to precisely identify and prioritize not just core habitats but also the **temporary stopovers** that facilitate long-distance dispersals, which are crucial for gene flow and range expansion [35]. As reintroduction programs continue, applying these behaviorally-explicit and validated models will be essential for designing landscapes that can support a viable and connected metapopulation of this iconic species, ultimately ensuring its long-term recovery.

Navigating Challenges: Strategies for Robust and Optimized Models

Common Pitfalls in Model Specification and Data Integration

In movement ecology, the accuracy of ecological insights and conservation recommendations depends fundamentally on the quality of the underlying data and the statistical models used for analysis. Technological advances in biologging and GPS tracking have generated unprecedented volumes of animal movement data, creating new opportunities and challenges for researchers [9]. The integration of these complex datasets with robust theoretical frameworks is essential for advancing the field, yet this process remains vulnerable to specification and integration errors that can compromise scientific validity [9].

Model specification involves selecting the correct mathematical structure, variables, and functional forms that represent the biological system, while data integration encompasses the processes of combining, cleaning, and transforming data from multiple sources into a coherent format for analysis. In movement ecology, where data often comes from diverse tracking technologies, environmental sensors, and observational studies, both processes require meticulous attention to methodological detail [9]. This article examines common pitfalls in these domains and provides structured comparisons of approaches to strengthen ecological research and drug development applications where animal movement models inform safety and efficacy studies.

Common Pitfalls in Model Specification

Statistical and Theoretical Specification Errors

Model specification errors occur when the chosen statistical model fails to adequately represent the underlying biological processes generating the data. These errors can lead to biased parameter estimates, incorrect inferences, and ultimately flawed ecological conclusions or pharmaceutical applications.

Table 1: Common Model Specification Errors and Their Impacts in Ecological Research

Specification Error Type	Mathematical Representation	Consequence	Diagnostic Approach
Omitted Variable Bias	True model: $y = \beta0 + \beta1x1 + \beta2x2 + \epsilon$Fitted model: $y = \beta0 + \beta1x1 + \epsilon$	Biased coefficient estimates if omitted variable $(x2)$ correlates with included variables $(x1)$	Ramsey RESET test, comparison of nested models with F-test [38]
Incorrect Functional Form	True relationship: $y = \beta0 + \beta1x + \beta2x^2 + \epsilon$Fitted model: $y = \beta0 + \beta_1x + \epsilon$	Misrepresentation of non-linear relationships, systematic pattern in residuals	Residual analysis, Ramsey RESET test, comparison of polynomial terms [38]
Irrelevant Variable Inclusion	$y = \beta0 + \beta1x1 + \beta2x2 + \epsilon$ where $\beta2 = 0$	Reduced model efficiency, inflated standard errors, overfitting	Stepwise selection, regularization (Lasso/Ridge), hypothesis testing for coefficient significance [38]
Ignoring Heteroscedasticity	$Var(\epsilon_i) \neq \sigma^2$ (non-constant variance)	Inefficient estimators, biased standard errors, incorrect inference	Breusch-Pagan test, White test, visual inspection of residual plots [38]

The Ramsey RESET test specifically addresses general specification errors by testing whether non-linear combinations of fitted values help explain the dependent variable. A significant result (low p-value) indicates potential misspecification in the original model, possibly due to omitted variables

or incorrect functional form [38]. In movement ecology, this might manifest as failure to capture threshold behaviors in animal movement or non-linear responses to environmental gradients.

Temporal and Spatial Specification Challenges

Movement ecology presents unique specification challenges due to the intrinsic spatial and temporal dependencies in tracking data. The hierarchical framework proposed by Getz illustrates how movement trajectories can be partitioned into nested behavioral modes (diel cycles, foraging bouts, seasonal migrations), requiring models that appropriately capture these multi-scale patterns [9]. Ignoring such hierarchical structures represents a fundamental specification error that can obscure meaningful biological patterns.

Temporal autocorrelation, where successive location fixes are not independent, represents another common specification issue. Similarly, spatial autocorrelation violates the independence assumption of standard regression models. Papadopoulou et al.'s research on collective bird behavior demonstrates how individual movements are influenced by neighbors' positions, creating complex dependency structures that require specialized modeling approaches [9].

Common Pitfalls in Data Integration

Technical Implementation Challenges

Data integration combines information from multiple sources into a unified, consistent dataset. In movement ecology, this might involve merging GPS tracking data with remote sensing environmental variables, or combining biologging records from different tag types across a population.

Table 2: Technical Data Integration Pitfalls and Mitigation Strategies

Integration Pitfall	Manifestation in Movement Ecology	Impact on Research	Preventive Strategy
Data Format Mismatches	Date formats (DD/MM/YYYY vs MM/DD/YYYY), coordinate systems (UTM vs Lat/Long), time zones	Incorrect spatiotemporal alignment, erroneous movement calculations	Establish standardized data protocols, implement format validation, use consistent metadata schemas [39]
Duplicate Data Records	Multiple records from same individual due to transmission errors or redundant tracking systems	Skewed distribution estimates, inflated sample sizes, incorrect habitat use assessments	Implement unique identifier systems, apply data deduplication algorithms, establish data provenance tracking [39]
Data Loss During Integration	Lost GPS fixes during transmission, incomplete environmental data extraction	Gaps in movement paths, biased activity patterns, incomplete covariate information	Implement data validation checks, maintain audit trails, establish comprehensive error logging [39] [40]
Performance Issues	Slow processing of high-frequency GPS data (Hz), computational bottlenecks with satellite imagery	Delayed analyses, inability to process large datasets, simplified models due to computational constraints	Optimize data indexing, implement data partitioning, use efficient compression algorithms [39]

Data Quality and Governance Oversights

Beyond technical challenges, data integration faces significant quality and governance hurdles. Ferreira et al.'s synthesis of marine megafauna tracking data demonstrates the importance of quality control when combining datasets from multiple sources and studies [9]. Without rigorous quality standards, integrated datasets can propagate and amplify errors across analyses.

Data governance establishes policies and standards for data management, including ownership, quality standards, and access controls. In movement ecology, this is particularly important when integrating data across institutional boundaries or when working with sensitive species location data that could be exploited by poachers if improperly secured [41]. The cumulative threat analysis for marine megafauna required consistent data standards across 484 individual tracks to accurately assess anthropogenic impacts [9].

Error handling represents another critical aspect of data integration. Robust systems implement comprehensive monitoring with alerts for synchronization failures or anomalous data patterns [41]. For example, the Informatica PowerCenter approach uses ERROR() and ABORT() functions to handle validation checks, with detailed logging to tables such as ETL*PMERR*MSG for error messages and ETL*PMERR*DATA for problematic records [40].

Comparative Analysis: Approaches and Experimental Protocols

Methodological Comparison for Movement Ecology

Table 3: Comparative Analysis of Model Specification and Data Integration Approaches

Methodological Aspect	Inadequate Approach	Robust Alternative	Experimental Validation
Variable Selection	Data dredging: selecting variables based solely on statistical significance without theoretical justification	Theory-informed selection grounded in ecological principles, with regularization to address multicollinearity [38]	Compare out-of-sample prediction accuracy using cross-validation; assess ecological plausibility of selected variables [42]
Missing Data Handling	Automatic deletion of records with missing values, potentially introducing selection bias	Analysis of missingness patterns, use of indicator variables, multiple imputation methods that treat missingness as potential signal [42]	Simulation studies comparing bias and efficiency under different missing data mechanisms; assess robustness of conclusions
Movement Path Segmentation	Treating entire trajectories as homogeneous behavioral sequences	Hierarchical segmentation into nested behavioral modes (foraging, migration, resting) using Getz's framework [9]	Compare biological interpretability; validate segmented behaviors against independent observational data
Multi-Source Data Integration	Simple merging without accounting for systematic differences in data collection protocols	Explicit modeling of measurement errors, calibration across platforms, meta-analytic approaches that account for source-level variability [9]	Assess consistency of ecological inferences across integration methods; use known validation cases to quantify integration error

Experimental Protocols for Validation

Robust validation of movement ecology models requires specialized experimental protocols that address the unique challenges of animal movement data:

Protocol 1: Nested Cross-Validation for Movement Models

- Partition data chronologically to maintain temporal structure
- For each training set, perform hyperparameter tuning via inner cross-validation loop
- Validate tuned model on held-out temporal blocks
- Compare performance against simple baseline models (e.g., random walk, correlated random walk)
- Assess transferability by testing on data from different regions or time periods [42]

Protocol 2: Encounter Rate Validation Using Reaction-Diffusion Theory

- Collect high-resolution movement paths for target species
- Calculate empirical encounter rates using distance-threshold approaches
- Compare against theoretical predictions from reaction-diffusion models
- Validate first-encounter probability estimates using direct observational data
- Assess sensitivity to different encounter definitions and spatial scales [9]

Protocol 3: Multi-Scale Habitat Selection Validation

- Collect movement data across varying spatial scales (local movements to migratory segments)
- Integrate environmental covariates at appropriate resolutions
- Fit resource selection functions at multiple scales
- Validate predictions using independent telemetry data or direct observation
- Test consistency of habitat selection inferences across scales [9]

Visualization of Methodological Relationships

Data Quality Impact on Model Reliability

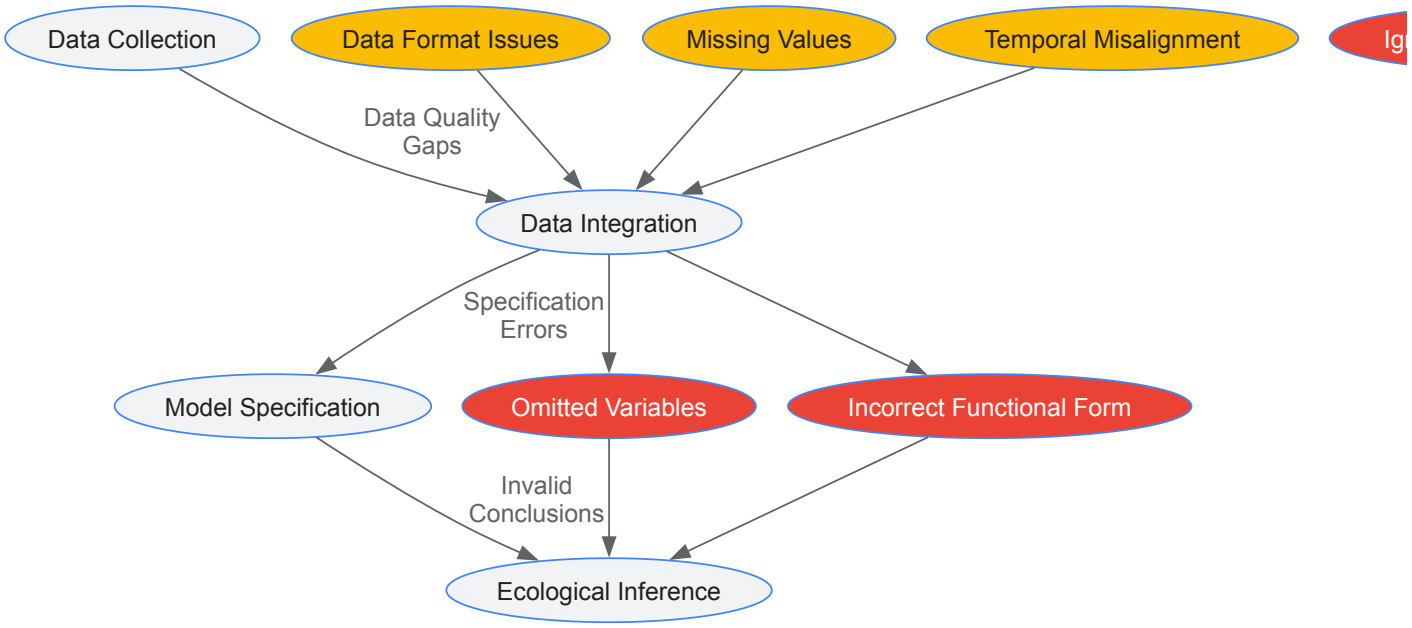

Hierarchical Movement Analysis Framework

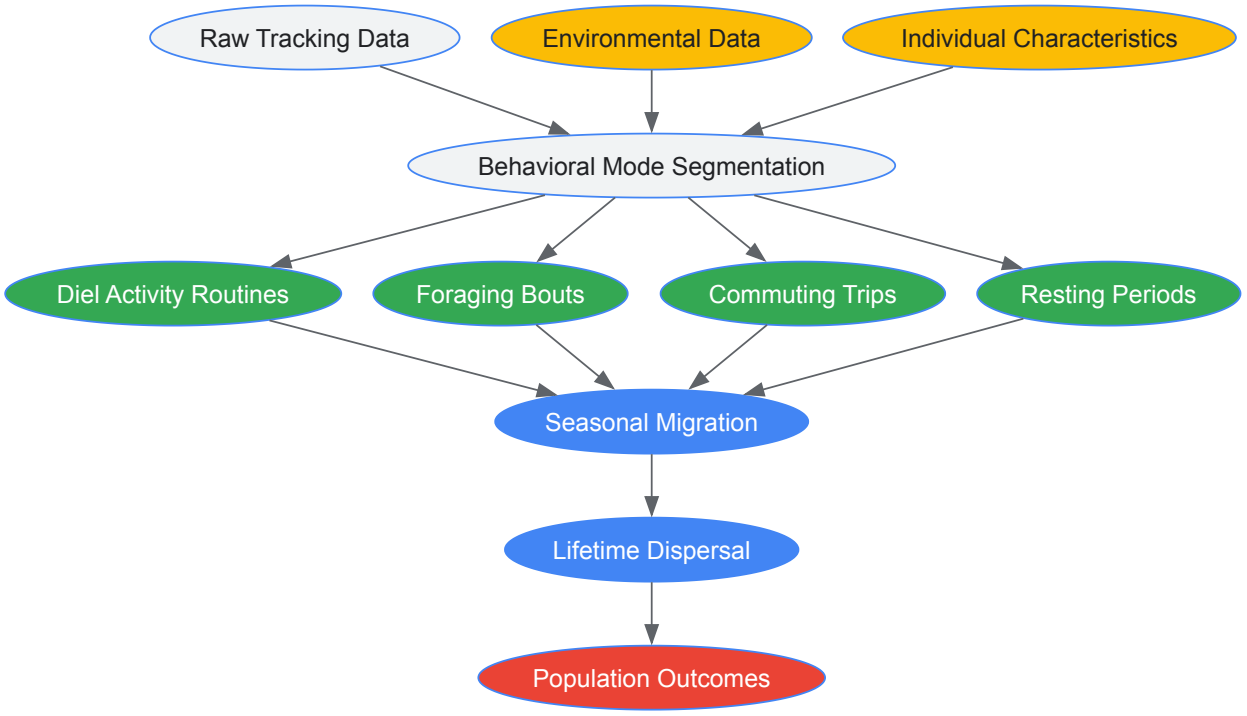

Research Toolkit for Movement Ecology

Table 4: Essential Research Reagents and Tools for Movement Ecology Studies

Tool Category	Specific Solutions	Function in Research	Application Context
Statistical Validation Packages	R: `lmtest`, `sandwich`Python: `statsmodels`Stata: `ovtest`, `estat hettest`	Implement diagnostic tests for specification errors (RESET, heteroscedasticity) [38]	Model validation phase, pre-modeling diagnostics
Movement Segmentation Tools	Behavioral change point analysisHidden Markov Model toolkitsGetz's hierarchical framework implementation	Partition movement trajectories into biologically meaningful segments [9]	Identification of behavioral modes from tracking data
Data Integration Platforms	Informatica PowerCenter with ERROR()/ABORT() functionsCustom ETL	Combine multiple data sources with robust error handling and quality control	Pre-analysis data preparation from diverse

Tool Category	Specific Solutions	Function in Research	Application Context
	pipelines with validation checks	[40]	tracking technologies
Encounter Rate Modeling	Reaction-diffusion analytical frameworksFirst-passage probability calculatorsDistance-threshold overlap algorithms	Quantify animal encounters for predation, disease transmission, and social interaction studies [9]	Analysis of spatial interaction processes in animal populations
Environmental Data Integration	Remote sensing data pipelinesClimate reanalysis tools (e.g., for wind patterns as in dragonfly migration studies) [9]	Link animal movement to environmental covariates and climatic drivers	Multi-scale habitat selection studies, migration ecology
Threat Assessment Integration	Cumulative exposure mapping toolsHuman footprint spatial analysisProtected area overlay systems	Assess anthropogenic threats across animal movement corridors [9]	Conservation prioritization, impact assessment studies

The integration of robust model specification practices with meticulous data integration protocols represents a foundational requirement for advancing movement ecology. As technological developments continue to generate increasingly detailed movement datasets, the field must maintain parallel advances in analytical methodologies that account for the complex, multi-scale nature of animal movement [9]. The frameworks, comparisons, and protocols presented here provide a structured approach to avoiding common pitfalls while enhancing the reliability and interpretability of ecological inferences.

Future directions in movement ecology will likely involve greater integration with machine learning approaches, improved handling of multi-species interactions, and enhanced forecasting capabilities under global change scenarios [9] [38]. By adhering to rigorous specifications and integration standards, researchers can ensure that the growing wealth of movement data translates into meaningful ecological insights and effective conservation strategies, particularly important when these models inform pharmaceutical development decisions where animal movement data contributes to safety and efficacy assessments.

This guide provides an objective comparison of the **Randomized Shortest Path (RSP)** framework against traditional connectivity modeling approaches, focusing on its performance in movement ecology. We present experimental data and methodologies that demonstrate how RSP effectively bridges the gap between fully deterministic and entirely random movement models.

The **Randomized Shortest Path (RSP)** framework is a network analysis model that represents a paradigm shift in the modeling of movement, flow, or spreading processes in graphs. It functions by defining a Boltzmann probability distribution over paths between nodes, which inherently balances the exploitation of shortest paths with the exploration of alternative routes [43]. This balance is governed by a single **inverse temperature parameter (β)** or (θ), which acts as a tuning mechanism for the level of randomness in the model [43] [44].

The RSP framework fills a critical gap between two traditional and often unrealistic extremes in movement modeling: the **least-cost path (LCP)**, which assumes perfectly deterministic and optimal movement, and **circuit theory** or **random walks**, which assume completely random, undirected movement [43] [45]. In practice, animal movement is neither perfectly optimal nor entirely random [45] [46]. The RSP framework acknowledges this reality by offering a continuum of models. At a high β value ($\theta \to \infty$), the RSP distribution focuses solely on the optimal shortest paths, thus converging to LCP behavior. Conversely, at a low β value ($\theta \to 0$), the distribution spreads across all possible paths, mimicking a random walk and converging to current flow (circuit theory) behavior [43] [46] [44]. This interpolation is not a simple average but is **optimal**, as the Boltzmann distribution minimizes the expected cost of paths subject to a fixed relative entropy constraint [43] [47].

Comparative Analysis: RSP vs. Traditional Approaches

The following analysis compares the RSP framework against the two dominant traditional approaches, Least-Cost Path (LCP) and Circuit Theory, based on key modeling characteristics and performance metrics.

Table 1: Model Comparison: RSP vs. Traditional Connectivity Approaches

Feature	Least-Cost Path (LCP)	Circuit Theory	Randomized Shortest Path (RSP)
Core Principle	Deterministic minimization of cumulative cost [45]	Random walk on a conductance matrix [45] [46]	Gibbs-Boltzmann distribution over paths, minimizing cost with entropy constraint [43] [47]
Movement Assumption	Perfect landscape knowledge; optimal navigation [45]	No memory or landscape knowledge; purely random diffusion [45]	"Scent-of-trail" navigation; balances optimality with exploration [46]
Key Parameter	Cost surface	Conductance/Resistance surface	**β (inverse temperature)** controlling randomness [43]

Feature	Least-Cost Path (LCP)	Circuit Theory	Randomized Shortest Path (RSP)
Path Diversity	Single, optimal path	All possible paths, but with no cost consideration	All paths, weighted by cost; allows for sub-optimal routes [43] [46]
Theoretical Bridge	Extreme of RSP ($\beta \to \infty$) [46] [44]	Extreme of RSP ($\beta \to 0$) [46] [44]	Unifies both extremes via a single, tunable parameter [43]
Identified Corridors	A single, narrow corridor [45]	Diffuse, wide spread of movement probability [45]	Realistic corridors that can reveal critical bottlenecks [43] [46]

Performance and Validation with Experimental Data

The superiority of the RSP framework is not merely theoretical but is demonstrated through empirical validation using real-world movement data. Key studies on wild reindeer and the Iberian lynx have systematically compared the model's predictive power against its traditional counterparts.

Table 2: Experimental Performance Data from Movement Ecology Studies

Study & Species	Experimental Validation Method	Optimal RSP Parameter (θ/β)	Performance Finding
Wild Reindeer(*Rangifer t. tarandus*) [46]	Comparison of predicted corridor-barrier continua with independent GPS movement data.	**Intermediate value**	RSP with an intermediate θ "closely fits empirical data" and **outperforms** both LCP (optimal) and random walk models [46].
Iberian Lynx(*Lynx pardinus*) [45]	Multiple validation techniques using an independent dataset of 4,225 exploratory GPS locations from 10 lynxes.	**Intermediate values** (specific to validation method)	Models with intermediate randomness levels **consistently outperformed** both deterministic (LCP) and random (circuit theory) extremes across all validation methods [45].
Iberian Lynx - Corridor Delineation [45]	Comparison of corridor networks generated by different models.	N/A (Comparison of extremes)	LCP and random walk (RSP extremes) produced **notably different corridor patterns** from the RSP model with an optimized randomness level, which provided a more realistic output [45].

Experimental Protocols for RSP Calibration

A critical step in applying the RSP framework is the calibration of its randomness parameter (θ or β) to accurately reflect the movement strategies of the species under study. The following workflow, derived from the Iberian lynx case study, provides a robust methodological template [45].

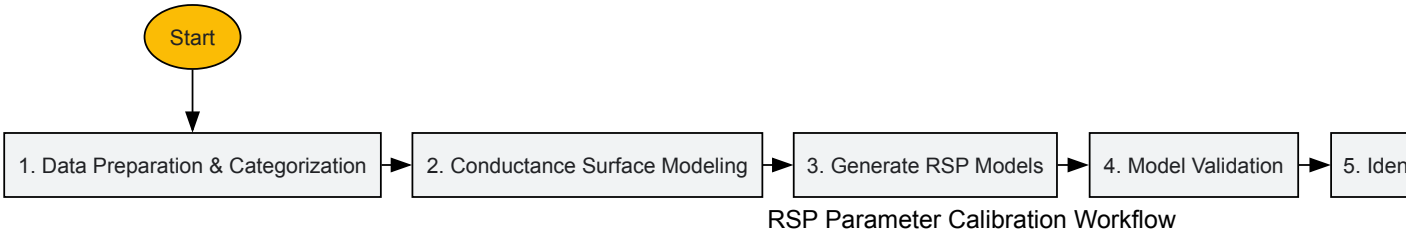

Workflow Title: RSP Parameter Calibration

Detailed Experimental Methodology

The diagram above outlines the key stages of RSP calibration. The specific protocols for the most critical steps, as executed in the Iberian lynx study, are as follows [45]:

- **Step 1: Data Preparation & Categorization**
  - **GPS Data:** Utilize high-resolution GPS tracking data (e.g., collected every 4 hours).
  - **Behavioral State Classification:** Classify locations into behavioral states (e.g., **territorial** vs. **exploratory**) using a method like adaptive local convex hull (a-LoCoH). For connectivity studies between population nuclei, only **exploratory data** (movements outside established home ranges) is used.
  - **Data Splitting:** Split the exploratory data into two independent sets: a larger subset for training the conductance surface and a smaller, separate subset (e.g., from individuals with the longest inter-nuclei movements) used solely for RSP model validation.

- **Step 2: Conductance Surface Modeling**
  - **Point Selection Functions (PSF):** Model habitat selection during exploratory movement using PSF. This function predicts the likelihood of selecting a landscape cell by comparing habitat attributes of used cells versus available but unused cells. This creates a spatially explicit conductance surface that reflects the species' movement preferences.
- **Step 3 & 4: Generate and Validate RSP Models**
  - **Model Suite:** Run the RSP algorithm across a range of θ values (e.g., from 0 to a high value) to generate a suite of connectivity models, each representing a different hypothesis about the animal's movement randomness.
  - **Validation Techniques:** Validate each model against the independent GPS dataset. The Iberian lynx study suggests using **multiple complementary validation techniques** [45], which may include statistically comparing the predicted connectivity or corridor-barrier continua with the actual observed movement tracks.
- **Step 5 & 6: Identify Optimal Parameter and Apply Model**
  - **Optimal θ:** The θ value from the model that demonstrates the best fit with the validation data is selected as the optimal, species- and context-specific parameter.
  - **Corridor Delineation:** This calibrated RSP model is then used to predict realistic corridors and barriers to movement for conservation planning.

The Scientist's Toolkit: Essential Research Reagents & Materials

Successfully implementing the RSP framework requires a combination of computational tools, ecological models, and data. The following table details the key "research reagents" for a movement ecology study based on RSP.

Table 3: Key Research Reagents and Materials for RSP-Based Movement Analysis

Reagent/Material	Function in the RSP Workflow	Exemplification from Case Studies
High-Frequency GPS Telemetry Data	Provides the fundamental, high-resolution spatiotemporal movement data used for both model training and, crucially, validation.	Iberian lynx study used **64,242 locations** from 67 individuals, with a fix rate of every 4 hours [45].
Resource/Point Selection Function (RSF/PSF)	Statistical model used to generate the conductance surface based on habitat covariates, quantifying the landscape's permeability.	A PSF trained on exploratory lynx data quantified the influence of landscape factors on movement habitat selection [45].
Conductance/Resistance Surface	A raster map where each cell's value represents the ease (conductance) or difficulty (resistance) of movement for the species.	The primary input for the RSP algorithm, derived from the PSF model [45] [46].
Randomized Shortest Path Algorithm	The core computational engine that calculates the Gibbs-Boltzmann path probabilities and expected node visits/net flows for a given θ.	Implemented to compute connectivity models across a spectrum of θ values for wild reindeer and lynx [45] [46].
Validation Dataset (Independent GPS Tracks)	A set of observed movement paths not used in model creation, serving as ground truth for evaluating and comparing model performance.	4,225 GPS locations from 10 lynxes were held back for the sole purpose of validating and calibrating the θ parameter [45].
Parameter Optimization Routine	A procedure (e.g., maximum likelihood estimation [48] [49] or validation-fit comparison) to find the θ value that best explains observed movement data.	Multiple validation techniques were compared to infer the optimal randomness level for the Iberian lynx [45].

The experimental evidence consolidated in this guide demonstrates that the Randomized Shortest Path framework provides a superior and more nuanced approach for modeling connectivity and movement ecology compared to traditional Least-Cost Path and Circuit Theory methods. By calibrating the model's randomness parameter against independent movement data, researchers can generate more realistic predictions of animal movement, leading to more effective and scientifically grounded conservation decisions. The RSP framework's ability to optimally bridge the gap between deterministic and random paradigms makes it an indispensable tool in the modern movement ecologist's toolkit.

Addressing Reproducibility and Inter-Laboratory Variability

In the field of movement ecology, understanding animal movement is fundamental to addressing broader ecological questions, from individual behavior to population-level dynamics [31]. However, the reproducibility of research findings and variability in results across different research

groups (inter-laboratory variability) present significant challenges to advancing reliable knowledge. Reproducibility ensures that findings from one study can be independently verified, while addressing inter-laboratory variability strengthens the collective confidence in scientific conclusions. As movement ecology relies increasingly on complex models and diverse technological tools, establishing standardized frameworks for comparing model predictions and validating results becomes crucial for the field's maturation [50]. This guide provides objective comparisons and methodological protocols to enhance reliability in movement ecology research, framed within the broader context of model validation approaches.

Movement Ecology Model Intercomparison: A Structured Framework

Qualitative and Quantitative Guidelines for Model Comparison

The comparison of environmental model predictions, including those in movement ecology, requires both qualitative and quantitative approaches to assess model reliability and understand the effects of different model structures and parameterizations [50]. Within the BIOMOVS II project, comprehensive guidelines have been developed to facilitate such comparisons, emphasizing that overall model performance must include evaluation of both numerical outputs and conceptual model structures [50].

Qualitative assessment focuses on model formulation, examining whether the underlying conceptual model adequately represents the biological and ecological processes being studied. This includes evaluating:

- **Biological plausibility**: Do the model mechanisms align with established ecological theory?
- **Structural completeness**: Does the model incorporate all relevant drivers of animal movement?
- **Parameter justification**: Are parameter choices supported by empirical evidence or theoretical reasoning?

Quantitative assessment employs graphical and statistical techniques to compare model predictions against observed data and against predictions from alternative models [50]. Key approaches include:

- **Visual comparison techniques**: Plotting observed data alongside model predictions with confidence intervals
- **Statistical measures**: Calculating goodness-of-fit metrics and discrepancy measures
- **Uncertainty characterization**: Quantifying variability in both predictions and observations

Comparative Analysis of Movement Modeling Approaches

Table 1: Comparison of Major Movement Model Types in Ecology

Model Type	Primary Applications	Data Requirements	Strengths	Limitations	Reproducibility Challenges
State-Space Models (SSMs)	Inferring hidden behavioral states from movement data [31]	Regular location data with measurement error	Properly accounts for serial autocorrelation; estimates true locations from noisy data	Computational complexity; convergence issues	Implementation differences in estimation algorithms
Hidden Markov Models (HMMs)	Identifying behavioral modes (e.g., foraging vs. transit) [31]	High-frequency movement data	Computational efficiency; interpretability of hidden states	Assumes discrete behavioral states	Model selection criteria variation across studies
Mechanistic Movement Models	Linking movement to underlying environmental drivers [31]	Movement data + environmental covariates	Strong theoretical foundation; predictive capability	Complex parameter estimation; data hunger	Different environmental data sources and processing
Step Selection Functions (SSFs)	Habitat selection and movement analysis [18]	Movement paths + habitat availability data	Integrates movement and habitat selection; avoids sampling bias	Availability definition affects results	Variable implementation of control point sampling
Network-Based Movement Models	Modeling connectivity and metapopulation dynamics [18]	Individual movements between locations	Captures structural connectivity; identifies critical nodes	Simplified movement representation	Network construction methods vary significantly

Experimental Protocols for Movement Ecology Validation

Standardized Tag Deployment Protocol

Purpose: To ensure consistent deployment of biologging devices across research groups, minimizing deployment-induced variability in movement data [31].

Materials:

- Animal-borne biologging devices (selected appropriate to species)
- Attachment materials (harnesses, adhesives, or direct attachment tools)
- Morphometric measurement tools (calipers, scales)
- Data recording forms (digital or physical)

Procedure:

- **Pre-deployment device calibration**:
  - Test all sensors (GPS, accelerometer, magnetometer, etc.) in controlled conditions
  - Document calibration parameters for each device
  - Ensure consistent firmware version across devices in collaborative studies
- **Animal handling and attachment**:
  - Record precise attachment location and orientation on animal body
  - Document attachment timing relative to biological cycles (season, diel period)
  - Measure and record animal morphometrics (size, weight, condition)
  - Standardize handling time across individuals and research groups
- **Data collection parameters**:
  - Establish unified sampling regimes (frequency, duration)
  - Implement consistent duty-cycling protocols
  - Document any programmed behavioral triggers for sampling
- **Post-deployment validation**:
  - Verify device function after retrieval
  - Document attachment effects on animal if observable
  - Record precise retrieval timing and circumstances

Movement Data Processing Workflow

Purpose: To standardize the processing of raw movement data into analyzed paths, ensuring comparable results across research teams.

Table 2: Essential Research Reagent Solutions in Movement Ecology

Research Tool Category	Specific Examples	Primary Function	Implementation Considerations
Location Estimation Algorithms	Kalman filter, Bayesian smoothing [31]	Refine raw location data by accounting for measurement error	Choice of error structure parameters significantly affects outputs
Behavioral Classification Methods	HMMs, machine learning classifiers [31]	Identify discrete behavioral states from movement patterns	Training data quality and quantity critically impact transferability
Path Segmentation Approaches	Behavioral change point analysis, first-passage time analysis	Divide movement tracks into biologically meaningful segments	Segmentation sensitivity affects ecological interpretation
Environmental Data Integration	Remote sensing data, oceanographic models, habitat maps [31]	Relate movement patterns to environmental conditions	Spatial and temporal resolution matching is crucial
Statistical Validation Frameworks	Cross-validation, posterior predictive checks [50]	Assess model fit and predictive performance	Validation methodology affects reliability assessments

Data Processing Steps:

- **Data quality control**:
  - Apply consistent outlier detection criteria across datasets
  - Implement standardized interpolation methods for missing data
  - Document all excluded data points with exclusion reasons
- **Track reconstruction**:
  - Use validated movement metrics (step lengths, turning angles)

    - Apply consistent coordinate reference systems and projections
    - Implement standardized filtering approaches

- **Path analysis**:
    - Calculate movement parameters using unified equations
    - Apply consistent environmental extraction methods
    - Utilize standardized computational implementations

Visualization of Movement Ecology Validation Framework

Movement Model Validation Workflow

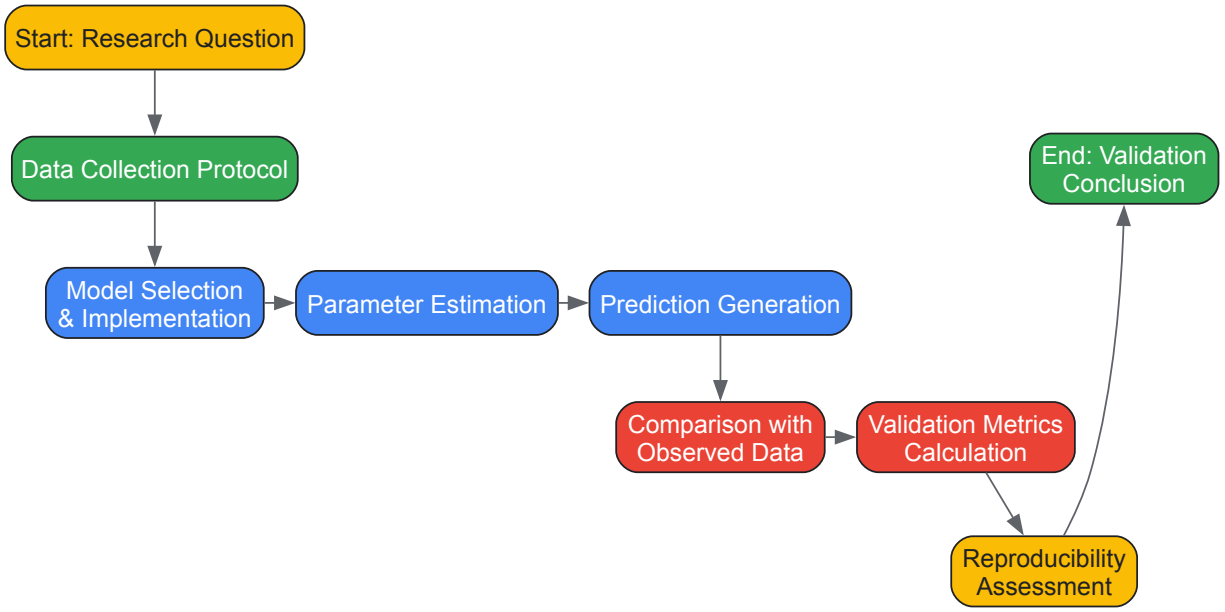

Movement Model Validation Workflow: This diagram illustrates the sequential process for validating movement ecology models, highlighting key stages from data collection through reproducibility assessment.

Inter-Laboratory Comparison Methodology

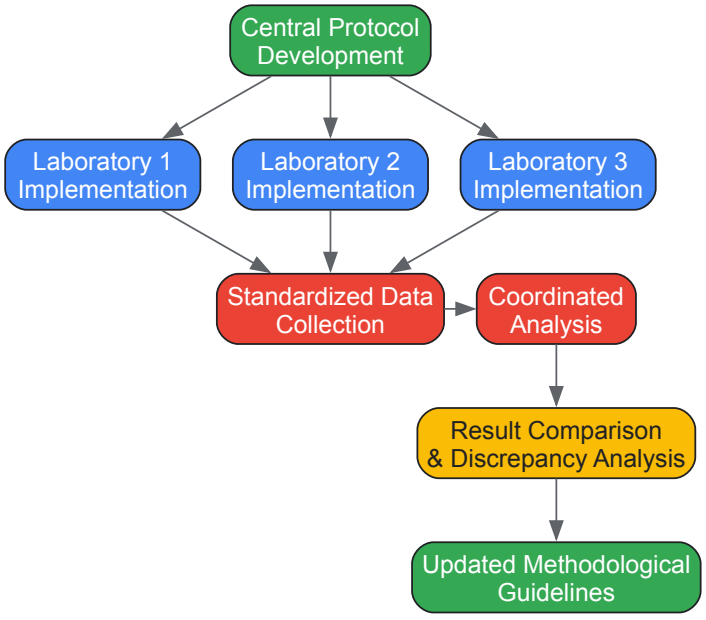

Inter-Laboratory Comparison Methodology: This diagram shows the coordinated approach for multiple laboratories to implement standardized protocols and compare results to identify sources of variability.

Quantitative Framework for Model Comparison

Statistical Measures for Model Validation

Table 3: Quantitative Metrics for Movement Model Comparison

Metric Category	Specific Metrics	Calculation	Interpretation	Optimal Values
Location Accuracy	Mean Squared Error (MSE)	(\frac{1}{n}\sum*{i=1}^{n}(y*i - \hat{y}_i)^2)	Lower values indicate better precision	Closer to 0
Behavioral Classification	F1 Score	(2 \times \frac{precision \times recall}{precision + recall})	Balance between precision and recall	Closer to 1
Path Similarity	Frechet Distance	Minimal leash length between curves	Quantifies similarity between paths	Closer to 0
Predictive Performance	Cross-Validation Score	Mean performance across k-folds	Generalization capability	Higher values better
Uncertainty Quantification	Prediction Interval Coverage	Proportion of observations within intervals	Calibration of uncertainty estimates	Matches confidence level

Case Study: Addressing Variability in Migration Studies

The study of migratory patterns exemplifies the challenges and solutions in movement ecology reproducibility. Research on gray catbirds (*Dumetella carolinensis*) during spring stopover across the Gulf of Mexico revealed significant individual variation in refueling performance and migratory strategies [18]. When multiple research groups study such phenomena, standardized protocols become essential for meaningful comparisons.

Experimental Protocol for Migratory Stopover Studies:

- **Field data collection**:
  - Standardize capture methods (mist net type, placement, monitoring frequency)
  - Implement consistent morphometric measurement protocols
  - Establish unified blood sampling and fuel reserve assessment methods
  - Use calibrated automated telemetry systems with documented detection ranges
- **Tracking data processing**:
  - Apply consistent filter parameters for location quality
  - Use standardized movement metrics (stopover duration, migration speed)
  - Implement unified environmental data extraction methods
- **Inter-laboratory validation**:
  - Conduct ring tests with shared datasets
  - Compare results using standardized metrics from Table 3
  - Document and analyze sources of discrepancy

This approach was exemplified in studies of northern populations of Finnish raccoon dogs, where movement patterns at range edges were consistently quantified across research teams, enabling robust conclusions about invasive species spread [18].

Addressing reproducibility and inter-laboratory variability in movement ecology requires concerted efforts toward standardized methodologies, transparent reporting, and systematic validation frameworks. By adopting the comparison guidelines, experimental protocols, and quantitative metrics outlined in this guide, researchers can enhance the reliability and interoperability of their findings. The future of movement ecology as a rigorous predictive science depends on establishing these standardized approaches while maintaining the flexibility to incorporate new technologies and analytical methods. As the field continues to mature, the development of community-wide standards for model validation and intercomparison will be essential for building cumulative knowledge about animal movement processes and their ecological consequences.

Optimizing Model Performance through Iterative Development and Refinement

This guide compares the performance of contemporary movement ecology models, focusing on their iterative refinement and the advanced statistical validation frameworks that underpin modern ecological research.

Model Performance Comparison

The table below compares the core characteristics, data needs, and key performance metrics of several prominent movement ecology modeling frameworks.

Table 1: Comparative Analysis of Movement Ecology Models

Model Name	Core Approach	Data Requirements	Key Performance Metrics	Validated Use-Case
ERSF-VIPA [51]	Enhanced Resource Selection Function + Vector-network Iterative Pathfinding Algorithm	Start/end points only; coarse, non-continuous occurrence data [51]	~90.3% of simulated paths approximated observed paths (Avg. max deviation: 418 m) [51]	Asian elephant path simulation in Yunnan, China [51]
Euler-Maruyama Method [8]	Approximate numerical solution for Stochastic Differential Equations (SDEs)	High-frequency GPS data [8]	Performance degrades with lower-frequency sampling; outperformed by other methods in practical studies [8]	General potential-based movement models [8]
Ozaki & High-Order Gaussian Methods [8]	Superior discretization methods for SDE inference	GPS data (robust to lower sampling frequencies) [8]	High robustness and similar performance to exact inference methods in non-high-frequency schemes [8]	General potential-based movement models [8]
Covariance Criteria [7]	Non-parametric model validation using gain/loss covariance	Population time-series data [7]	Efficiently invalidates inadequate models; works well with small sample sizes [7]	Predator-prey dynamics; testing for higher-order species interactions [7]

Experimental Protocols in Model Development

ERSF-VIPA Framework Development and Validation

The ERSF-VIPA framework was designed to simulate wildlife movement paths (WMPs) with limited data, a common challenge for large, elusive species [51].

- **Methodology**:
  - **ERSF Module (Habitat Suitability)**: An Enhanced Resource Selection Function uses a random forest model on a hexagonal grid to estimate non-linear resource-selection probabilities, overcoming limitations of traditional linear RSFs [51].
  - **VIPA Module (Path Simulation)**: The Vector-network Iterative Pathfinding Algorithm performs a node-to-node search on the hexagonal grid. It selects each subsequent step by scoring candidate nodes based on a combination of the ERSF resource-selection probability and a cubic distance coefficient to the endpoint, balancing resource gain with energetic efficiency [51].
- **Validation Protocol**: The model was tested using 34 historical Asian elephant movement paths from Yunnan, China. Validation involved using only the start and end points of these paths to simulate the route, then comparing the simulation to the full observed path [51].

Rigorous Model (In)Validation via Covariance Criteria

A new statistical approach moves beyond pattern-fitting to provide a rigorous test for model validity, addressing the long-standing challenge of model falsification in ecology [7].

- **Methodology**: The "covariance criteria" method is rooted in queueing theory. It establishes necessary conditions a model must meet based on the covariance relationships between observable quantities (e.g., population numbers, gain, and loss rates), regardless of unobserved confounding factors [7].
- **Validation Protocol**:
  - **Baseline Establishment**: A model is defined with its specific gain and loss processes [7].
  - **Covariance Analysis**: The empirical covariance between population numbers and the ratio of loss-to-gain is calculated from observed time-series data [7].
  - **Model Falsification**: If the observed covariance relationship contradicts the necessary condition derived from the model, the model is conclusively invalidated for that system [7].
  - **Application**: This method has been applied to resolve debates about predator-prey functional responses and to detect the influence of higher-order species interactions [7].

Comparative Inference for Movement Models

A practical study assessed the performance of different statistical inference procedures for parameter estimation in movement models based on stochastic differential equations [8].

- **Methodology**: Several inference methods were compared on a potential-based movement model where the drift is defined by the gradient of a mixture of attractive zones. The methods included [8]:
  - Euler-Maruyama method (an approximate maximum likelihood procedure).
  - Ozaki linearization method.
  - An adaptive high-order Gaussian approximation method.
  - A Monte Carlo Expectation Maximization approach based on the Exact Algorithm.
- **Validation Protocol**: Methods were tested on both simulated data and actual fishing vessel data across different GPS sampling frequencies to assess stability, convergence, and estimation accuracy [8].

Iterative Development Workflow

The following diagram illustrates the core iterative cycle for refining and validating movement ecology models, integrating the methodologies discussed.

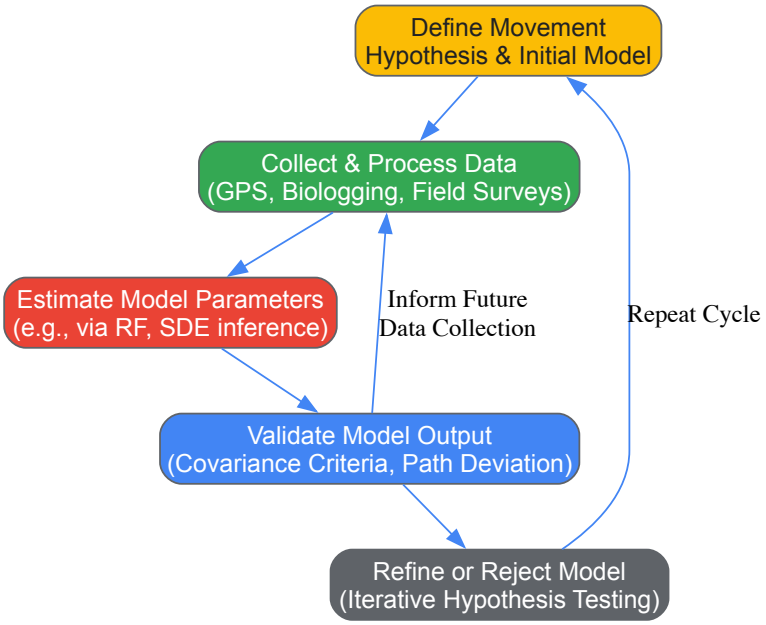

The Scientist's Toolkit: Essential Research Reagents & Solutions

The table below lists key technologies and analytical tools that form the foundation for modern movement ecology research.

Table 2: Key Research Tools in Movement Ecology

Tool / Solution	Primary Function	Key Application in Movement Ecology
GPS Biologgers [31]	High-resolution recording of animal locations over time.	Provides the primary movement trajectory data for fitting and testing movement models. Device miniaturization allows tracking of ever-smaller animals [31].
Accelerometers & Magnetometers [31]	Recording of body movement, orientation, and energy expenditure.	Used to infer animal behavior (e.g., foraging, resting) and correct location estimates in environments with poor satellite connectivity [31].
Hidden Markov Models (HMMs) [31]	A class of state-space models for inferring latent behavioral states from movement data.	Revolutionized the ability to identify discrete behaviors (e.g., migrating, foraging) from serial, autocorrelated movement data [31].
Random Forest Algorithm [51]	A machine learning method for estimating complex, non-linear relationships.	Used in frameworks like ERSF to model habitat suitability and resource selection without assuming linearity, enhancing ecological realism [51].
Virtual Fencing [32]	Digital tool for remote spatiotemporal control of grazing animals via GPS collars.	Emerging as a source of high-resolution, herd-level livestock movement data, useful for modeling fundamental movement ecology questions [32].

Tool / Solution	Primary Function	Key Application in Movement Ecology
Integrated Step Selection Functions (iSSFs) [51]	Statistical framework combining movement kernels with environmental covariates.	Enables path simulation by modeling stepwise movement decisions; considered a gold standard but requires high-resolution data [51].

The analysis of animal movement has been revolutionized by advanced tracking technologies, generating unprecedented volumes of high-resolution data [9]. This data explosion presents a critical challenge for researchers: selecting analytical approaches that appropriately address specific research questions without unnecessary complexity. The "fit-for-purpose" principle emphasizes that model performance must be evaluated against the specific aims of an investigation, as no single algorithm excels across all applications [52]. This guide provides a structured framework for matching movement ecology models to research objectives, ensuring that methodological choices remain aligned with scientific goals across diverse contexts from cognitive experiments to population-level conservation planning.

Core Principles: Connecting Questions to Analytical Approaches

The foundation of fit-for-purpose modeling lies in recognizing that movement occurs across multiple spatiotemporal scales, each requiring different analytical approaches [53]. The hierarchical path-segmentation framework conceptualizes movement as a nested structure: **Fundamental Movement Elements** (individual steps) form **Canonical Activity Modes** (behavioral states like foraging), which combine into **Diel Activity Routines** (24-hour patterns), and ultimately shape **Lifetime Movement Phases** (seasonal migrations) [53] [9]. This hierarchy necessitates careful consideration of which scale(s) are relevant to a particular research question.

Model selection must also account for technological constraints and species characteristics. Early movement ecology focused primarily on where animals went, using technologies like VHF radio tracking [31]. Modern biologging devices now collect ancillary data including depth, acceleration, and environmental variables, enabling researchers to ask what animals are doing at specific locations and how this relates to their experienced environment [31]. Similarly, tag miniaturization has expanded tracking capabilities to ever-smaller animals, while analytical methods have evolved from estimating home ranges to inferring behavioral states through hidden Markov models and other sophisticated techniques [31].

Comparative Analysis of Modeling Approaches

Table 1: Movement Ecology Models Aligned with Research Questions

Research Question Type	Model Category	Specific Methods	Key Applications	Data Requirements
Behavioral State Identification	State-Space Models	Hidden Markov Models (HMMs) [20] [54]	Inferring foraging vs. migration; spatial memory use [20]	Regular location fixes; sufficient observations per state
Home Range Estimation	Utilization Distributions	T-LoCoH, KDE, BBMM [55]	Site fidelity; resource selection; disease risk [55]	High-resolution location data over relevant time period
Population-Level Responses	Process-Explicit Models	Stochastic Population Models [56]	Predicting species responses to flow management [56]	Population time series; demographic rates
Environmental Correlations	Species Distribution Models	MaxEnt, GAM, Random Forests [52]	Understanding niche limits; forecasting range shifts [52]	Presence records; environmental covariates
Continuous Behavioral Variation	Gaussian Processes	Non-stationary Covariance Models [57]	Inferring gradual behavioral shifts; multiscale patterns [57]	High-frequency tracking data; computational resources

Table 2: Performance Comparison Across Model Types

Model Type	Strengths	Limitations	Validation Approaches	Computational Demands
Hidden Markov Models	Interpretable discrete states; handles imperfect detection [54]	Struggles with gradual behavioral changes [57]	Cross-validation; posterior predictive checks [54]	Moderate; increases with data points and states
Machine Learning SDMs	Handles complex nonlinear relationships [52]	Black box; variable importance can be inconsistent [52]	Hold-out validation; AUC comparisons [52]	Variable; often high for ensemble methods
Gaussian Processes	Flexible; continuous behavior estimation; formal uncertainty [57]	Choice of kernel critical; can struggle with very large datasets [57]	Marginal likelihood; predictive accuracy [57]	High; cubic scaling with data points without approximation

Model Type	Strengths	Limitations	Validation Approaches	Computational Demands
Home Range Methods (T-LoCoH)	Incorporates temporal ordering; identifies sites of intensive use [55]	Parameter sensitivity; requires standardization for comparisons [55]	Cross-validation; sensitivity analysis [55]	Low to moderate
Population Models	Mechanistic understanding; management scenario testing [56]	Rarely validated; data-hungry [56]	Comparison to independent data [56]	Variable; can be high for individual-based models

Experimental Protocols and Validation Frameworks

Validating Hidden Markov Models in Cognitive Experiments

The application of HMMs to hummingbird spatial memory experiments demonstrates rigorous model validation [20]. Researchers combined field experiments with HMMs to analyze how movement patterns changed as birds learned rewarded locations. The experimental protocol involved: (1) training trials where hummingbirds learned flower locations with varying landmark presence; (2) tracking hovering locations with high precision; (3) applying HMMs to identify behavioral states (memory-led search vs. systematic searching); and (4) correlating model-derived behavioral states with experimental manipulations [20].

Validation included comparing model outputs with experimental behavioral measures and assessing performance under different conditions (landmarks present/absent). This approach revealed that landmark removal caused a shift from memory-led search to systematic searching, demonstrating how movement models can detect cognitive processes not directly observable in standard metrics [20].

Cross-Validation for Home Range Analysis

The Time Local Convex Hull method requires parameter selection that significantly impacts results [55]. A cross-validation protocol was developed to optimize k (number of nearest neighbors) and s (time-to-distance scaling parameter) values: (1) Divide movement path into training and test sets; (2) Construct hulls from training set using candidate parameter values; (3) Calculate likelihood of test locations given training hulls; (4) Select parameters maximizing cross-validation score [55]. This approach replaces subjective guidelines with objective standardization, enabling meaningful comparisons across individuals and species.

Population Model Validation Against Independent Data

Validation of process-explicit population models for freshwater fish response to flow management exemplifies robust validation [56]. The protocol involved: (1) Developing stochastic population models predicting fish responses over 10-120 years; (2) Comparing model predictions to independent empirical data sets; (3) Testing multiple correlation types (population sizes, growth rates, movement rates); (4) Assessing how correlations varied across populations and hydrological conditions [56]. This validation revealed that while movement rates showed strong correlations, population size predictions varied across conditions, identifying specific model strengths and weaknesses for management applications.

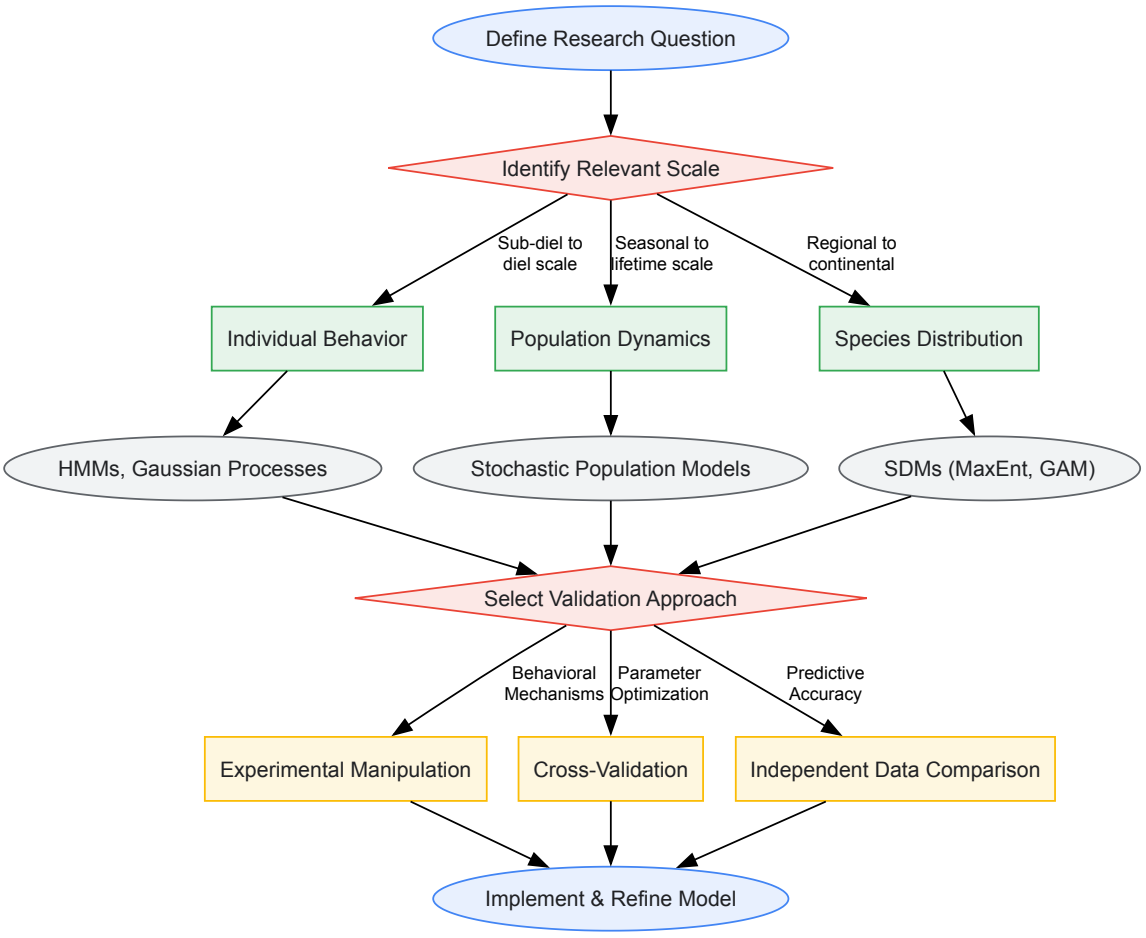

Figure 1: Fit-for-Purpose Model Selection Workflow

The Scientist's Toolkit: Essential Research Reagents and Solutions

Table 3: Research Reagents and Analytical Solutions in Movement Ecology

Tool Category	Specific Solutions	Function	Considerations
Tracking Technologies	GPS loggers, Acoustic tags, Satellite telemetry [31] [9]	Collect location and ancillary data at specified intervals	Size constraints; battery life; data retrieval; spatial accuracy
Biologging Sensors	Accelerometers, Magnetometers, Depth sensors [31]	Record behavioral and environmental data	Calibration requirements; data volume; attachment method
Detection Infrastructure	Acoustic receiver arrays, Radar systems, Camera traps [31] [54]	Detect tagged individuals at specific locations	Coverage density; detection probability; maintenance needs
Analytical Frameworks	Hidden Markov Models, Gaussian Processes, Machine Learning SDMs [54] [57] [52]	Infer behaviors, states, and relationships	Computational demands; statistical expertise; interpretability
Validation Datasets	Experimental manipulations, Independent monitoring, Cross-validation subsets [20] [56]	Test model predictions and performance	Availability; spatial/temporal alignment; sample size

The fit-for-purpose approach requires thoughtful alignment between research questions and analytical methods throughout the scientific process. Key principles emerge: (1) Model performance should be evaluated against study-specific criteria rather than universal metrics [52]; (2) Validation should test a model's ability to inform specific decisions or predictions [56]; (3) Multiple approaches applied to the same problem can reveal convergence or methodological constraints [54]; (4) Cross-validation and independent data testing provide more robust validation than internal measures alone [55] [56]. By applying these principles, movement ecologists can select models that provide meaningful insights rather than merely complex outputs, ensuring that analytical sophistication serves biological understanding.

Ensuring Credibility: Comparative Validation Techniques and Best Practices

A Comparative Review of Validation Techniques for Ecological Models

Ecological models are indispensable tools for understanding complex biological systems, from animal movement to species distribution and population dynamics. However, the utility of any model is contingent upon its validity—the demonstration that it adequately represents the real-world system for its intended purpose. The process of validation ensures that models are not just mathematical abstractions but reliable instruments for scientific inference and decision-making. In movement ecology specifically, where models increasingly inform conservation strategies and wildlife management, robust validation separates useful insights from potentially misleading artifacts.

The field currently employs a diverse arsenal of validation techniques, each with distinct philosophical underpinnings, methodological approaches, and domains of application. **Cross-validation**, which assesses predictive performance on unseen data, has become particularly prevalent with the rise of machine learning in ecology. **Hidden Markov and semi-Markov models** offer powerful frameworks for inferring latent behavioral states from movement data. **Spatial validation** techniques address the unique challenges posed by autocorrelation in ecological data. Meanwhile, **face validation** and **operational validation** provide crucial pragmatic assessments of model credibility and usefulness for decision-support.

This review systematically compares these validation approaches within movement ecology and related disciplines, examining their theoretical foundations, implementation protocols, and performance characteristics. By synthesizing quantitative evidence from comparative studies and providing detailed methodological guidance, we aim to equip researchers with the knowledge to select and implement appropriate validation strategies for their specific modeling contexts.

Theoretical Foundations of Ecological Model Validation

Validation in ecology transcends mere technical verification; it embodies a philosophical continuum between positivist and relativist perspectives. The **positivist** viewpoint emphasizes accurate representation of reality and requires quantitative evidence demonstrating congruence between model predictions and empirical observation [58]. In contrast, **relativist** approaches prioritize model usefulness over representational accuracy, viewing validation as "a matter of social conversation rather than objective confrontation" among stakeholders [58].

This philosophical divide manifests in practical validation approaches. **Verification** ensures that the computerized implementation correctly represents the conceptual model, while **conceptual validity** assesses whether the theories and assumptions underlying the model are justifiable for its intended purpose [58]. **Operational validation** focuses pragmatically on how well the model fulfills its intended purpose within its domain of applicability, regardless of its mathematical inner structure [58].

A crucial distinction exists between models designed for **explanation** versus **prediction**. Explanatory models seek mechanistic understanding and thus require validation against underlying processes, while predictive models prioritize forecasting accuracy, often employing different validation metrics [59]. This distinction determines appropriate validation strategies—where predictive models might emphasize cross-validation accuracy, explanatory models may require demonstration of biological plausibility through face validation.

Comparative Analysis of Validation Techniques

Cross-Validation Approaches

Cross-validation (CV) has emerged as a versatile approach for assessing model predictive performance, particularly with complex machine learning algorithms where traditional likelihood-based methods are inadequate [59]. The core principle involves partitioning data into training and testing sets to estimate out-of-sample prediction error.

Table 1: Cross-Validation Techniques in Ecological Modeling

Technique	Procedure	Best Use Cases	Advantages	Limitations
Leave-One-Out CV (LOO-CV)	Each observation serves as test set once	Small datasets; minimal bias requirement	Low bias; uses maximum data for training	Computationally intensive; high variance
k-Fold CV	Data divided into k subsets; each serves as test set	General purpose; balanced computation	Lower variance than LOO-CV; computationally efficient	Can be biased with spatial/temporal data
Spatial CV	Training and test sets separated in geographic space	Spatially structured data; species distribution models	Accounts for spatial autocorrelation; reduces overfitting	May require extrapolation; complex implementation
Temporal CV	Chronological separation of training and test data	Time series; forecasting applications	Realistic assessment of forecasting ability	Cannot use future to predict past
Blocked CV	Data divided into contiguous blocks	Any data with dependency structure	Preserves dependency structure; reduces bias	Complex implementation; larger sample requirements

The comparative performance of these techniques varies substantially across ecological contexts. For species abundance distribution modeling using Random Forests, traditional k-fold CV often outperforms spatial approaches when samples are randomly distributed, but **spatial blocked CV with**

checkerboard assignment proves superior for clustered samples with high spatial autocorrelation [60]. This highlights how data structure must inform CV technique selection.

A specialized application in home range estimation illustrates CV's adaptability. The Time Local Convex Hull (T-LoCoH) method requires parameter selection for k (nearest neighbors) and s (time-scale), which significantly impact results. A **cross-validation-based optimization** approach calculates the total log probability of out-of-sample predictions, interpreting normalized hulls as a probability density surface [61]. This method replaces earlier ad hoc approaches with a statistically rigorous framework that enables objective parameter selection and comparison across individuals and studies [55] [61].

Hidden Markov and Semi-Markov Models

Hidden Markov Models (HMMs) and their extension, Hidden Semi-Markov Models (HSMMs), provide powerful frameworks for inferring latent behavioral states from movement data, requiring careful validation to ensure biological relevance.

Table 2: Performance Comparison of Behavioral Inference Models

Model Type	Application Context	Reported Accuracy	Key Strengths	Principal Limitations
Hidden Markov Model (HMM)	Forager movement classification	73-78% [62]	Computationally efficient; well-established	Assumes memoryless state transitions
Hidden Semi-Markov Model (HSMM)	Peruvian fishermen behavior	80% [62]	Models duration of behavioral states	More complex implementation
Random Forest	Behavioral mode classification	~70% [62]	Handles multivariate nonlinear relationships	Ignores temporal sequence
Support Vector Machines	Pattern recognition in movement	~72% [62]	Effective in high-dimensional spaces	Does not leverage temporal dependencies
Artificial Neural Networks	Complex classification tasks	~70% [62]	Models complex nonlinear relationships	Black box; requires large datasets

In a rigorous comparison using groundtruthed data from Peruvian fishermen, HSMMs significantly outperformed both HMMs and discriminative models (Random Forests, SVMs, ANNs), achieving **80% classification accuracy** for behavioral states (fishing, searching, cruising) [62]. This superiority stems from HSMMs' ability to explicitly model the duration of behavioral modes rather than assuming memoryless transitions at each step. Simulations further demonstrated that with higher temporal resolution data, HSMM accuracy approaches **nearly 100%** [62], highlighting the importance of matching model structure to the temporal characteristics of behavioral processes.

The experimental protocol for this comparison involved:

- **Data Collection**: Vessel Monitoring System (VMS) data (~1 record/hour) with simultaneous behavioral observations from onboard observers
- **Feature Calculation**: Speed, heading, changes in speed and turning angles between steps
- **Model Training**: Using approximately 200 fishing trips with known behavioral modes
- **Cross-Validation**: Assessing performance on held-out data using k-fold approaches
- **Performance Metrics**: Overall accuracy and state-specific classification rates [62]

Spatial Validation Techniques

Spatial autocorrelation presents a fundamental challenge for ecological model validation, as it violates the independence assumption underlying most statistical approaches. Spatial validation techniques specifically address this issue through structured data partitioning.

Research on Random Forest models for species abundance prediction has systematically compared spatial validation approaches. **Spatial blocking** (dividing the study area into rectangular blocks), **spatial buffering** (creating exclusion zones around test points), and **environmental blocking** (partitioning based on environmental covariates) all aim to reduce optimism bias from spatial autocorrelation [60]. The most effective strategy employs a **checkerboard pattern** in block assignment to folds, which maintains geographical dispersion of training data while ensuring true spatial independence of test sets [60].

The performance of spatial versus non-spatial CV depends critically on data characteristics. For randomly sampled data with weak spatial structure, traditional k-fold CV performs adequately, but for **clustered samples with strong spatial autocorrelation**, spatial CV methods are essential to avoid severe overoptimism [60]. This has profound implications for movement ecology, where animal tracking data typically exhibit strong spatiotemporal dependencies.

Face Validation and Operational Validation

Beyond statistical validation, face validation and operational validation provide critical pragmatic assessments of model utility. **Face validation** involves domain experts evaluating whether model behavior and outputs appear plausible and reasonable for the real-world system [58]. In **operational validation**, potential users assess the model's usefulness for decision-support within its intended application domain [58].

For forest management optimization models, a practical validation convention has been proposed comprising: (1) face validation, (2) at least one additional validation technique, and (3) explicit discussion of how the optimization model fulfills its stated purpose [58]. This framework acknowledges that for complex management problems dealing with decadal timescales and landscape-scale interventions, traditional data-driven validation is often impossible, necessitating alternative approaches to establishing model credibility.

Integrated Validation Frameworks

The RT-ACT Framework for Animal Biologging

The Radio Telemetry-Accelerometry (RT-ACT) framework exemplifies an integrated approach to validation for complex behavioral monitoring systems. Developed for cryptic pitvipers but applicable to various small terrestrial species, this methodology combines:

- **Device Implantation**: Coupling radio transmitters with tri-axial accelerometers implanted internally
- **Field Validation**: Periodic direct observations of behavior to train supervised learning models
- **Model Training**: Using Random Forest or Generalized Linear Elastic Net classifiers
- **Application to Extended Datasets**: Generating long-term activity budgets (median = 35 days) [63]

This framework achieved high classification accuracy for rattlesnake behavior (movement = 96%, immobile = 99%) by systematically addressing the challenges of validating models for secretive species that cannot be directly observed continuously [63]. The resulting activity budgets revealed conserved temporal daily activity patterns across seasons, with increased movement duration during summer mating seasons—ecological insights dependent on robust validation.

Covariance Criteria for Rigorous (In)Validation

A novel approach rooted in queueing theory introduces **covariance criteria** that establish necessary conditions for model validity based on relationships between observable quantities, regardless of unobserved factors [7]. This method sets a high threshold for models to pass by testing fundamental covariance relationships that must hold if the model correctly represents the system dynamics.

Applied to three enduring challenges in ecological theory—predator-prey functional responses, eco-evolutionary dynamics, and higher-order species interactions—the covariance criteria consistently ruled out inadequate models while building strong confidence in strategically useful approximations [7]. This approach is mathematically rigorous, computationally efficient, and often non-parametric, making it immediately applicable to existing data and models.

Experimental Protocols and Methodologies

Cross-Validation for Parameter Optimization

The implementation of cross-validation for T-LoCoH parameter optimization follows a specific protocol:

- **Data Preparation**: Movement paths are divided into multiple training and testing sets through repeated random partitioning
- **Grid Search**: For each training set, the algorithm constructs hullsets across a grid of k and s values
- **Probability Calculation**: Test points are overlaid on training hulls, calculating probabilities by dividing number of hulls containing each test point by total hullset area
- **Log Probability Score**: Summing log probabilities across all test points and training repetitions for each parameter combination
- **Parameter Selection**: Choosing k and s values that maximize the total log probability [61]

This approach naturally penalizes overfitting (small k, large s) through poor out-of-sample prediction and underfitting (large k, small s) through low probability values due to large hull areas [61]. The result is objective parameter selection tailored to individual movement paths rather than subjective guidelines.

Spatial Cross-Validation Implementation

The implementation of spatial cross-validation for species distribution models involves:

- **Block Construction**: Dividing the study area into rectangular or hexagonal blocks
- **Fold Assignment**: Using random assignment, systematic assignment, or checkerboard patterns
- **Model Training**: Iteratively training on all folds except the held-out block

- **Performance Assessment**: Predicting to the held-out block and comparing predictions to observations
- **Error Estimation**: Aggregating across all folds to estimate true predictive error [60]

The key innovation lies in the checkerboard assignment pattern, which ensures geographical dispersion of training data around each test block, minimizing extrapolation while maintaining spatial independence [60].

Visualization of Methodological Frameworks

Cross-Validation Optimization Workflow

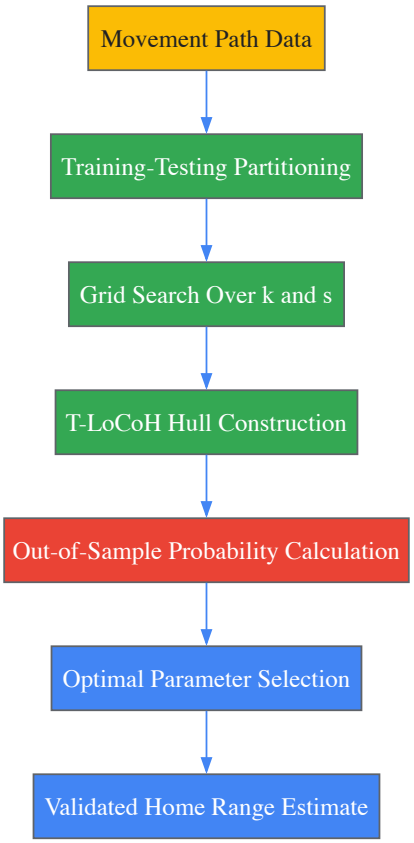

Behavioral State Inference Framework

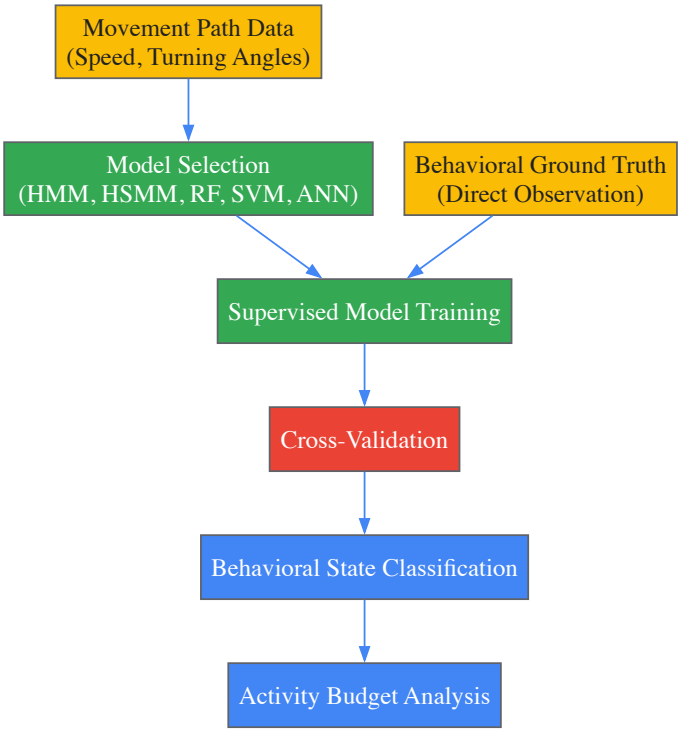

Essential Research Reagents and Tools

Table 3: Research Toolkit for Ecological Model Validation

Tool Category	Specific Technologies	Primary Function	Validation Applications
Tracking Technologies	GPS telemetry, Vessel Monitoring Systems (VMS), Radio transmitters	Animal position logging	Movement path data collection for behavioral inference [55] [63] [62]
Biologging Sensors	Tri-axial accelerometers (AXY-3, AXY-4), Time-depth recorders	Activity and behavior monitoring	Ground truth for behavioral state classification [63] [62]
Computational Frameworks	R T-LoCoH package, Python scikit-learn, Random Forest implementations	Model implementation and validation	Cross-validation, parameter optimization [55] [61] [60]
Supervised Learning Algorithms	Random Forest, Generalized Linear Elastic Net, SVM, ANN	Behavioral classification	Model training with groundtruthed data [63] [62]
Model Validation Packages	Various spatial CV implementations, ML performance metrics	Validation protocol implementation	Performance assessment, error estimation [59] [60]

The validation techniques reviewed here represent complementary approaches to establishing ecological model credibility, each with distinct strengths and domains of application. **Cross-validation** provides versatile, statistically rigorous assessment of predictive performance across diverse modeling contexts. **Hidden Semi-Markov Models** offer superior accuracy for behavioral state inference from movement data by explicitly modeling behavioral durations. **Spatial validation** techniques address the critical challenge of autocorrelation in ecological data, while **face and operational validation** ensure model relevance and utility for decision-support.

The emerging consensus emphasizes that no single validation approach is universally superior; rather, selection must be guided by modeling purpose, data characteristics, and intended application. For predictive models in movement ecology, cross-validation combined with spatial blocking when autocorrelation is present provides robust performance assessment. For behavioral inference, HSMMs with groundtruthed validation deliver exceptional accuracy. For management-focused models, operational validation with stakeholders is indispensable.

Future directions point toward hybrid validation frameworks that combine statistical rigor with pragmatic utility assessment. The integration of covariance criteria for rigorous invalidation, coupled with traditional performance metrics, offers promising approaches for building stronger inference in ecological modeling. As movement ecology continues to grapple with increasingly complex questions under global change, robust validation practices will remain foundational to translating models into meaningful ecological insights and effective conservation strategies.

Validation is a critical pillar in the movement ecology, ensuring that the models developed to understand animal movement are both **reliable and predictive**. The field has been transformed by technological advances, particularly the advent of high-resolution GPS tracking and biologging, which have produced an explosion of detailed movement data [9]. However, this deluge of data presents a significant challenge: making robust ecological inferences from complex movement paths. Validation practices provide the necessary framework to meet this challenge, separating plausible explanations of movement mechanisms from statistically supported ones. As movement ecology continues to integrate with conservation biology, epidemiology, and drug development (through analytical model validation), the rigor of validation directly impacts the success of species preservation efforts, disease outbreak predictions, and the development of new therapeutic agents [9] [64] [55].

The core challenge in movement model validation lies in the multi-faceted nature of animal movement itself. Movement occurs across a **hierarchy of spatial and temporal scales**, from local foraging and home-range use to seasonal migrations spanning continents [9]. Furthermore, movement mechanisms and their ecological consequences—such as navigation, foraging strategies, dispersal, and space use—are still not fully understood [9]. Consequently, no single validation metric or approach can holistically assess model performance. Instead, researchers must strategically combine quantitative metrics, which provide objective, numerical measures of predictive accuracy, with qualitative validation, which offers critical insights into the biological plausibility and behavioral realism of model outputs. This guide provides a comprehensive comparison of these complementary approaches, framing them within the practical context of movement ecology research.

Quantitative and qualitative validation metrics offer complementary lenses through which to evaluate movement ecology models. Their fundamental differences lie in the nature of the data they analyze, their methodologies, and the types of insights they generate.

Quantitative Validation relies on **numerical data and statistical measures** to objectively assess a model's predictive performance. It is fundamentally concerned with "how much" or "how many," providing reproducible, standardized metrics for comparison. In movement ecology, this typically involves comparing model outputs, such as predicted locations or movement trajectories, against observed tracking data using statistical tests and goodness-of-fit measures [31]. For instance, a researcher might use the modified r^2 (rm^2) metric, a stringent parameter developed for validating Quantitative Structure-Activity Relationship (QSAR) models that judges a model's ability to predict the activity of untested molecules without consideration of training set mean [64]. Similarly, cross-validation techniques are employed to optimize parameters for home range estimation methods like T-LoCoH, ensuring objective and comparable results across individuals and studies [55].

Qualitative Validation, in contrast, focuses on **non-numerical, descriptive characteristics** to assess a model's realism and ecological validity. It seeks to understand the "why" and "how" behind movement patterns, exploring aspects that numbers alone cannot fully capture [65] [66]. This approach involves a more subjective evaluation of whether the simulated behaviors "make sense" in the biological and environmental context of the study organism. For example, qualitative assessment might involve expert evaluation of simulated movement paths to determine if they realistically reflect known behavioral states such as foraging, migration, or resting [31], or if the patterns of space use align with empirical knowledge of the species' habitat preferences. Qualitative metrics are inherently subjective, depending heavily on individual perceptions and judgments, but they enrich the validation process by incorporating crucial insights into the quality and biological plausibility of the modeled outcomes [65].

Table 1: Core Conceptual Differences Between Quantitative and Qualitative Validation

Feature	Quantitative Validation	Qualitative Validation
Nature of Data	Numerical, statistical	Descriptive, observational
Primary Focus	Predictive accuracy, statistical fit	Biological realism, ecological plausibility
Methodology	Statistical tests, goodness-of-fit metrics, cross-validation	Expert review, behavioral classification, trajectory visualization
Key Question	"How accurately does the model predict the data?"	"Does the model produce realistic behaviors?"
Strengths	Objective, reproducible, allows benchmarking	Captures context, identifies mechanistic flaws
Limitations	May miss ecological context, relies on suitable metrics	Subjective, difficult to standardize

Quantitative Validation Metrics and Protocols

Quantitative validation provides the statistical backbone for model assessment in movement ecology. The following section details key metrics, their interpretations, and standardized protocols for their application.

Key Quantitative Metrics

A robust quantitative validation employs a suite of metrics to evaluate different aspects of model performance.

Table 2: Key Quantitative Metrics for Movement Model Validation

Metric Category	Specific Metric	Interpretation & Application in Movement Ecology
Goodness-of-Fit	**rm^2 (modified r^2)**	A stringent metric for QSAR models; considers actual difference between observed and predicted values without using training set mean as a reference. Higher values indicate better predictivity [64].
Goodness-of-Fit	**R^2 pred (External Validation)**	Measures the model's predictive power on an independent, external dataset. Essential for confirming generalizability beyond the training data [64].
Goodness-of-Fit	**Q^2 (Internal Validation)**	Assesses model robustness through internal validation techniques like Leave-One-Out (LOO) cross-validation [64].
Parameter Optimization	**Cross-Validation Error**	Used for optimizing parameters in methods like T-LoCoH. The parameter set with the lowest cross-validation error is selected, providing an objective basis for home range estimation [55].
Path Comparison	**First-Passage Time & Encounter Rates**	Analytical expressions derived from reaction-diffusion theory can quantify encounter probabilities between animals, providing a rigorous approach for validating models of predation or social contact [9].
Forecasting Accuracy	**Mean Absolute Error (MAE) / Root Mean Square Error (RMSE)**	Measures the average magnitude of prediction errors between forecasted and observed locations or movement metrics. Lower values indicate better forecasting performance.

Experimental Protocol for Cross-Validation of Home Range Estimates

The following workflow outlines a standardized protocol for applying cross-validation to optimize home range parameters, a common challenge in movement ecology [55].

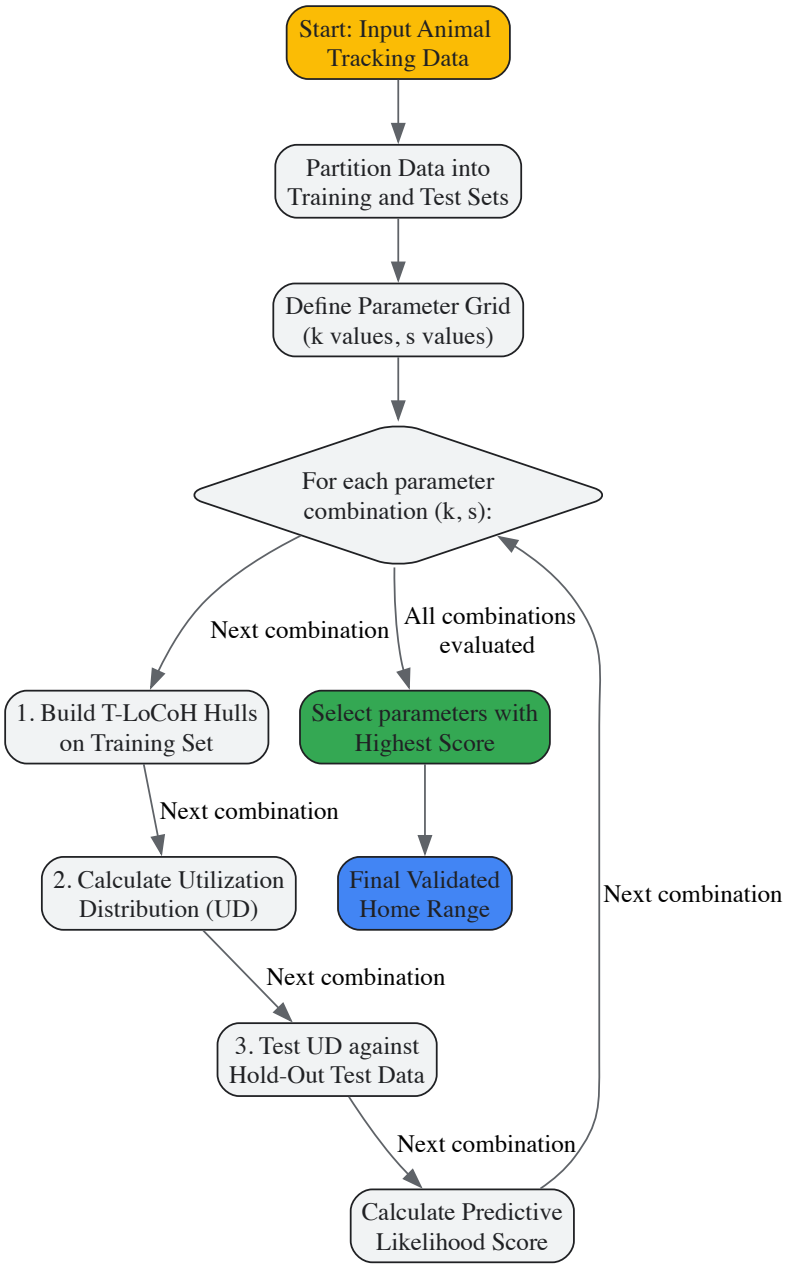

Title: Home Range Cross-Validation Workflow

Objective: To objectively select the optimal parameters (e.g., `k` - number of nearest neighbors, and `s` - time-scaling parameter) for the Time Local Convex Hull (T-LoCoH) method for home range estimation [55].

Materials:

- **Animal Tracking Data:** GPS telemetry data with timestamps and coordinates.
- **Computing Environment:** R or Python with appropriate movement ecology libraries (e.g., `adehabitatLT`, `move`).
- **T-LoCoH Software:** Access to the T-LoCoH implementation (e.g., the `tlocoh` package in R).

Procedure:

- **Data Preparation:** Clean the tracking data and ensure consistent temporal resolution. For the purpose of validation, partition the entire movement path into a **training set** (e.g., 70-80% of the data) and a **test set** (the remaining 20-30%).
- **Define Parameter Space:** Establish a grid of potential values for parameters `k` and `s` based on the data's properties. The `s` parameter scales time with distance, influencing whether hulls are built based on spatial or spatio-temporal proximity.
- **Model Construction Loop:** For each combination of `k` and `s` in the grid:
  - Build the T-LoCoH hulls and generate the Utilization Distribution (UD) using **only the training set**.
  - The UD represents a probability density of the animal's space use.
- **Validation & Scoring:** Calculate a predictive likelihood score for each model by evaluating how well the UD from the training set predicts the **hold-out test locations**. A higher score indicates that the model (and its parameters) generalizes better to unseen data.

- **Parameter Selection:** Select the `k` and `s` parameter values that yield the **highest predictive likelihood score**.
- **Final Model:** Recompute the final home range estimate using the **full dataset** and the **optimized parameters**.

This protocol overcomes the subjectivity of manual parameter selection and ensures that the resulting home ranges are statistically robust and comparable across individuals, species, and studies [55].

Qualitative Validation Approaches and Techniques

Qualitative validation ensures that movement models are not just statistically sound but also ecologically meaningful. It bridges the gap between mathematical output and biological reality.

Core Qualitative Techniques

- **Expert Review and Behavioral Classification:** This involves having domain experts (e.g., ethologists, field ecologists) visually inspect simulated movement paths or animated trajectories. Experts can classify simulated behaviors into ecologically relevant states such as foraging, directed travel, or resting based on their shape, speed, and turning angles [31]. This is crucial for verifying that an model that fits the data quantitatively is also generating realistic behavioral sequences.

- **Trajectory Visualization and Pattern Recognition:** Simple visualization of movement paths on a map, often overlayed with environmental data like vegetation cover, elevation, or water sources, provides an immediate check for face validity. Researchers can assess if the model captures known behaviors such as site fidelity (returning to the same locations) [18], migratory stopovers, or responses to environmental features. Unrealistic patterns, like repeated movements through impossible terrain or the absence of known behavioral routines, are easily spotted.

- **Use of Ancillary Data from Biologging:** Modern biologging devices capture more than just location; they collect data on acceleration, depth, heart rate, and even video. These "qualitative" data streams provide a direct window into the animal's internal state and behavior. Validating a model against these data—for instance, checking if periods classified as "foraging" by the model correspond with characteristic burst acceleration signals from accelerometers—greatly strengthens its credibility [31].

Protocol for Expert-Led Behavioral Validation

This protocol provides a structured framework for incorporating expert knowledge into the validation process.

Objective: To qualitatively assess the biological plausibility of behavioral states inferred or generated by a movement model.

Materials:

- **Model Outputs:** Time-series data of movements with associated behavioral states (either inferred by the model or emergent from its rules).
- **Visualization Tools:** Software for plotting movement paths (e.g., GIS software, `ggplot2` in R) with behavioral states color-coded.
- **Ancillary Data (if available):** Synchronized data from accelerometers, video, or audio recorders.
- **Expert Panel:** Scientists with field experience on the study species.

Procedure:

- **Data Preparation:** Prepare visualized outputs from the model. This includes static maps of the entire trajectory with different behavioral states highlighted, and animated tracks showing the sequence of movement and behavior.
- **Blinded Review (Optional but Recommended):** If possible, present the expert reviewers with both real data and model outputs in a blinded fashion, asking them to identify which is which or to classify the behaviors they see.
- **Structured Evaluation:** Provide reviewers with a standardized evaluation form. Key questions should probe:
  - Does the overall path use space in a way consistent with the species' known ecology?
  - Are the transitions between behavioral states (e.g., from resting to foraging) logical?
  - Is the fine-scale movement structure within a behavioral state (e.g., the tortuosity of a foraging path) realistic?
  - Does the model capture known interactions with the environment (e.g., avoidance of human infrastructure, attraction to specific habitat features)?
- **Synthesis of Feedback:** Collate the feedback from the expert panel. Identify recurring critiques and points of praise. Use this qualitative feedback to refine the model's structure or to interpret its outputs with appropriate caution.

Success in movement ecology model validation relies on a combination of computational tools, statistical methods, and ecological data.

Table 3: Essential Research Reagent Solutions for Model Validation

Tool/Reagent Category	Specific Example	Function & Application in Validation
Tracking Technology	High-resolution GPS Tags, Biologgers	Capture precise location data and ancillary data (acceleration, depth, physiology) that serve as the ground truth for both quantitative and qualitative validation [9] [31].
Computational Framework	R, Python with specialized packages (e.g., `adehabitatLT`, `move`, `amt`)	Provide the statistical environment for implementing movement models, calculating validation metrics, and performing cross-validation [55].
Home Range & Path Estimation Algorithms	T-LoCoH, Brownian Bridge Movement Model (BBMM), Hidden Markov Models (HMMs)	Generate the primary outputs (home ranges, behavioral states, potential paths) that require validation against empirical data [55] [31].
Statistical Validation Metrics	rm^2, R^2 pred, Q^2, Cross-Validation Likelihood	Serve as the quantitative benchmarks for assessing model performance, predictivity, and robustness [64] [55].
Environmental Data Layers	Remote Sensing Data (e.g., NDVI, Land Cover), Digital Elevation Models	Provide the environmental context for qualitative validation, allowing researchers to check if movement paths realistically interact with the landscape [9].

Integrated Validation Framework: A Pathway for Rigorous Research

The most powerful validation strategy seamlessly integrates quantitative and qualitative approaches. The following diagram maps this integrated workflow.

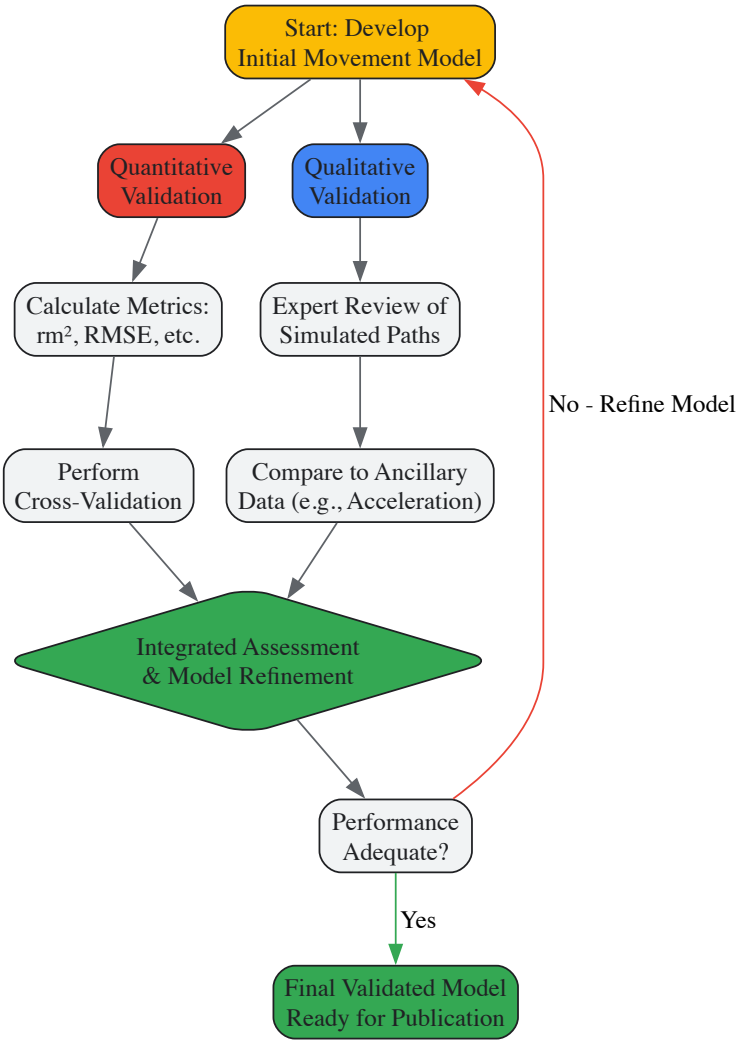

Title: Integrated Model Validation Pathway

This pathway illustrates a iterative cycle of validation:

- An initial model is developed based on ecological theory and data.

- **Quantitative Validation** provides objective scores on predictive accuracy.
- **Qualitative Validation** assesses the model's behavioral and ecological realism.
- Results from both streams are synthesized in an **Integrated Assessment**. If the model fails either test—for example, it has a high R^2 but produces unrealistic circular movement in a known foraging ground—it must be refined.
- The cycle repeats until the model achieves a satisfactory balance of statistical performance and biological realism, making it a trustworthy tool for ecological inference and prediction.

This integrated framework ensures that movement ecology models are not just mathematical abstractions but powerful, reliable tools for understanding the complexities of animal movement in a changing world.

Ecological connectivity models are pivotal tools for predicting animal movement patterns and are frequently the foundation for vital conservation decisions, such as the placement of wildlife corridors [67]. However, a model's predictive power is only as reliable as its validation. A striking finding from recent research is that **less than 6%** of published connectivity modeling studies include any form of model validation, a rate that has not improved over time [67]. This validation gap is critical, as unvalidated models can lead to inefficient conservation spending and poorly designed ecological networks.

Independent GPS data—collected separately from the data used to parameterize the model—has emerged as a gold standard for robust validation. Its use helps to avoid falsely optimistic performance estimates and provides a direct, empirical test of a model's ability to predict real-world movement [67]. This case study explores the frameworks and methodologies for employing independent GPS data to validate connectivity models, illustrating the process with a specific example and providing researchers with a practical toolkit for implementation.

Validation Frameworks and Methodologies

A Typology of Validation Approaches

A review of the literature reveals a spectrum of validation approaches, which can be categorized by their data intensity and statistical rigor. These methods provide a flexible framework from which researchers can select based on their resources and conservation objectives [68].

- **Category 1: Overlay Analysis.** This least intensive method involves determining the percentage of independent species location data that falls within the predicted corridors. A successful model will show a high proportion of locations within its corridors.
- **Category 2: Statistical Comparison of Connectivity Values.** This approach tests for a significant difference in modeled connectivity values (e.g., current density from circuit theory) at the independent animal locations versus random locations in the landscape. The expectation is that connectivity values will be higher at the true animal locations [68].
- **Category 3: Comparison with Null Models or Step-Selection Functions.** A more robust method involves comparing the performance of the connectivity model against a null model or using a step-selection function to confirm that animals are actively selecting paths with higher connectivity [68].
- **Category 4: Validation with Genetic or Individual Identification Data.** The most data-intensive "gold standard" uses genetic data to measure gene flow between subpopulations or camera trapping with individual identification to directly validate that the corridor facilitates individual movement and population-level processes [68].

The following workflow diagram illustrates how these validation methods integrate into the connectivity modeling process.

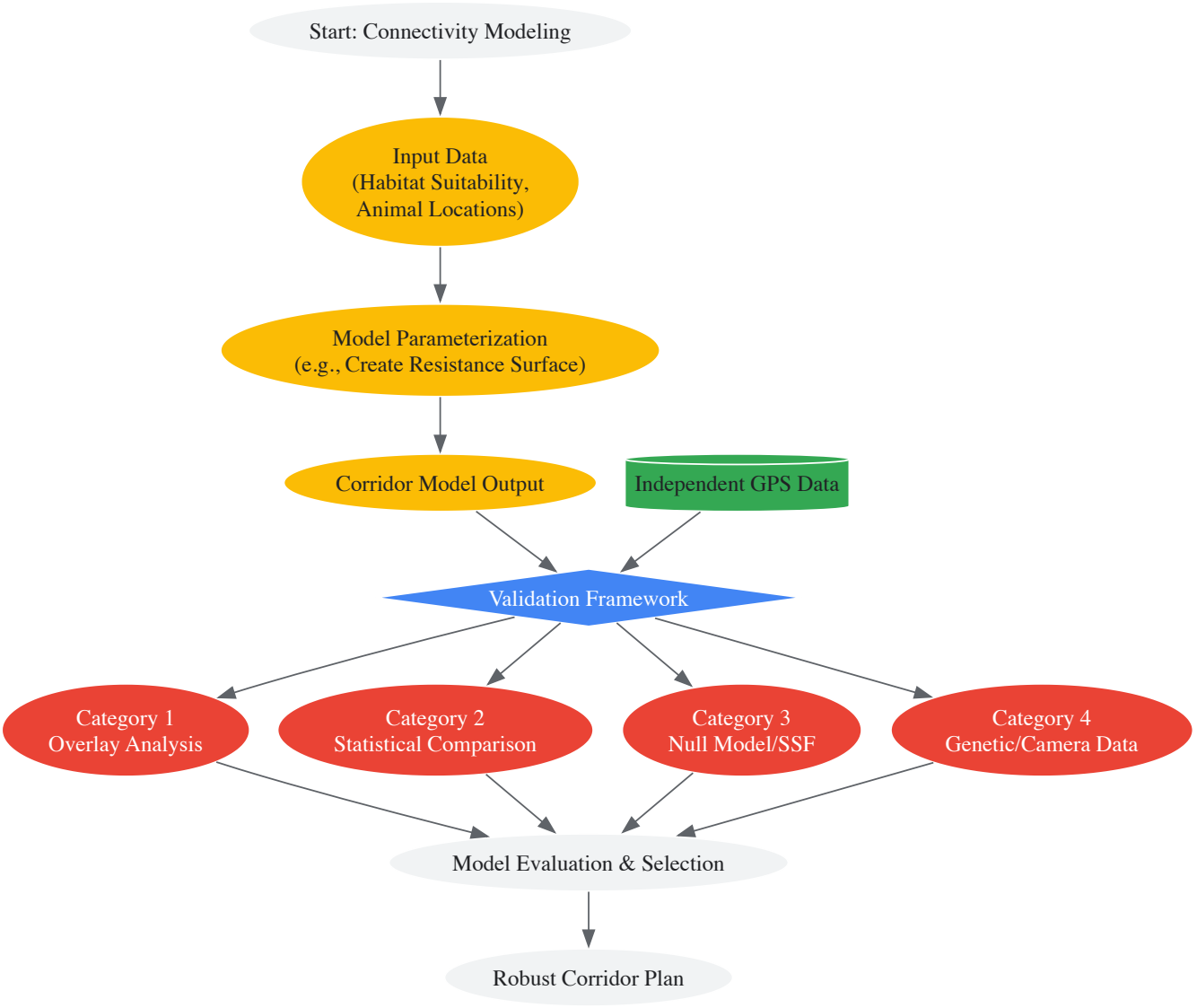

Experimental Protocol for Validation Using Independent GPS Data

The following protocol outlines the key steps for executing a robust validation, drawing on established methodologies [68].

- **Data Collection and Preparation:**
  - **Independent GPS Data:** Acquire GPS tracking data from a set of individuals or a time period not used in building the model's resistance surface. The data should ideally represent the movement process of interest (e.g., dispersal, migration).
  - **Data Cleaning:** Clean the GPS data to remove erroneous fixes, for example, by excluding points with unrealistic speeds (e.g., above 160 km/h for terrestrial animals) [69].
  - **Spatial Alignment:** Ensure the coordinate reference systems (CRS) of the GPS data and the corridor model raster are identical.
- **Validation Execution (by Category):**
  - **For Category 1 (Overlay Analysis):** In a Geographic Information System (GIS), overlay the independent GPS points onto the corridor map. Calculate the percentage of total points that fall within the corridor boundaries. A higher percentage indicates better model performance.
  - **For Category 2 (Statistical Comparison):**
    - Extract the connectivity values (e.g., current density) at each independent GPS location.
    - Generate a set of random points within the study area and extract connectivity values at these points.
    - Use a statistical test (e.g., a t-test or Mann-Whitney U test) to determine if the connectivity values at the GPS locations are significantly higher than at the random points.
- **Interpretation and Iteration:**

- Assess the results against pre-defined success criteria (e.g., >70% of points within corridors, statistically significant difference in connectivity values).
- If validation fails, re-evaluate the model parameters, such as the resistance surface transformation, and iterate the process.

Case Study: Florida Black Bear Corridor Validation

A study on the Florida black bear (*Ursus americanus floridanus*) provides a concrete example of multi-method validation using independent GPS data [68].

- **Objective:** To validate and compare corridor models derived from different resistance surfaces for the Florida black bear, a species inhabiting a highly fragmented landscape.
- **Methods:**
  - Researchers created several corridor models using Circuitscape, based on different transformations of a habitat suitability model.
  - They then used **independent GPS collar data** from a bear population in the Highlands-Glades area (collected from 2004–2010) to validate the models.
  - The team applied three validation categories:
    - **Category 1:** Calculated the percentage of bear locations falling within each corridor model.
    - **Category 2:** Compared the current density values at buffered bear locations versus random locations.
    - **Category 3:** Proposed a novel method to test if animals were selecting higher-connectivity areas.
- **Key Results:** The table below summarizes the Category 1 (overlay) validation results for the different models, compared against the existing multi-species Florida Ecological Greenways Network (FEGN).

Table 1: Comparison of Florida Black Bear Corridor Model Validation Results [68]

Corridor Model	% of Independent Bear Locations in Corridor	Modeled Corridor Area (km^2)	Bear Locations per km^2
Model Variant A (c=8)	26%	7,817	3.57
Model Variant B (c=2)	38%	6,292	6.49
Model Variant C (c=0.25)	42%	7,425	6.08
FEGN (Priorities 1-3)	96%	93,470	1.11
Top FEGN (Priority 1)	78%	44,533	1.89

- **Interpretation:** The analysis revealed that the different resistance surfaces produced corridors with varying degrees of efficiency. While the multi-species FEGN encompassed almost all bear locations, it did so by covering a vastly larger area, resulting in a much lower density of bear locations per unit area compared to the single-species models. This highlights a trade-off between generality and specificity. The study concluded that using a single validation method and a single resistance surface could lead to the selection of inefficient corridors, strongly advocating for the use of multiple validation approaches to build confidence in the final model [68].

Table 2: Key Research Reagent Solutions for Connectivity Modeling and Validation

Item	Function in Validation	Example Products/Sources
GPS Tracking Devices	To collect high-resolution location data for model parameterization and, crucially, independent validation.	GPS collars (e.g., from Vectronic-Aerospace, Lotek); Biologgers [9]
GPS Data Logger	Serves as a gold-standard reference device for validating the accuracy of other GPS sensors in wearable devices.	Qstarz BT-Q1000X GPS Data Logger [70] [69]
GIS Software	The primary platform for creating resistance surfaces, running corridor models, and performing spatial overlay analysis (Category 1 validation).	ArcGIS Pro [69], QGIS, Circuitscape [68]
Statistical Software	Used to perform statistical tests comparing connectivity values at used vs. available locations (Category 2 validation).	R, Python
Movement Modeling Packages	Specialized tools for analyzing tracking data and implementing advanced validation techniques like step-selection functions (Category 3).	`amt` (R package), `move` (R package)

This case study underscores that validating connectivity models with independent GPS data is not an optional extra but a fundamental component of rigorous movement ecology and conservation science. The frameworks and the Florida black bear example demonstrate that validation is achievable across a range of resource constraints. By adopting a multi-method approach and prioritizing the use of independent movement data, researchers and conservation practitioners can move beyond theoretical corridor maps and develop robust, scientifically defensible plans. This will ensure that limited

conservation resources are invested in corridors that effectively facilitate animal movement, maintain genetic flow, and enhance ecosystem resilience in a rapidly changing world.

The TRACE Framework for Transparent and Coherent Model Documentation

In the field of movement ecology, researchers increasingly rely on complex computational models to understand animal behavior, population dynamics, and species responses to environmental change [9]. These models integrate massive datasets from GPS tracking, biologging, and remote sensing to generate insights and forecasts [18]. However, this growing sophistication creates a critical challenge: without comprehensive documentation of how these models are developed, tested, and validated, their credibility for supporting scientific inference and conservation decisions remains limited [71] [72].

The TRACE framework (TRAnsparent and Comprehensive Ecological modelling documentation) was developed specifically to address this documentation gap [71]. It establishes a standardized approach for documenting the entire model development process, creating what its developers describe as a "virtual laboratory notebook" that tracks the rationale, testing, and evaluation behind ecological models [72]. This systematic approach to documentation is particularly valuable in movement ecology, where models must often balance biological realism with computational practicality while providing reliable predictions for conservation planning [9] [73].

Understanding the TRACE Framework

Core Principles and Components

TRACE operates on two fundamental principles: keeping a detailed modelling notebook that documents daily progress, and using standardized terminology throughout this documentation process [71]. This approach ensures that every aspect of model development—from initial conceptualization through testing and final application—is systematically recorded and communicable to others.

The framework guides modellers through documenting four key elements that form the foundation of transparent model evaluation [72]:

- **Model purpose and design rationale**: The ecological questions being addressed and reasons for specific model structures.
- **Testing and evaluation processes**: The methods used to verify, validate, and evaluate model performance.
- **Analysis of model behavior**: How the model responds to different inputs and parameters.
- **Model application context**: The specific scenarios and decisions the model is meant to inform.

The "Evaludation" Concept in TRACE

A central innovation of TRACE is its focus on what has been termed **"evaludation"** – a merging of model evaluation and validation into a comprehensive process of establishing model quality and credibility throughout all stages of development, analysis, and application [71]. This concept recognizes that model credibility is built cumulatively through iterative testing and refinement rather than through a single validation step at the project's conclusion.

For movement ecologists, this means documenting not only the final model that successfully matches observed animal tracking data, but also the alternative model structures that were tested and rejected during development, along with the rationale for these decisions [72]. This comprehensive approach provides model users—whether fellow researchers or decision-makers—with a complete picture of the model's strengths and limitations.

Comparative Analysis of Ecological Model Documentation Frameworks

TRACE Versus General Model Validation Approaches

While TRACE provides a comprehensive documentation framework, movement ecologists also employ specialized validation approaches to test model reliability against empirical data. The table below compares TRACE with a novel validation method recently proposed for ecological models.

Table 1: Comparison of Documentation and Validation Approaches in Ecological Modeling

Feature	TRACE Documentation Framework	Covariance Validation Method
Primary Focus	Transparent documentation of the entire modeling process [71] [72]	Mathematical testing of model structures against data [7]
Methodology	Standardized terminology and modeling notebooks [72]	Analysis of covariance relationships between observable quantities [7]
Key Application	Building credibility for decision support [71]	Rigorously invalidating inadequate model structures [7]
Implementation	Daily documentation of model development decisions [72]	Statistical testing of gain-loss relationships in population models [7]

Feature	TRACE Documentation Framework	Covariance Validation Method
Output	TRACE documents for public communication [72]	Quantitative assessment of model validity [7]

TRACE Implementation Workflow

The following diagram illustrates the iterative workflow for implementing TRACE documentation throughout the modeling process, adapted for movement ecology applications:

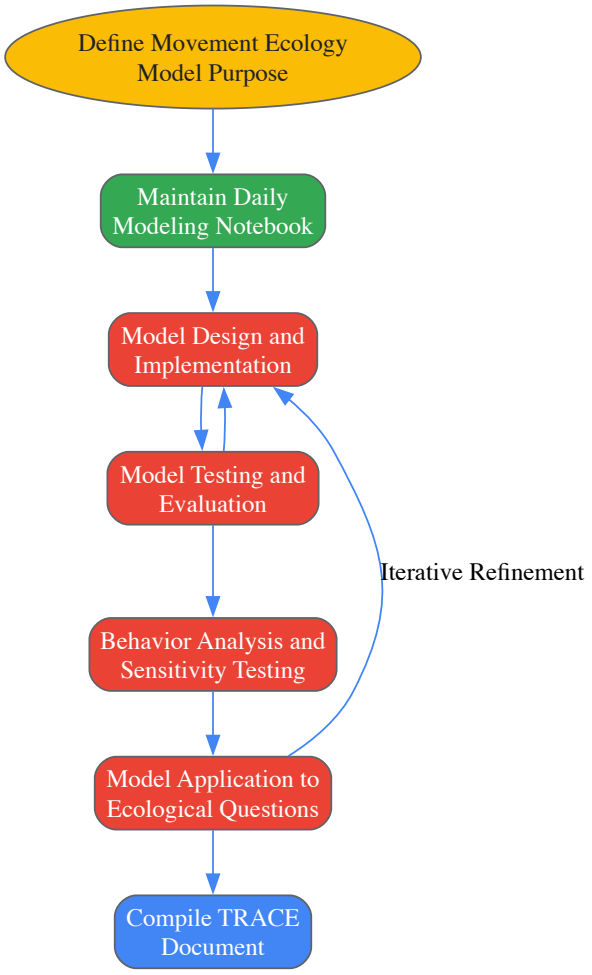

TRACE Documentation Workflow in Movement Ecology Modeling

This workflow emphasizes the iterative nature of model development in movement ecology, where initial models are deliberately simplified and then refined through comparison with empirical movement data [71]. The process requires daily notebook entries that document this evolution, ultimately distilled into a formal TRACE document that communicates the model's credibility to others.

Experimental Protocols for TRACE Implementation

Documentation Methodology

Implementing TRACE effectively requires systematic daily documentation practices. Based on established protocols, the recommended methodology includes [72]:

- **Daily Logging Procedure**: Dedicate 15-30 minutes at the end of each modeling session to document all activities, including code changes, parameter adjustments, simulation runs, and results interpretation.
- **Standardized Entry Format**: Each notebook entry should clearly record the date, modeling objective, methods employed, key results, interpretation, and planned next steps.
- **Decision Tracking**: Explicitly document all modeling decisions, including the rationale for selecting specific movement algorithms (e.g., random walks, correlated random walks, Levy flights) and the rejection of alternatives.

- **Version Control Integration**: Link modeling notebook entries with specific versions in code repositories to maintain reproducibility across model development iterations.
- **Problem-Solution Recording**: Record not only successful approaches but also dead ends and failures, noting why certain strategies did not work and what was learned from them.

Model Testing and Evaluation Protocol

For the testing phase documented in TRACE, movement ecologists should implement a structured evaluation protocol:

- **Unit Testing**: Verify individual model components in isolation, such as movement algorithms, habitat selection rules, or energy budget calculations.
- **Pattern-Oriented Validation**: Compare multiple emergent patterns from the model (e.g., step length distributions, home range sizes, migration routes) with multiple empirical patterns observed in movement data.
- **Sensitivity Analysis**: Systematically test how model outputs respond to variations in parameters, identifying which parameters most strongly influence results.
- **Scenario Testing**: Evaluate model performance under known conditions or extreme scenarios to verify behavioral realism.
- **Uncertainty Propagation**: Document how measurement errors in tracking data propagate through the model to affect output uncertainty.

Essential Research Toolkit for Movement Ecology Modeling

Documentation and Modeling Reagents

Table 2: Essential Research Reagents for TRACE-Compliant Movement Ecology Modeling

Research Reagent	Function/Purpose	Implementation Examples
Modeling Notebook	Daily record of model development, testing, and analysis [72]	Electronic lab notebook (ELN) software, version-controlled text files
TRACE Template	Standardized structure for final documentation [71]	Pre-formatted document with sections for each TRACE element
ODD Protocol	Standard description for individual-based models [71]	Overview, Design concepts, Details format for model description
Version Control System	Tracking code changes and maintaining reproducibility [72]	Git repositories with commit messages linked to notebook entries
Data Management Plan	Organizing movement datasets and metadata [9]	Standardized formatting for GPS tracks, environmental layers, biologging data
Sensitivity Analysis Tools	Quantifying parameter influences on model outputs [72]	Statistical packages for global sensitivity analysis (e.g., Sobol method)
Pattern-Oriented Tests	Multi-scale model validation against empirical patterns [71]	Statistical comparisons of emergent model patterns with field observations

Relationship Between Documentation Components

The various elements of the movement ecology modeling toolkit interact systematically throughout the TRACE documentation process, as shown in the following diagram:

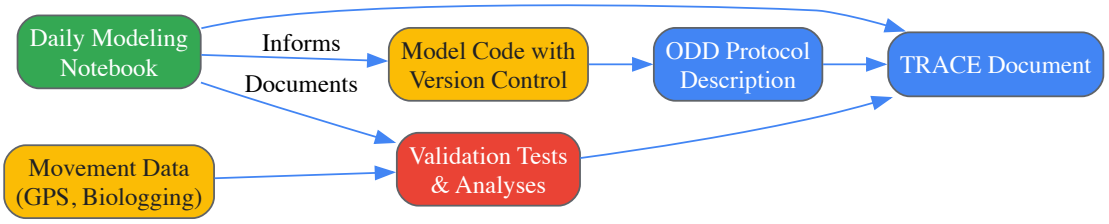

Movement Ecology Documentation Components Relationship

Comparative Performance of Documentation Approaches

Qualitative Framework Comparison

When evaluating TRACE against informal documentation practices common in movement ecology, several distinct advantages emerge:

- **Reproducibility Enhancement**: TRACE's standardized format significantly improves the reproducibility of modeling studies compared to ad hoc documentation, which often omits crucial decision rationales and testing procedures [72].
- **Error Reduction**: The systematic nature of TRACE documentation reduces the likelihood of repeating unsuccessful modeling approaches, a common problem in complex movement ecology projects where model development may span months or years [71].
- **Credibility Building**: For models intended to support conservation decisions, TRACE documentation provides stakeholders with comprehensive evidence of rigorous testing and evaluation, increasing trust in model-based recommendations [71] [72].
- **Efficiency Gains**: Although maintaining detailed documentation requires initial time investment, studies indicate this practice ultimately saves time by reducing redundant work and facilitating model reuse and extension [72].

Implementation Efficiency Data

The table below summarizes documented efficiency gains from systematic documentation practices like TRACE in ecological modeling projects:

Table 3: Efficiency Outcomes from Systematic Model Documentation

Documentation Aspect	Informal Approach	TRACE Framework	Impact
Time Investment	Variable, often deferred	~15 minutes daily [72]	Consistent, manageable effort
Project Handoff	Difficult, knowledge loss	Smooth transition possible	Preserves institutional knowledge
Model Repurposing	Time-consuming reverse engineering	Straightforward with comprehensive docs	60-80% time savings estimated [72]
Error Identification	Ad hoc, often missed	Systematic tracking in notebook	Earlier detection, less rework
Stakeholder Confidence	Limited without evidence	Built through transparent docs	Higher adoption in decision support

Implementation Guidelines for Movement Ecology

Practical Application Protocol

For movement ecologists implementing TRACE, the following step-by-step protocol is recommended:

- **Initiation Phase**: Before model coding begins, document the core movement ecology questions, conceptual model diagrams, and specific model purposes using the TRACE structure.
- **Development Phase**: Maintain daily entries documenting programming decisions, movement algorithm selections, data processing choices, and initial testing results.
- **Evaluation Phase**: Systematically record all validation tests against movement data, including both successful and unsuccessful pattern matches, with analysis of discrepancies.
- **Application Phase**: Document all simulation experiments, scenario analyses, and conservation applications, linking them directly to the original model purposes.
- **Synthesis Phase**: Distill the comprehensive modeling notebook into a formal TRACE document for publication or sharing with stakeholders.

Integration with Movement Ecology Workflows

To successfully integrate TRACE with existing movement ecology research workflows:

- **Connect with Data Pipelines**: Link TRACE documentation with movement data preprocessing workflows and quality control procedures.
- **Align with Analysis Methods**: Coordinate model documentation with statistical analyses of movement paths (e.g., step selection functions, hidden Markov models).
- **Interface with Field Studies**: Document how model structures reflect biological knowledge of study species from field observations.
- **Support Open Science**: Use TRACE documentation to enhance data and code sharing initiatives in movement ecology.

The integration of rigorous documentation practices like TRACE with novel validation approaches represents a promising path forward for increasing the reliability and impact of movement ecology models in addressing pressing conservation challenges [9] [7].

The field of movement ecology has undergone a profound transformation, evolving from a data-poor discipline to one grappling with increasingly complex and voluminous tracking datasets [74]. This data explosion, fueled by advances in animal-borne devices and remote sensing technologies, has exposed critical limitations in traditional analytical tools while simultaneously creating unprecedented opportunities for understanding ecological processes [31]. The fundamental question no longer centers merely on where animals go, but on how different analytical models can reveal distinct—and often complementary—ecological patterns from the same underlying movement data [74]. Model selection directly influences how researchers identify resource utilization, understand behavioral mechanisms, and ultimately, how they conceptualize an animal's interaction with its environment.

Movement serves as the "glue that ties ecological processes together," connecting individual behavior to population distribution, species interactions, and evolutionary outcomes [31]. The patterns discerned from animal movement data—whether related to home range dynamics, migratory corridors, or foraging strategies—are not simply observed but are inferred through mathematical and statistical models. Each model carries its own assumptions and theoretical foundations, which in turn shape the ecological patterns researchers observe. This comparative analysis examines how differing modeling frameworks—from traditional home range estimators to modern mechanistic and path-based models—extract varying ecological insights from movement data, with profound implications for both ecological theory and conservation practice.

Comparative Framework of Ecological Movement Models

Model Classifications and Theoretical Foundations

Movement ecology models can be broadly categorized into several classes based on their theoretical underpinnings and treatment of movement processes. **Utilization distribution models**, such as Kernel Density Estimators (KDE) and Brownian bridge models, focus on quantifying spatial use patterns and home ranges from location data [74]. **State-space models** and **Hidden Markov Models (HMMs)** represent a different approach, treating observed movement paths as manifestations of underlying behavioral states that evolve through time [31]. **Path selection models**, including Least-Cost Path (LCP) and Randomized Shortest Path (RSP) frameworks, emphasize movement as a response to landscape resistance and connectivity [75]. Finally, **continuous-time stochastic process models** have emerged to address the limitations of discrete-time models when dealing with modern, highly autocorrelated tracking datasets [76].

Table 1: Comparative Theoretical Foundations of Movement Ecology Models

Model Class	Core Theoretical Foundation	Treatment of Movement	Primary Ecological Questions
Kernel Density Estimators (KDE)	Probability theory & density estimation	Static spatial distribution	Where does an animal spend most time? What is its home range?
Brownian Bridge Models	Stochastic process theory	Movement with uncertainty between points	What are the pathways and utilization between known locations?
Hidden Markov Models (HMMs)	State-space theory & Bayesian inference	Discrete behavioral states driving movement	How do animals transition between behaviors? How is movement linked to internal state?
Least-Cost Path (LCP)	Graph theory & optimization	Deterministic, optimal movement	What is the most efficient pathway through a landscape?
Randomized Shortest Path (RSP)	Statistical physics & information theory	Trade-off between optimality and exploration	How do animals balance efficiency and exploration during movement?
Continuous-Time Movement Models	Stochastic differential equations	Continuous movement process	How do movement processes operate across temporal scales?

Methodological Approaches and Experimental Protocols

The application of different models follows distinct methodological pathways, each with specific data requirements and analytical procedures. In a landmark field experiment with hummingbirds, researchers employed Hidden Markov Models to analyze how movement patterns changed as birds learned rewarded flower locations [20]. The experimental protocol involved: (1) deploying field experiments where hummingbirds were trained to find rewarded flowers; (2) collecting high-resolution movement data using tracking technologies; (3) applying HMMs to identify distinct movement states (e.g., "memory-led search" versus "systematic searching"); and (4) experimentally manipulating local landmarks to assess their role in spatial memory. This approach revealed that landmark removal caused a strategic shift in movement behavior—a pattern detectable through HMMs but less apparent through simple descriptive statistics of hovering locations [20].

For landscape-level connectivity studies, researchers have developed rigorous protocols to compare path selection models. In a study of Iberian lynx connectivity, the methodological workflow included: (1) classifying GPS locations into territorial and exploratory behavioral states using local convex hull methods; (2) developing conductance surfaces based on Point Selection Functions; (3) testing multiple levels of movement randomness using the Randomized Shortest Path framework; and (4) validating models against independent movement data using various statistical techniques [75]. This comprehensive approach demonstrated that models with intermediate randomness levels—between completely deterministic and completely random movement—best predicted actual lynx movements, highlighting how model assumptions dramatically alter connectivity predictions [75].

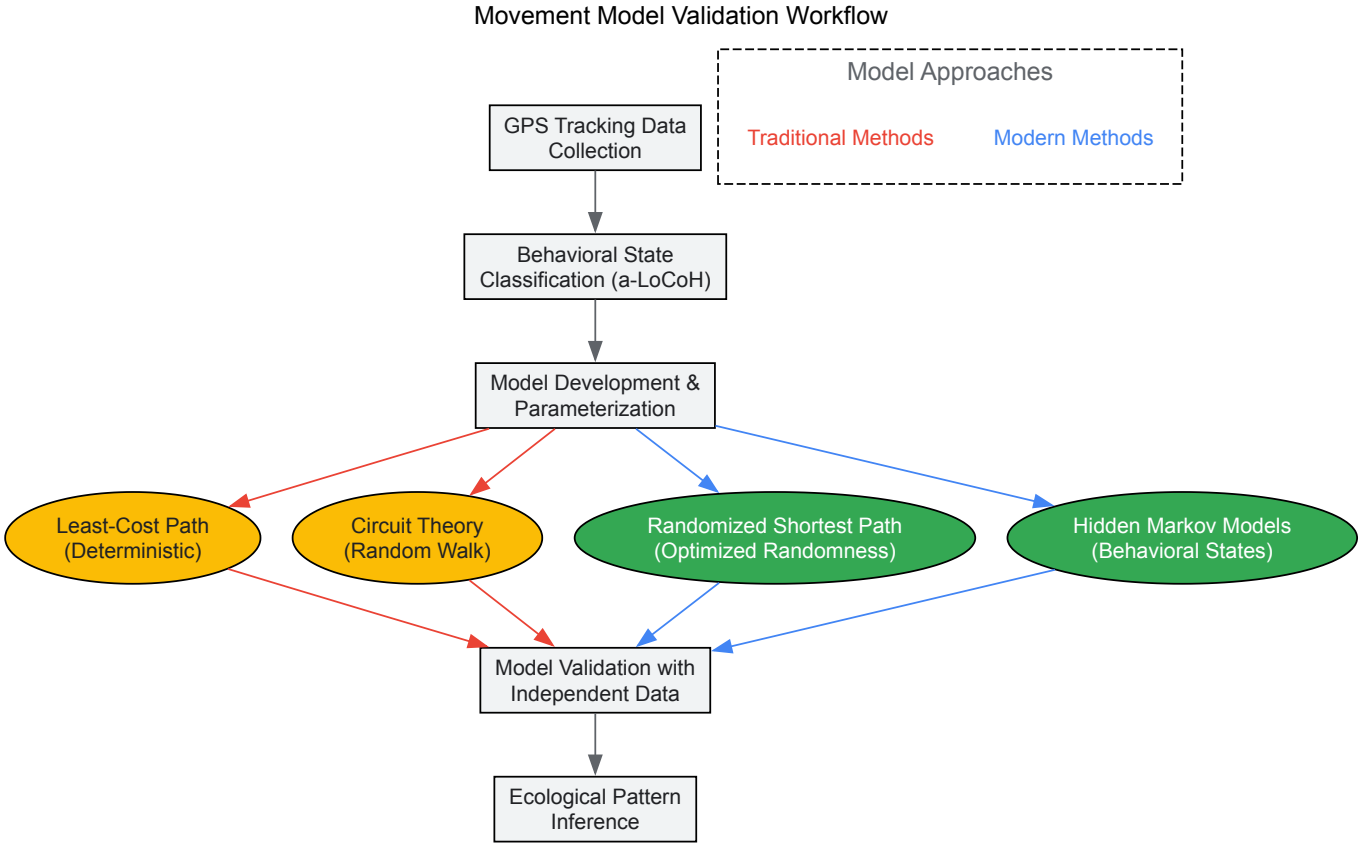

Comparative Analysis of Model Performance and Ecological Insights

Quantitative Comparisons of Model Outputs

Different movement models produce quantitatively distinct predictions of ecological patterns, particularly evident in connectivity and space use studies. In the Iberian lynx case study, researchers directly compared traditional connectivity approaches (Least-Cost Path and circuit theory) with the Randomized Shortest Path framework across multiple validation metrics [75]. The RSP model with optimized randomness parameters demonstrated superior predictive performance, with validation scores approximately 30-40% higher than traditional approaches when predicting observed lynx movement pathways. This performance advantage translated into materially different corridor predictions, with RSP identifying more ecologically realistic dispersal routes that accounted for the species' balance between optimal path selection and exploratory behavior [75].

Table 2: Performance Comparison of Movement Models in Predicting Iberian Lynx Connectivity

Model Type	Movement Assumption	Validation Score	Key Strengths	Key Limitations
Least-Cost Path (LCP)	Totally deterministic	0.42-0.58	Identifies most efficient route; Simple interpretation	Oversimplifies decision-making; Single pathway
Circuit Theory	Totally random (unbiased walk)	0.45-0.61	Identifies multiple potential routes; Incorporates landscape permeability	Overestimates randomness; No directed movement
Randomized Shortest Path (Optimal θ)	Balanced randomness (validated)	0.72-0.79	Biologically realistic; Accounts for landscape knowledge	Requires validation data; More computationally intensive
Randomized Shortest Path (High θ)	Mostly deterministic	0.51-0.64	Good for highly familiar landscapes	Poor performance in novel environments

Model Type	Movement Assumption	Validation Score	Key Strengths	Key Limitations
Randomized Shortest Path (Low θ)	Mostly random	0.48-0.62	Good for completely unfamiliar landscapes	Poor performance in familiar territories

The integration of movement models with cognitive ecology reveals similarly striking differences in pattern detection. In hummingbird spatial learning experiments, Hidden Markov Models could detect subtler behavioral shifts following landmark manipulation than conventional analyses of hovering locations [20]. While traditional methods showed only a "slight decrease in accuracy" when landmarks were removed, HMMs revealed this was part of a "larger shift from a memory-led search strategy to a more systematic searching process"—a fundamental change in cognitive strategy that would remain hidden without appropriate analytical frameworks [20].

Context-Dependent Model Performance

No single model outperforms others across all ecological contexts and research questions. Model performance exhibits strong context-dependence based on species characteristics, environmental contexts, and research objectives. In highly familiar landscapes or for species with extensive site fidelity, more deterministic models like LCP may perform adequately for predicting frequently used pathways [75]. Conversely, in novel environments or for dispersing individuals, models incorporating greater randomness (like circuit theory or optimized RSP) demonstrate superior predictive capability [75]. The temporal scale of analysis further influences model selection, with continuous-time movement models (as implemented in the `ctmm` package for R) proving particularly valuable for irregularly sampled data or when analyzing movement processes across multiple temporal scales [76].

The behavioral context of movement also critically determines model appropriateness. Hidden Markov Models excel at identifying discrete behavioral states (e.g., foraging, traveling, resting) from movement characteristics, making them invaluable for linking movement patterns to behavioral processes and internal states [20] [31]. As one researcher notes, "The real novelty of obtaining frequent locations for extended periods of time is the ability to fit individual-based models to time series data" like HMMs that can "infer behaviour based on movement and properly account for the serial autocorrelation in the data" [31]. In contrast, utilization distribution models like Brownian bridge kernels better serve questions about habitat use intensity and home range characteristics, particularly when dealing with uncertain movement paths between recorded locations [74].

Essential Research Tools and Methodological Considerations

Research Reagent Solutions for Movement Ecology

Modern movement ecology relies on a suite of methodological "reagents"—analytical tools and frameworks that enable researchers to extract ecological patterns from tracking data.

Table 3: Essential Research Reagent Solutions in Movement Ecology

Research Reagent	Primary Function	Application Context	Key References
GPS Tracking Devices	High-resolution location data collection	Field data collection across taxa; Requires satellite connectivity	[74] [31]
Continuous-Time Movement Modeling (ctmm)	Analysis of highly autocorrelated tracking data	Home range estimation; Path reconstruction; Model selection	[76]
Hidden Markov Models (HMMs)	Inference of behavioral states from movement	Linking movement to internal state; Cognitive ecology	[20] [31]
Randomized Shortest Path Framework	Connectivity modeling with adjustable randomness	Corridor identification; Dispersal modeling	[75]
Brownian Bridge Movement Models	Estimation of utilization between observed points	Home range analysis; Pathway uncertainty quantification	[74]
Local Convex Hull Methods (a-LoCoH)	Non-parametric home range estimation	Behavioral classification; Habitat use analysis	[75]

Methodological Recommendations for Model Selection

Based on comparative analyses across multiple studies, researchers should consider several key factors when selecting movement models for ecological inference. First, **model assumptions about movement randomness** should align with the biological context—whether animals are

moving through familiar or novel environments, and their cognitive capacity for landscape awareness [75]. Second, **validation against independent movement data** remains essential, as even theoretically sophisticated models may fail to predict actual movement patterns without empirical calibration [75]. Third, researchers should consider **temporal resolution requirements**, with continuous-time models often preferable for irregular sampling schedules and discrete-state models appropriate for clearly defined behavioral transitions [76].

The integration of multiple model frameworks frequently provides the most comprehensive ecological insights. For instance, combining large-scale connectivity models (like RSP) with fine-scale behavioral analysis (using HMMs) can reveal how individual decisions scale to population-level patterns. Similarly, pairing movement models with environmental data layers enables researchers to test hypotheses about environmental drivers of movement—though this should be done "with caution" to avoid spurious correlations [31]. The field continues to advance toward more mechanistic models that "draw on theory in truly innovative ways to generate new ways of thinking about movement processes" [31].

The comparative analysis of movement ecology models reveals that ecological patterns are not simply observed but are constructed through the interplay of data, models, and ecological theory. Each model class illuminates different aspects of movement ecology—from cognitive strategies revealed through Hidden Markov Models to landscape connectivity patterns identified through Randomized Shortest Path frameworks. These varying patterns are not contradictory but complementary, together providing a more comprehensive understanding of movement ecology across organizational levels and spatiotemporal scales.

The future of movement ecology lies not in identifying a single superior model but in developing thoughtful model selection frameworks that match analytical approaches to biological questions, while acknowledging the limitations and assumptions of each method. As technological advances continue to generate increasingly detailed movement datasets, and as methodological innovations continue to enhance analytical capabilities, researchers will be better equipped to unravel the complex ecological patterns encoded in animal movement. This progression will ultimately transform movement ecology from a predominantly descriptive science to a truly predictive one, capable of forecasting ecological responses to environmental change and informing effective conservation strategies.

Conclusion

The rigorous validation of movement ecology models is not a final step but an integral, ongoing process—an 'evaludation'—that builds throughout the model lifecycle. Selecting the appropriate model is paramount, as RSFs, SSFs, and HMMs offer distinct and often complementary ecological insights, with the choice heavily dependent on the research question, data scale, and intended inference. Embracing structured frameworks like TRACE for documentation and adopting a 'fit-for-purpose' mindset are critical for enhancing model credibility, reproducibility, and utility. As these computational approaches become increasingly vital in biomedical research, particularly with the rise of New Approach Methodologies (NAMs) in drug development, establishing robust validation standards will be essential for building regulatory confidence and ensuring that these powerful tools deliver accurate, human-relevant predictions to accelerate scientific discovery.

References

- 1. An introduction to statistical models used to characterize... [https://movementecologyjournal.biomedcentral.com/articles/10.1186/s40462-025-00549-2]
- 2. Cognitive Movement | Frontiers Research Topic Ecology [https://www.frontiersin.org/research-topics/16075/cognitive-movement-ecology/magazine]
- 3. Multi-mode movement decisions across widely ranging... | PLOS One [https://journals.plos.org/plosone/article?id=10.1371/journal.pone.0272538]
- 4. Resource selection functions [https://www.terpconnect.umd.edu/~egurarie/teaching/SpatialModelling_AKTWS2018/6_RSF_SSF.html]
- 5. (PDF) A multi-state conditional logistic regression model for the... [https://www.academia.edu/142924225/A_multi_state_conditional_logistic_regression_model_for_the_analysis_of_animal_movement]
- 6. and RSF analysis of fisher SSF [https://conservancy.umn.edu/server/api/core/bitstreams/6bd35be1-a2d9-47de-bad0-efd97723de20/content]
- 7. : A New Validating - Simple Science Ecological Models Approach [https://scisimple.com/en/articles/2025-07-23-validating-ecological-models-a-new-approach--a3lqe6w]
- 8. [1509.09103v2] Inference procedures to estimate potential based... [https://arxiv.org/abs/1509.09103v2]
- 9. Frontiers | Editorial: Advances in modelling and analysis of animal... [https://www.frontiersin.org/journals/ecology-and-evolution/articles/10.3389/fevo.2025.1655346/full]
- 10. is the glue connecting Movement and home ranges habitat selection [https://pubmed.ncbi.nlm.nih.gov/25980987/]
- 11. Linking seasonal home size with range and... habitat selection [https://movementecologyjournal.biomedcentral.com/articles/10.1186/s40462-017-0119-8]
- 12. Ponds as experimental arenas for studying animal ... movement [https://orbit.dtu.dk/en/publications/ponds-as-experimental-arenas-for-studying-animal-movement-current]
- 13. Ponds as experimental arenas for studying animal ... movement [https://movementecologyjournal.biomedcentral.com/articles/10.1186/s40462-023-00419-9]

- 14. and Habitat of a Reintroduced... | PLOS One Selection Behaviour [https://journals.plos.org/plosone/article?id=10.1371/journal.pone.0054539]
- 15. Mastering Model in Validation Politics Comparative [https://www.numberanalytics.com/blog/ultimate-guide-model-validation-comparative-politics]
- 16. How to Use Validation Metrics to Compare Models [https://www.linkedin.com/advice/0/how-do-you-compare-contrast-different-models]
- 17. AI Model : Validation for Accuracy & Reliability Best Practices [https://galileo.ai/blog/best-practices-for-ai-model-validation-in-machine-learning]
- 18. Articles | Movement Ecology [https://movementecologyjournal.biomedcentral.com/articles]
- 19. Animal behaviour on the move: the use of auxiliary information and... [https://movementecologyjournal.biomedcentral.com/articles/10.1186/s40462-023-00401-5]
- 20. Applying movement to ecology cognition... models comparative [https://research-repository.st-andrews.ac.uk/handle/10023/32587]
- 21. Individual-level patterns of resource selection do not predict hotspots of... [https://pmc.ncbi.nlm.nih.gov/articles/PMC10687890/]
- 22. GitHub - psolymos/ResourceSelection: Resource ... Selection [https://github.com/psolymos/ResourceSelection]
- 23. An introduction to statistical models used to characterize... [https://pmc.ncbi.nlm.nih.gov/articles/PMC12004767/]
- 24. Applications of step-selection functions in ecology and conservation [https://movementecologyjournal.biomedcentral.com/articles/10.1186/2051-3933-2-4]
- 25. Rayleigh step - selection and connections to continuous-time... functions [https://movementecologyjournal.biomedcentral.com/articles/10.1186/s40462-023-00442-w]
- 26. Accounting for behaviour in fine - scale habitat selection : A case study... [https://pubmed.ncbi.nlm.nih.gov/37454311/]
- 27. Understanding step through numerical integration selection analysis [https://arxiv.org/abs/2308.15678]
- 28. Classifying movement behaviour in relation to environmental ... [https://pubmed.ncbi.nlm.nih.gov/19563470/]
- 29. in Machine learning | by Palak... | Medium Hidden Markov Model [https://medium.com/@palakvb02/hidden-markov-model-in-machine-learning-a744ada52166]
- 30. Multi-scale Modeling of Animal Movement and General Behavior Data... [https://link.springer.com/article/10.1007/s13253-017-0282-9]
- 31. : Stepping into the Mainstream – Methods Blog Movement Ecology [https://methodsblog.com/2017/03/09/movement-ecology/]
- 32. A call for using rangeland-based livestock operations as model ... [https://movementecologyjournal.biomedcentral.com/articles/10.1186/s40462-025-00591-0]
- 33. Iberian lynx - Wikipedia [https://en.wikipedia.org/wiki/Iberian_lynx]
- 34. Deterministic, random, or in between? Inferring the randomness level of... [https://pubmed.ncbi.nlm.nih.gov/34187578/]
- 35. Movement phases make a difference in habitat selection: Iberian ... lynx [https://pubmed.ncbi.nlm.nih.gov/40600380/]
- 36. Exploratory and territorial behavior in a reintroduced population of Iberian lynx - PMC [https://pmc.ncbi.nlm.nih.gov/articles/PMC8266892/]
- 37. Lynx pardinus (Spanish lynx) | INFORMATION | Animal Diversity Web [https://animaldiversity.org/accounts/Lynx_pardinus/]
- 38. Decoding Spec : Quick Tips for Econ Analysis Errors [https://www.numberanalytics.com/blog/decoding-spec-errors-quick-tips-for-econ-analysis]
- 39. 12 pitfalls to avoid in data integration [https://www.lonti.com/blog/12-pitfalls-to-avoid-in-data-integration]
- 40. User Defined Error Handling in Informatica PowerCenter ~ Data ... [https://www.disoln.org/2012/10/User-Defined-Error-Handling-in-Informatica-PowerCenter.html]
- 41. 7 Common Data and How to Avoid Them Integration Pitfalls [https://www.stacksync.com/blog/7-common-data-integration-pitfalls-and-how-to-avoid-them]
- 42. Common Pitfalls to Avoid When Analyzing and Modeling Data [https://www.freecodecamp.org/news/common-pitfalls-to-avoid-when-analyzing-and-modeling-data/]
- 43. Two betweenness centrality measures based on Randomized Shortest Paths | Scientific Reports [https://www.nature.com/articles/srep19668]
- 44. Developments in the theory of randomized shortest paths with a comparison of graph node distances - ScienceDirect [https://www.sciencedirect.com/science/article/abs/pii/S0378437113008479]
- 45. Deterministic, random, or in between? Inferring the randomness level of wildlife movements | Movement Ecology | Full Text [https://movementecologyjournal.biomedcentral.com/articles/10.1186/s40462-021-00273-7]
- 46. Predicting the continuum between corridors and barriers to animal... [https://pubmed.ncbi.nlm.nih.gov/25950737/]
- 47. [1807.04551] A Constrained Randomized - Shortest ... Paths Framework [https://arxiv.org/abs/1807.04551]
- 48. Maximum likelihood estimation for randomized with... shortest paths [https://deepai.org/publication/maximum-likelihood-estimation-for-randomized-shortest-paths-with-trajectory-data]
- 49. [2112.08481] Maximum likelihood estimation for randomized shortest paths with trajectory data [https://arxiv.org/abs/2112.08481]
- 50. Qualitative and quantitative guidelines for the comparison of... [https://inis.iaea.org/records/88jtc-pj289]
- 51. A ERSF-VIPA framework: scalable wildlife movement for... modelling [https://link.springer.com/article/10.1186/s40462-025-00602-0]
- 52. - Fit - for : Species Distribution Purpose Performance... | PLOS One Model [https://journals.plos.org/plosone/article?id=10.1371/journal.pone.0063708]

- 53. A hierarchical path-segmentation movement framework ecology [https://ecologicalprocesses.springeropen.com/articles/10.1186/s13717-022-00399-5]
- 54. maximum likelihood and Bayesian methods for fitting... Comparing [https://movementecologyjournal.biomedcentral.com/articles/10.1186/s40462-023-00434-w]
- 55. A cross- validation -based approach for delimiting reliable home range... [https://link.springer.com/article/10.1186/s40462-017-0110-4]
- 56. Is my model ? fit a population for ... | CoLab purpose Validating model [https://colab.ws/articles/10.1002%2Fecs2.4660]
- 57. A hierarchical machine learning framework for the analysis of large... [https://movementecologyjournal.biomedcentral.com/articles/10.1186/s40462-021-00242-0]
- 58. The role of validation in optimization models for forest management [https://annforsci.biomedcentral.com/articles/10.1186/s13595-024-01235-w]
- 59. Cross validation for model selection: a review with examples from... [https://www.bohrium.com/paper-details/cross-validation-for-model-selection-a-review-with-examples-from-ecology/817344893692149762-2938]
- 60. Random forest and spatial cross- validation performance in predicting... [https://environmentalsystemsresearch.springeropen.com/articles/10.1186/s40068-024-00352-9]
- 61. Commentary to: a cross- validation -based approach for delimiting... [https://movementecologyjournal.biomedcentral.com/articles/10.1186/s40462-018-0128-2]
- 62. Hidden Markov Models : The Best Models for Forager Movements ? [https://journals.plos.org/plosone/article?id=10.1371/journal.pone.0071246]
- 63. Frontiers | Integrative Framework for Long-Term Activity Monitoring of... [https://www.frontiersin.org/journals/ecology-and-evolution/articles/10.3389/fevo.2020.00169/full]
- 64. On the use of the metric rm² as an effective tool for validation of... [https://pubmed.ncbi.nlm.nih.gov/22587764/]
- 65. Mastering Quantitative & Qualitative for Success Metrics [https://www.insightful.io/blog/qualitative-vs-quantitative]
- 66. Measures for Business Insights: Benefits & Qualitative Metrics [https://improvado.io/blog/what-are-qualitative-metrics]
- 67. The science and practice of connectivity model validation [https://conservationcorridor.org/digests/2024/11/the-science-and-practice-of-connectivity-model-validation/]
- 68. Towards robust corridors – a novel validation ... | Research Square [https://www.researchsquare.com/article/rs-4474147/v1]
- 69. Monitoring mobility in older adults using a global ... positioning system [https://zenodo.org/records/10494585]
- 70. Dryad | Data -- Monitoring mobility in older adults using a global ... [https://datadryad.org/stash/dataset/doi:10.5061/dryad.bvq83bkg2]
- 71. Towards better modelling and decision support: Documenting model development, testing, and analysis using TRACE - ScienceDirect [https://www.sciencedirect.com/science/article/abs/pii/S0304380014000611]
- 72. Keeping modelling notebooks with TRACE: Good for you and good for environmental research and management support - ScienceDirect [https://www.sciencedirect.com/science/article/abs/pii/S1364815220309890]
- 73. of Animals Conference GRC 2025 Movement Ecology [https://www.grc.org/movement-ecology-of-animals-conference/2025/]
- 74. Analysis and visualisation of movement : an interdisciplinary review [https://movementecologyjournal.biomedcentral.com/articles/10.1186/s40462-015-0032-y]
- 75. Deterministic, random, or in between? Inferring the randomness level of... [https://link.springer.com/article/10.1186/s40462-021-00273-7]
- 76. | Smithsonian's National Zoo and Conservation... Quantitative Ecology [https://nationalzoo.si.edu/conservation-ecology-center/quantitative-ecology]