Biodiversity and Ecosystem Services: Critical Research Frontiers for Scientific and Clinical Innovation

Generated at: 2026-03-31
Source URL: https://www.ecologysci.com/posts/biodiversity-and-ecosystem-services-critical-research-frontiers-for-scientific-and-clinical-innovation

Biodiversity and Ecosystem Services: Critical Research Frontiers for Scientific and Clinical Innovation

Abstract

This article synthesizes the most urgent and interdisciplinary research areas at the nexus of biodiversity and ecosystem services, with a specific focus on implications for scientific discovery and drug development. It explores the foundational evidence linking biodiversity to essential services, critiques emerging methodologies for forecasting ecological change, addresses critical challenges in scaling research from genes to landscapes, and evaluates frameworks for validating research and translating findings into policy and clinical applications. Aimed at researchers, scientists, and drug development professionals, the review highlights how biodiversity underpins health, medicine, and economic resilience, and outlines a research agenda to secure these benefits for the future.

The Unbreakable Link: Exploring How Biodiversity Underpins Critical Ecosystem Services

In the face of escalating biodiversity loss and climate change, quantifying nature's contributions to people has emerged as a critical scientific frontier. This technical guide examines advanced methodologies for measuring ecosystem services, from well-established functions like carbon sequestration to the growing research domain of nature-derived health benefits. Framed within the broader context of biodiversity and ecosystem services research, this whitepaper synthesizes current quantification frameworks, experimental protocols, and analytical tools essential for researchers and scientists working at the intersection of ecology, climate science, and health. The integration of these measurement approaches provides the evidence base necessary for implementing international frameworks such as the Kunming-Montreal Global Biodiversity Framework and the Paris Agreement, enabling evidence-based conservation and policy decisions [1] [2].

Quantifying Carbon Sequestration Services

Carbon sequestration represents one of the most critical climate regulation services provided by natural ecosystems. The Global Carbon Budget (GCB) provides the most comprehensive annual assessment of carbon sources and sinks, integrating observations and model ensembles to track anthropogenic CO_2 emissions and their partitioning among atmosphere, land, and ocean [1].

Global Carbon Budget Framework

The GCB employs a mass-balance approach to quantify major carbon fluxes, with the 2025 assessment reporting that oceans absorb approximately 29% of human CO_2 emissions while land systems absorb 21% [1]. This framework has revealed that climate change is already weakening these natural sinks, with the land and ocean CO_2 sinks being 25% and 7% smaller, respectively, than they would have been without climate change effects during the 2015-2024 period [1].

Table 1: Global Carbon Budget Components (2025 Assessment)

Component	Quantification	Trend
Fossil CO_2 Emissions	38.1 $GtCO_2$ (projected for 2025)	+1.1% from 2024
Land-Use Change Emissions	4.1 $GtCO_2$ (projected for 2025)	Decreasing
Ocean CO_2 Sink	29% of anthropogenic emissions	Revised upward from previous assessments
Land CO_2 Sink	21% of anthropogenic emissions	Revised downward from previous assessments
Remaining Carbon Budget for 1.5°C	~4 years at current emissions	Rapidly diminishing

Methodologies for Carbon Sequestration Measurement

Experimental Protocol: Coastal Ecosystem Carbon Assessment

Research on tidal flats and wetlands employs standardized quantification methods that can be adapted for various ecosystem types:

- **Site Characterization**: Document key site attributes including sediment composition (sand, mud, or mixed), area (m^2), coastline length (m), and land use history [3].
- **Carbon Pool Inventory**: Measure carbon stocks across multiple compartments:
  - Vegetation biomass (above and belowground)
  - Soil organic carbon (to specified depth)
  - Litter and detritus
- **Flux Measurements**: Quantify carbon fluxes using:
  - Eddy covariance towers for atmospheric exchange
  - Sediment traps for deposition rates
  - Chamber measurements for soil respiration
- **Comparative Analysis**: Evaluate artificial versus natural ecosystems using reference points from pristine sites within the same biogeographic region [3].

The following diagram illustrates the carbon quantification workflow for ecosystem assessments:

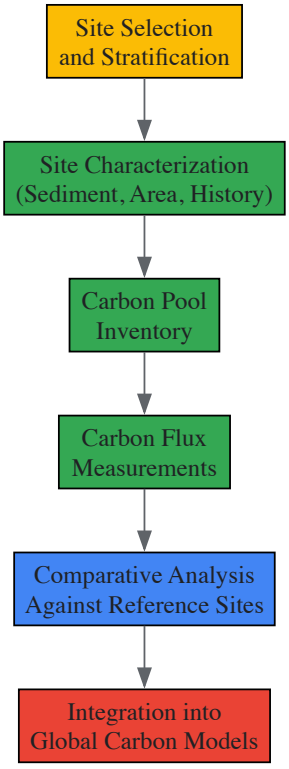

Biodiversity Assessment and Monitoring Frameworks

Biodiversity represents the foundational capital that generates ecosystem services. Comprehensive monitoring requires standardized approaches across multiple organizational levels.

Essential Biodiversity Variables and Monitoring Priorities

Biodiversa+, the European biodiversity partnership, has refined monitoring priorities for 2025-2028 that provide a framework for global assessment [2]:

Table 2: Biodiversity Monitoring Priorities (2025-2028)

Priority Area	Monitoring Focus	Policy Relevance
Genetic Composition	Intraspecific genetic diversity, differentiation, inbreeding, effective population sizes	Kunming-Montreal Global Biodiversity Framework Target 4
Common Species	Widespread biodiversity using standardized multi-taxa approaches	Ecosystem functioning and resilience
Insects	Insect biodiversity, including pollinators	Pollination services, food security
Soil Biodiversity	Micro-organisms to soil fauna (bacteria, earthworms, fungi)	Soil health, nutrient cycling
Urban Biodiversity	Biodiversity in urban, peri-urban, and urban-fluvial environments	Human well-being, climate adaptation

Priority Area	Monitoring Focus	Policy Relevance
Protected Areas	Biodiversity within protected areas across all realms	KMGBF Target 3 (30x30)

Key Biodiversity Areas Identification Protocol

The Key Biodiversity Areas (KBA) Partnership has developed standardized criteria for identifying globally significant sites [4]. The methodology involves:

- **Compilation of existing data** from the IUCN Red List and Plants of the World Online
- **Application of KBA criteria** to all species and ecosystems with sufficient data
- **Field validation** to confirm presence and population status of trigger species
- **Spatial delineation** of site boundaries using ecological boundaries rather than arbitrary limits

Recent research reveals that comprehensive KBA assessments increase identified sites by 164% in area and 70% in number compared to partial assessments, indicating that approximately half of the world's most critical biodiversity sites remain unidentified [4].

Quantifying Nature-Health Relationships

The association between nature exposure and human health represents an emerging frontier in ecosystem services quantification, with implications for public health policy and urban planning.

Nature Exposure Metrics and Health Outcomes

NatureScore Methodology NatureQuant employs machine learning approaches to quantify nature exposure using approximately 30 datasets processed at 10-m² granularity [5]. The methodology involves:

- **Data Integration**: Combining satellite imagery (NDVI), land cover classifications, park data, tree canopy cover, air pollution, noise levels, and artificial light at night.
- **Model Optimization**: Weighting input features based on associations with health outcomes (e.g., mortality rates from USALEEP).
- **Score Calculation**: Generating values from 0 (nature-deprived) to 100 (nature-rich) that reflect optimal weighting for specific health outcomes.

NatureDose Experimental Protocol The NatureDose mobile application provides a standardized method for quantifying individual nature exposure [5]:

- **Passive Monitoring**: Using smartphone sensors and GPS to track location.
- **Environment Classification**: Determining whether users are indoors, outdoors, or in natural areas.
- **Exposure Calculation**: Assigning full credit for time in designated natural areas and partial credit for other outdoor locations.
- **Goal Setting**: Implementing weekly exposure targets (30, 60, or 120 minutes) based on established health benefits.

Dose-Response Relationship Evidence

Large-scale epidemiological studies demonstrate a non-linear relationship between nature exposure and health benefits. Research with a nationally representative sample of 19,806 participants in England found that the likelihood of reporting good health or high well-being becomes significantly greater with contact ≥120 minutes per week, with positive associations peaking between 200-300 minutes per week [6]. The pattern was consistent across key demographic groups including older adults and those with long-term health issues.

The following diagram illustrates the interconnected pathways through which biodiversity influences human health:

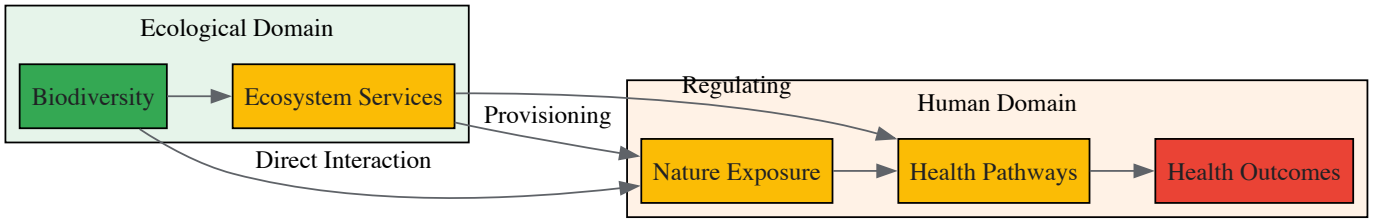

Biodiversity Net Gain and Ecosystem Service Quantification in Practice

Biodiversity Net Gain Methodology

The UK's Environment Act 2021 mandates a measurable 10% net gain in biodiversity for development projects, implemented through a standardized quantification system [7]:

- **Baseline Habitat Assessment**: Using UK Habitat Classification (UKHab) system to map and classify habitats before development.
- **Biodiversity Metric Calculation**: Employing DEFRA's Statutory Biodiversity Metric to calculate biodiversity units based on habitat size, condition, distinctiveness, and connectivity.
- **Mitigation Hierarchy**: Applying avoidance, minimization, and compensation measures sequentially.
- **Long-term Management**: Implementing 30-year management plans with monitoring programs.

Integrated Ecosystem Service Assessment Protocol

For coastal ecosystems, researchers have developed the Coastal Ecosystem Index (CEI) methodology that quantifies six key services [3]:

- **Service Selection**: Identifying relevant services (food provision, coastal protection, water front use, sense of place, water quality regulation, biodiversity).
- **Conceptual Modeling**: Mapping relationships between services and environmental factors in natural and social systems.
- **Factor Quantification**: Measuring state of environmental factors affecting each service.
- **Scoring**: Evaluating services against reference points from natural systems.
- **Composite Evaluation**: Weighting service scores for overall assessment.

The Scientist's Toolkit: Essential Research Reagents and Solutions

Table 3: Essential Methodologies for Quantifying Nature's Contributions

Methodology Category	Specific Tools/Protocols	Application
Remote Sensing & GIS	Sentinel-2A NDVI (10-m^2 resolution), ESA WorldCover (10-m^2), Landsat	Vegetation monitoring, land cover classification
Field Assessment	UK Habitat Classification (UKHab), Forest Inventory and Analysis protocols, Vegetation structure metrics	Baseline habitat assessment, condition monitoring
Carbon Measurement	Eddy covariance systems, LiDAR biomass estimation, Soil carbon analysis	Carbon stock and flux quantification
Biodiversity Metrics	DEFRA Statutory Biodiversity Metric, BNG Small Sites Metric, Essential Biodiversity Variables	Biodiversity net gain calculation, trend assessment
Health Exposure	NatureScore algorithm, NatureDose mobile application, GPS tracking	Nature exposure quantification, dose-response research
Genetic Analysis	DNA barcoding, microsatellite analysis, eDNA metabarcoding	Intraspecific genetic diversity monitoring

The quantification of nature's contributions to people requires integrated methodologies that span ecological, climatic, and health domains. This technical guide has outlined standardized protocols and emerging frameworks that enable researchers to generate comparable, rigorous measurements across these diverse domains. As the scientific community works to address critical knowledge gaps—particularly in understanding the mechanisms linking biodiversity to human health—these quantification approaches will provide the essential evidence base for policy decisions aimed at conserving ecosystem services in an era of rapid global change. The ongoing refinement of metrics such as the Global Carbon Budget, Essential Biodiversity Variables, and NatureScore represents a vital scientific enterprise with direct implications for achieving international sustainability targets.

Biodiversity—the variety of life at genetic, species, and ecosystem levels—forms the foundational infrastructure that sustains the planet's regulating ecosystem services (RES) [8] [9]. These services, derived from biophysical processes, include critical functions such as **climate regulation, air quality maintenance, water purification, erosion control, and disease regulation** [10]. The sustainable provision of these RES is crucial for maintaining ecological security and human development, yet research indicates they have declined at an alarming rate over the past 50 years, even as provisioning services have increased [10].

This technical guide examines the mechanistic underpinnings of biodiversity's role in climate buffering and disease regulation within the context of contemporary research priorities. For researchers and drug development professionals, understanding these relationships is increasingly critical: biodiversity not only provides direct health benefits but also inspires pharmaceutical development while regulating infectious disease transmission [8]. The erosion of these ecological functions represents a significant, though often unquantified, risk to both ecological integrity and human health security [9].

Conceptual Framework and Current Research Priorities

Theoretical Foundations of Regulating Services

Regulating ecosystem services (RES) constitute the benefits obtained from the regulation of ecosystem processes, including **air quality regulation, climate regulation, natural disaster regulation, water regulation, erosion regulation, and disease control** [10]. These services differ from provisioning services in their public good nature—they lack physical form and are non-excludable, leading to their systematic undervaluation in policy decisions [10]. The biodiversity-ecosystem function-ecosystem services-human wellbeing nexus has emerged as a central focus in landscape sustainability science, providing a framework for understanding how biological diversity translates into concrete ecological functions that ultimately support human health and security [10].

Critical Research Gaps and Emerging Priorities

Despite growing recognition of their importance, significant knowledge gaps persist in RES research. Current limitations include:

- **Incomplete understanding of ecological mechanisms** driving RES, particularly in sensitive ecosystems like karst World Heritage sites [10]
- **Inadequate quantification of trade-offs and synergies** between different regulating services [10]
- **Methodological challenges in scaling** from local observations to landscape-level assessments [10]
- **Genetic diversity blind spots** in forecasting models that fail to account for adaptive capacity [11]

Emerging research priorities reflect a shift toward integrated approaches. The 2025-2028 biodiversity monitoring agenda identified by Biodiversa+ emphasizes transnational cooperation on genetic composition, wildlife diseases, and ecosystem-level monitoring across terrestrial, freshwater, and marine realms [2]. Simultaneously, there is growing recognition that climate change and biodiversity loss constitute an indivisible global health emergency, requiring integrated science-policy interfaces to address [8] [12].

Table 1: Essential Biodiversity Variables for Monitoring Regulating Services

Monitoring Category	Specific Priority Areas	Policy Relevance
Genetic Composition	Intraspecific genetic diversity, differentiation, inbreeding, effective population sizes	Kunming-Montreal GBF targets, adaptive capacity assessment
Ecosystem Function	Pollination, pest control, disease regulation, carbon sequestration	EU Nature Restoration Law, Climate adaptation strategies
Species Groups	Bats, insects (especially pollinators), soil organisms, marine biodiversity	EU Directives, Pollinator initiatives, Soil health monitoring
Habitat Indicators	Ecosystem condition, habitat connectivity, landscape permeability	Protected area networks, Ecological corridor planning

Biodiversity in Climate Buffering: Mechanisms and Metrics

Ecological Mechanisms of Climate Regulation

Biodiversity contributes to climate buffering through multiple interconnected pathways operating across spatial and temporal scales. At the molecular and organismal level, diverse plant assemblages optimize photosynthetic efficiency and carbon sequestration through complementary resource use [10]. At ecosystem scales, structurally complex and taxonomically diverse forests demonstrate enhanced **microclimate regulation, evapotranspiration cooling, and carbon storage** capacity compared to simplified systems [13].

The cross-scale nature of climate regulation is exemplified in karst ecosystems, where diverse vegetation cover enhances carbon sequestration both in biomass and through dissolution of karst formations, while simultaneously maintaining local hydrological cycles critical for regional climate stability [10]. Similarly, marine biodiversity—from phytoplankton to mangrove ecosystems—plays a disproportionate role in global carbon cycling and coastal protection, with an estimated 50% of anthropogenic carbon absorbed by marine systems [2].

Quantitative Assessment of Climate Buffering Services

Table 2: Biodiversity-Enhanced Climate Regulation Metrics

Ecosystem Type	Primary Regulatory Mechanism	Quantification Method	Representative Values
Temperate Forests	Carbon sequestration, microclimate regulation	Eddy covariance, biomass inventory	2-6 kg C m^2 in biomass; 2-8°C summer cooling effect
Wetlands & Peatlands	Carbon storage, methane regulation, flood buffering	Gas flux measurements, peat core analysis	200-1000 kg C m^2 in peat; 70-90% floodwater retention
Urban Green Spaces	Heat island mitigation, evapotranspiration cooling	Thermal imaging, meteorological stations	1-3°C temperature reduction per 10% canopy cover increase
Marine Systems	Carbon sequestration, storm surge protection	Satellite monitoring, wave attenuation models	25% anthropogenic CO_2 absorption; 30-90% wave energy reduction

Experimental Protocols for Assessing Climate Buffering

Protocol 1: Measuring Carbon Sequestration in Diverse Ecosystems

- **Site Selection**: Establish paired plots representing high and low biodiversity conditions within the same ecosystem type and edaphic conditions.
- **Biomass Assessment**:
  - For forests: Conduct complete tree inventory (DBH ≥ 5 cm) using allometric equations for biomass calculation.
  - For soils: Collect core samples (0-30 cm depth) at systematic grid points for organic carbon analysis via loss-on-ignition or elemental analyzer.
- **Microclimate Monitoring**: Install data loggers for temperature and humidity at standardized heights (1.5m above ground) across all plots.
- **Statistical Analysis**: Employ generalized linear mixed models to partition variance attributed to biodiversity metrics (species richness, functional diversity) versus environmental covariates.

Protocol 2: Quantifying Urban Heat Island Mitigation by Green Infrastructure

- **Thermal Mapping**: Conduct synchronized mobile transects using calibrated temperature sensors during peak heating hours (12:00-15:00 local time).
- **Vegetation Characterization**:
  - Calculate canopy cover percentage through hemispherical photography.
  - Document species composition, leaf area index, and vegetation structure.
- **Correlative Analysis**: Develop multivariate models predicting temperature differentials as a function of biodiversity metrics, controlling for built environment variables.

Biodiversity in Disease Regulation: Ecological Mechanisms and Pathways

Dilution Effect and Transmission Dynamics

Biodiversity regulates infectious diseases through several documented ecological mechanisms, most notably the **"dilution effect"** where diverse host communities reduce disease transmission by maintaining populations of incompetent hosts that interrupt pathogen transmission cycles [8]. This phenomenon has been demonstrated in systems as varied as Lyme disease (where diverse small mammal communities reduce transmission to humans), West Nile virus (where diverse bird communities decrease transmission), and schistosomiasis (where diverse snail communities reduce human infection rates) [8] [9].

The mechanistic basis involves several pathways: (1) reduced encounter rates between competent hosts and vectors in species-rich communities, (2) differential predation on infected individuals or vectors, and (3) resource competition that limits population explosions of competent host species [9]. These regulatory functions are being progressively eroded by biodiversity loss, with profound health implications—the collapse of vulture populations in South Asia due to diclofenac poisoning led to increased feral dog populations and an estimated **300,000 additional human rabies deaths** [8].

Genetic Diversity and Pathogen Resistance

Beyond species-level diversity, genetic diversity within populations provides crucial disease regulation services. The **"monoculture effect"** observed in agriculture—where genetically uniform crops show heightened susceptibility to pathogens—has parallels in natural systems [11]. Genetically diverse host populations present moving targets for rapidly evolving pathogens, limiting adaptation and spread. This genetic dimension is increasingly critical in forecasting disease risks under global change, yet remains a significant blind spot in current models [11].

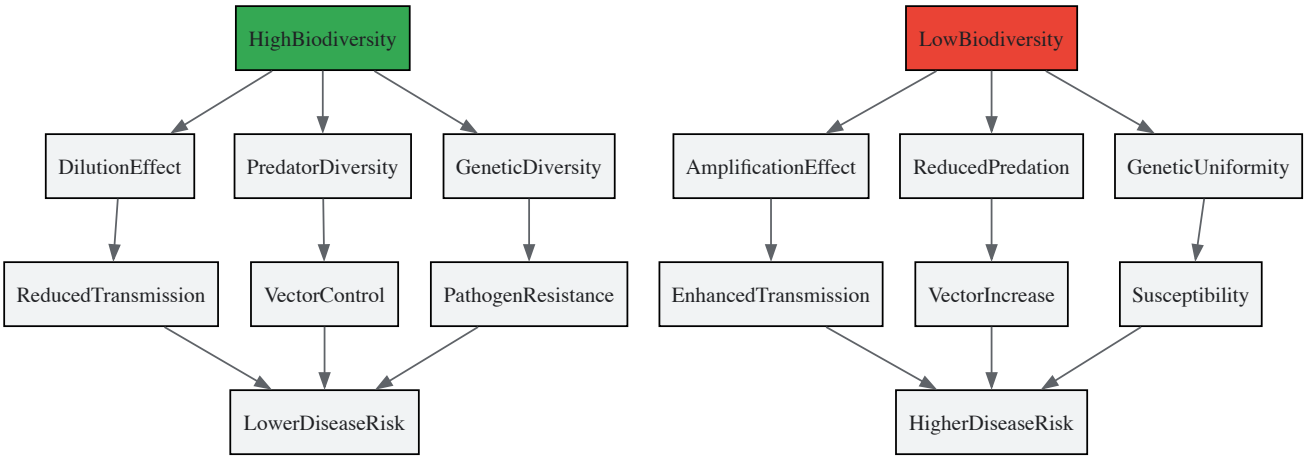

Diagram: Biodiversity-Disease Regulation Pathways

Experimental Protocols for Disease Regulation Studies

Protocol 1: Field Assessment of Dilution Effect

- **Host Community Sampling**:
  - Establish standardized trapping grids (e.g., 100x100m with 50 stations at 20m intervals) across biodiversity gradients.
  - Conduct mark-recapture studies to estimate host population densities and community composition.
- **Pathogen Surveillance**:
  - Collect blood samples (50-100µl) from captured hosts for pathogen screening via PCR or ELISA.
  - Deploy vector (e.g., tick) drags along standardized transects to estimate vector density and infection prevalence.
- **Statistical Modeling**: Use structural equation modeling to test pathways linking biodiversity metrics to infection prevalence, controlling for habitat and climate covariates.

Protocol 2: Genetic Diversity and Disease Resistance Assay

- **Genetic Sampling**:
  - Collect tissue samples (2mm ear punch or equivalent non-lethal samples) from minimum 30 individuals per population.
  - Extract DNA and genotype using appropriate markers (microsatellites, SNPs) for population genetic analysis.
- **Challenge Experiments**:
  - Conduct controlled pathogen exposure trials with standardized inoculum across genetic diversity treatments.
  - Monitor disease progression through clinical scoring, pathogen load quantification, and mortality records.
- **Genome-Phenotype Association**: Identify genetic variants associated with resistance/susceptibility through association mapping.

Research Methodologies and Technical Approaches

Biodiversity Monitoring and Essential Variables

Effective assessment of regulating services requires standardized monitoring approaches. The Essential Biodiversity Variables (EBVs) framework provides a structured approach for capturing biodiversity change at multiple organizational levels [2]. For regulating services, priority EBVs include:

- **Genetic Composition EBVs**: Genetic diversity, inbreeding coefficients, effective population size [11]
- **Species Population EBVs**: Species distributions, abundance, phenology, and traits relevant to ecosystem function [2]
- **Ecosystem Structure EBVs**: Ecosystem distribution, fragmentation, and functional connectivity [2]

Advanced monitoring technologies now enable unprecedented resolution in tracking these variables. Environmental DNA (eDNA) metabarcoding allows comprehensive biodiversity assessment from water, soil, or air samples, while remote sensing platforms (including satellites, drones, and acoustic monitors) provide spatial explicitness in ecosystem assessments [2]. These approaches are being standardized through initiatives like Biodiversa+, which has established transnational monitoring protocols for bats, insects, soil biodiversity, and wildlife diseases—all critical components of regulating services [2].

Forecasting and Modeling Approaches

Biodiversity forecasting has historically focused on species-level responses to environmental change, but emerging approaches integrate genetic diversity to better predict adaptive capacity [11]. Three complementary modeling frameworks show particular promise:

- **Macrogenetics**: Leverages growing genetic databases to establish spatial relationships between environmental drivers and genetic diversity, enabling predictions even for poorly-studied taxa [11].
- **Mutation-Area Relationship (MAR)**: Analogous to species-area relationships, MAR models predict genetic diversity loss from habitat reduction using power-law functions, providing tractable estimates of genetic erosion [11].
- **Individual-Based Models (IBMs)**: Simulate how demographic and evolutionary processes shape genetic diversity over time, offering mechanistic insights despite computational intensity [11].

These forecasting approaches remain limited by data gaps, particularly for marine, freshwater, and soil biodiversity, highlighting priority areas for methodological development and monitoring investment [2].

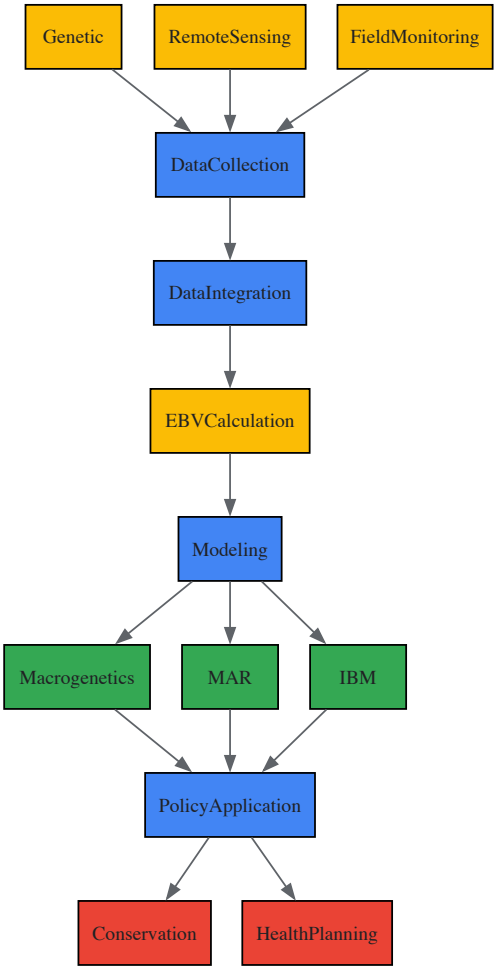

Diagram: Biodiversity Assessment Research Workflow

The Scientist's Toolkit: Essential Research Reagents and Platforms

Table 3: Essential Research Solutions for Biodiversity-Regulating Services Research

Tool Category	Specific Tool/Platform	Research Application	Key Features
Genetic Analysis	GBIF (Global Biodiversity Information Facility)	Species distribution modeling, gap analysis	1.6M+ species records, global coverage, multi-temporal data [14]
Marine Assessment	OBIS (Ocean Biodiversity Information System)	Marine biodiversity trends, climate impacts	Standardized marine data, IUCN Red List integration [14]
Risk Screening	IBAT (Integrated Biodiversity Assessment Tool)	Site-level risk assessment, conservation planning	IUCN Red List, protected areas, key biodiversity areas [14]
Portfolio Analysis	ENCORE (Exploring Natural Capital Opportunities, Risks and Exposure)	Financial risk assessment, dependency mapping	Sector-level analysis of nature dependencies/impacts [14]

Tool Category	Specific Tool/Platform	Research Application	Key Features
Ecosystem Assessment	Copernicus Land Monitoring Service	Habitat extent/change, vegetation monitoring	Satellite-based, pan-European coverage, multiple resolution tiers [14]

Biodiversity's role in providing critical regulating services represents a fundamental research frontier with profound implications for climate stability, health security, and ecological integrity. The mechanisms underpinning these services—from genetic diversity enhancing adaptive capacity to species interactions regulating disease transmission—operate across multiple spatial and organizational scales, necessitating integrated research approaches [13] [11] [9].

Future research priorities must address critical knowledge gaps, including: (1) developing integrated metrics that capture biodiversity-health linkages [9], (2) incorporating genetic diversity into forecasting models to better predict ecosystem responses [11], (3) strengthening science-policy interfaces to translate evidence into coordinated climate-biodiversity action [12], and (4) advancing spatially explicit monitoring to inform targeted conservation interventions [2]. For research and pharmaceutical professionals, engagement with these emerging frameworks offers not only insights into ecological determinants of health but also novel approaches for drug discovery and health security planning in an era of rapid global change.

Earth's biodiversity represents a vast and largely untapped library of biochemical solutions, a critical **provisioning service** with immense value for drug discovery and sustainable biotechnology. Bioprospecting—the systematic search for novel bioactive compounds from biological resources—serves as the essential pipeline transforming this biodiversity into tangible societal benefits [15] [16]. In the context of ecosystem services, which are the benefits humans derive from ecosystems, the provisioning service of **"biochemical and genetic resources"** is directly operationalized through the bioprospecting pipeline [17]. This process leverages the evolutionary innovation encoded in diverse organisms, from terrestrial plants to marine microbes, to address pressing challenges in medicine, agriculture, and industry.

The contemporary bioprospecting landscape has fundamentally transformed from traditional collection methods to an interdisciplinary science integrating **omics technologies, bioinformatics, and artificial intelligence** [15] [18]. This guide examines the current state of bioprospecting within the ecosystem services framework, providing researchers with advanced methodologies, experimental protocols, and strategic insights for effectively navigating the pipeline from biological resource to validated compound.

The Modern Bioprospecting Pipeline: An Integrated Workflow

The following diagram illustrates the integrated, multi-stage workflow that defines modern bioprospecting, highlighting the convergence of biological discovery with digital technologies.

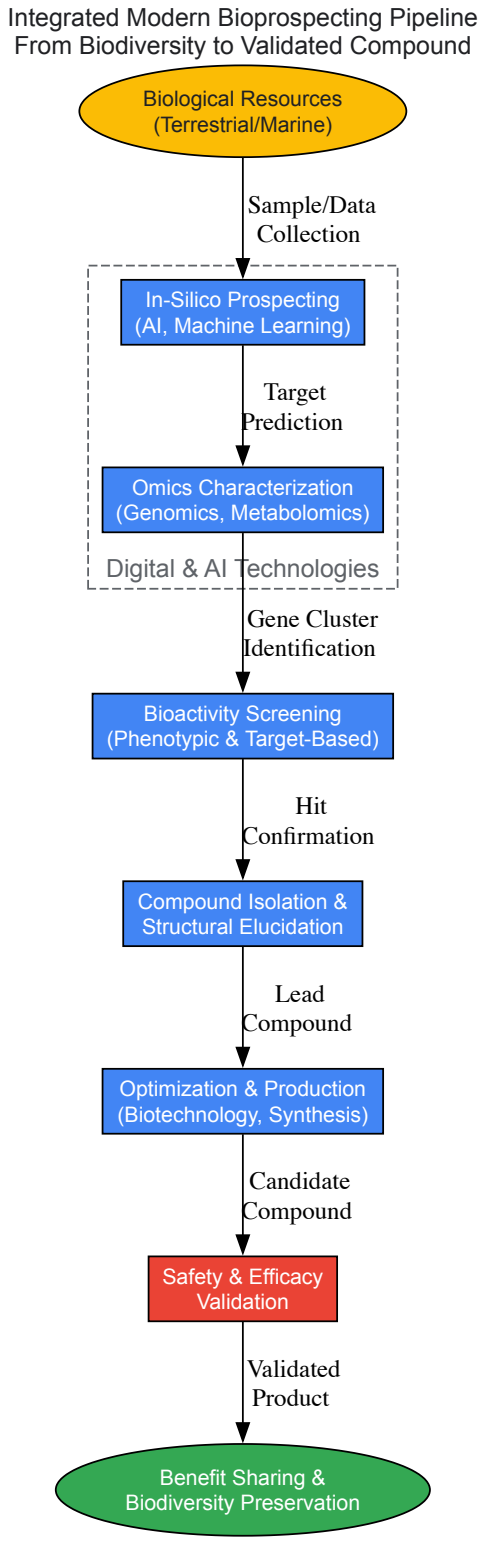

This integrated pipeline demonstrates how modern bioprospecting leverages digital technologies while maintaining essential experimental validation stages. The process requires specialized research tools and methodologies at each phase, with particular emphasis on the critical transition from discovery to validation.

Experimental Protocols & Methodologies

Terrestrial and Marine Bioprospecting Workflows

Terrestrial Bioprospecting Protocol

Terrestrial bioprospecting focuses on micro- and macro-organisms from land-based ecosystems, including plants, fungi, and microorganisms [15]. The following protocol outlines key methodological considerations:

- **Sample Collection & Sourcing**: Target organisms can be sourced from their natural environment (*in-situ*) or from public/private collections and gene-banks (*ex-situ*) [15]. For commercial development, compliance with the Nagoya Protocol on access and benefit-sharing is mandatory.
- **Multi-Omics Integration**: Employ genomic, transcriptomic, and metabolomic approaches to identify biosynthetic gene clusters and metabolic pathways. Digital-driven tools, including bioinformatics and AI, are integrated to optimize identification [15].
- **Bioactivity Screening**: Create natural product libraries for high-throughput screening against therapeutic targets. Modern approaches combine *in silico* prospecting with empirical validation [15] [18].
- **Production Optimization**: Utilize biotechnology and biomanufacturing approaches (including gene editing and synthetic biology) in suitable industrial facilities such as bioreactors/biorefineries for scaled production [15].

Marine Bioprospecting Protocol

Marine bioprospecting presents unique opportunities and challenges due to the distinctive biochemical environments of marine organisms [16]:

- **Extreme Environment Sampling**: Focus on unique marine habitats, including deep-sea vents, polar regions, and hypersaline environments, which host extremophilic bacteria with unique adaptations [16].
- **Bacterial Metabolite Isolation**: Marine bacteria have gained significant attention due to their remarkable metabolic adaptability and chemical diversity. Extraction protocols should target secondary metabolites including antibiotics, enzymes, biosurfactants, and exopolysaccharides [16].
- **Toxicity Validation**: Incorporate specific toxicity assays using model organisms early in the discovery pipeline. This is essential for both environmental and clinical applications to ensure safety [16].

Target Engagement Validation Protocol

Confirming direct interaction between compound and biological target is crucial for establishing mechanism of action. The Cellular Thermal Shift Assay (CETSA) has emerged as a leading approach for validating direct binding in intact cells and tissues [18].

CETSA Protocol:

- **Cell Treatment**: Expose intact cells or tissue samples to the compound of interest across a range of concentrations.
- **Heat Denaturation**: Subject samples to elevated temperatures (e.g., 52-60°C) to denature proteins.
- **Protein Separation**: Separate soluble (native) proteins from insoluble (denatured) aggregates.
- **Target Detection**: Quantify target protein levels in soluble fractions using Western blot or mass spectrometry.
- **Data Analysis**: Compound-induced thermal stabilization is evidenced by increased target protein in soluble fractions at higher temperatures.

Application Note: Recent work by Mazur et al. (2024) applied CETSA in combination with high-resolution mass spectrometry to quantify drug-target engagement of DPP9 in rat tissue, confirming dose- and temperature-dependent stabilization *ex vivo* and *in vivo* [18].

Current Landscape & Quantitative Data

Market Impact of Biodiversity-Derived Therapeutics

Table 1: Market Impact of New Therapeutic Modalities (2025)

Therapeutic Modality	Projected Pipeline Value	Growth Drivers	Biodiversity Connection
Antibodies (mAbs, ADCs, BsAbs)	$197 billion total (60% of pharma pipeline)	Expansion beyond oncology to neurology, rare diseases	High-throughput screening of natural compound libraries
PROTEOLYSIS Targeting Chimeras (PROTACs)	80+ drugs in development	Targeting previously "undruggable" proteins	Inspired by natural protein degradation mechanisms
Cell & Gene Therapies	Mixed growth (CAR-T strong, others stalled)	Allogeneic approaches, solid tumor applications	Viral vectors from marine bacteria [16]
Nucleic Acid Therapies	65% YoY growth (DNA/RNA)	New antisense oligonucleotide approvals	Natural nucleotide analogs from microbial sources
GLP-1 Agonists	18% revenue growth	Metabolic disease applications	Originally derived from natural peptide hormones

Source: Adapted from BCG New Drug Modalities 2025 Report [19] and CAS Drug Discovery Trends [20]

Bioprospecting Source Organisms and Applications

Table 2: Promising Bioprospecting Sources and Their Applications

Biological Source	Bioactive Compounds	Applications	Research Considerations
Marine Bacteria	Antibiotics, enzymes, biosurfactants, exopolysaccharides	Pharmaceuticals, nutraceuticals, environmental remediation	Toxicity validation in model organisms required [16]
Trichoderma Fungi	Secondary metabolites, antimicrobial peptides	Agriculture biocontrol, biofertilizers	13 species currently used in commercial products [21]
Tick Salivary Glands	Anti-itch lipids, immunomodulators	Dermatology, inflammatory diseases	Complex fractionation required; behavioral assays challenging [22]
Extremophilic Microbes	Psychrophilic/thermophilic enzymes	Industrial processes, bioremediation	Difficult sampling from extreme environments [16]

The Scientist's Toolkit: Essential Research Reagents

Table 3: Key Research Reagents for Bioprospecting Workflows

Reagent/Category	Function	Application Examples
CETSA Kits	Validate target engagement in physiologically relevant environments	Confirming compound binding to therapeutic targets in intact cells [18]
HPLC/MS Systems	Separate and characterize complex natural product mixtures	Fractionating organic tick extracts to identify anti-itch lipids [22]
Biosynthetic Gene Cluster Prediction Tools	Identify secondary metabolite pathways in genomic data	Screening Trichoderma genomes for novel antimicrobial peptides [21]
Model Organisms for Toxicity Testing	Assess compound safety before clinical development	Using established model organisms to evaluate marine bacterial compounds [16]
AI-Powered Screening Platforms	Virtual screening of compound libraries against targets	Molecular docking, QSAR modeling, ADMET prediction [18]
Specialized Culture Media	Support growth of fastidious microorganisms	Isolating marine bacteria with specific nutritional requirements [16]

Implementation Challenges & Strategic Considerations

Navigating the Bioprospecting Pipeline

Successful bioprospecting requires careful navigation of technical and strategic challenges. The following diagram outlines critical decision points and validation requirements in the experimental workflow.

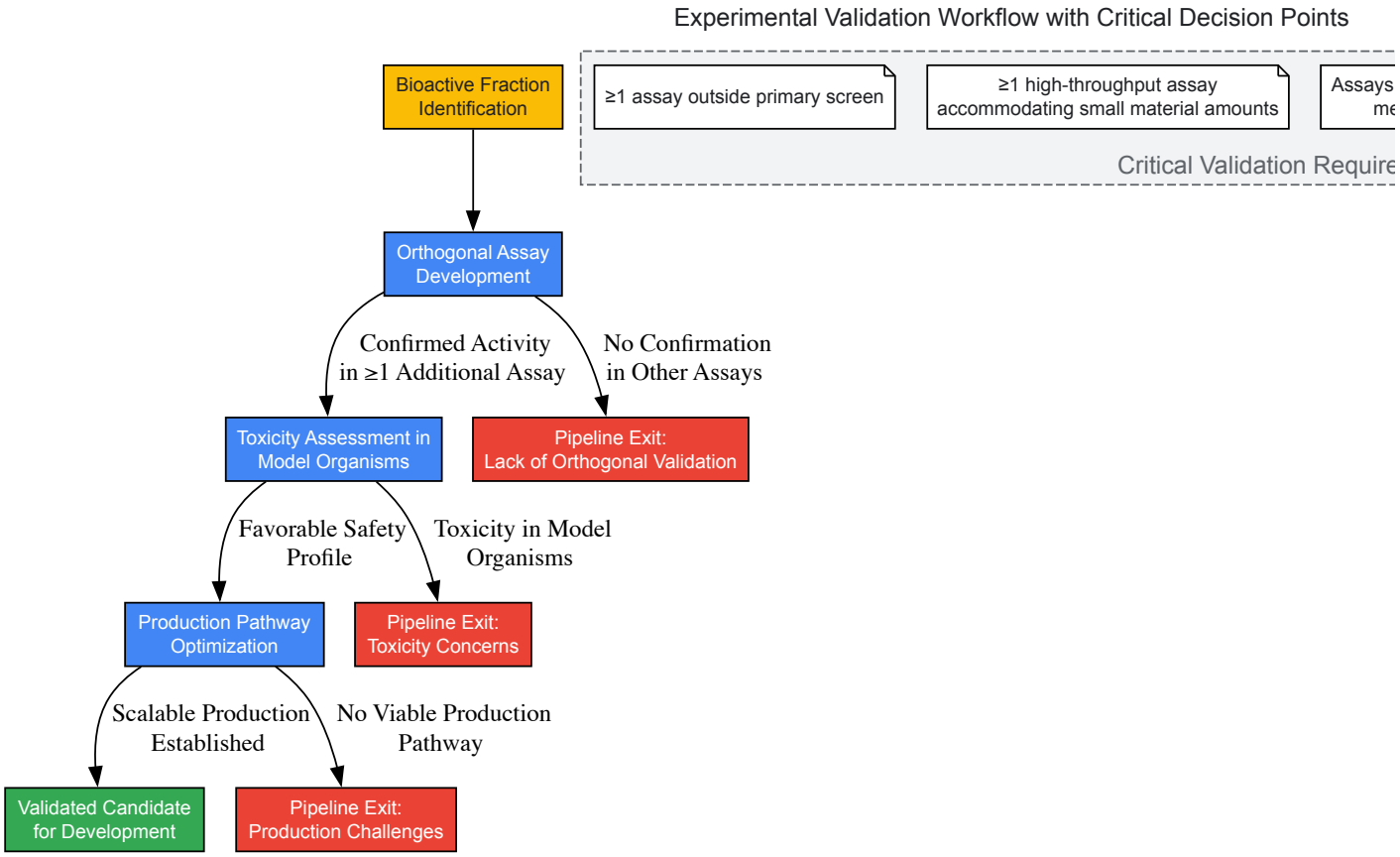

Strategic Considerations for Research Teams

Based on analysis of successful and challenged bioprospecting efforts, the following strategic considerations emerge:

- **Frontload Technical Risks**: Identify and address the most critical technical challenges early. The Trove tick bioprospecting project encountered fundamental obstacles because they underestimated the difficulty of connecting behavioral phenotypes with molecular mechanisms [22].
- **Establish Orthogonal Assays Early**: Develop multiple assay systems with varying throughput and cost profiles before committing to a discovery pipeline. A single, complex behavioral assay (e.g., mouse scratching) creates bottlenecks in fractionation-based discovery [22].
- **Define Modality Constraints Upfront**: Decide early whether targeting biologics, small molecules, or both, as each requires different expertise and infrastructure. Attempting to maintain flexibility across modalities without adequate resources spreads expertise too thin [22].
- **Validate Foundational Science**: Reproduce key academic findings before building entire pipelines upon them. Many bioprospecting efforts encounter "critical blind spots" from relying on non-reproducible academic research [22].
- **Integrate Sustainability and Ethics**: Incorporate biodiversity preservation strategies, such as *in vitro* cultivation and biotechnological production, to reduce pressure on wild resources [15]. Ensure compliance with applicable EU regulations and international rules on access to biological resources, including the Nagoya Protocol [15].

Bioprospecting represents the operationalization of biodiversity's provisioning services, transforming biological resources into solutions for human health and sustainable technology. The modern bioprospecting pipeline has evolved into an interdisciplinary endeavor integrating digital technologies, multi-omics approaches, and sophisticated validation methodologies.

Future success in bioprospecting will depend on research teams' ability to navigate the complex intersection of biological discovery, technical innovation, and ethical implementation. By adopting integrated workflows, establishing robust validation frameworks early, and maintaining commitment to biodiversity conservation and equitable benefit-sharing, researchers can more effectively translate Earth's biochemical diversity into transformative solutions. The organizations leading this field will be those that can combine biological insight with technological sophistication while honoring their ethical responsibilities to global biodiversity stewardship.

This whitepaper synthesizes contemporary ecological research to elucidate the interdependent relationships between structural complexity, food web architecture, and habitat connectivity. Evidence from diverse ecosystems—including forests, mangroves, and sandy beaches—consistently demonstrates that physical habitat complexity is a primary driver of trophic interactions and biodiversity. Furthermore, cross-ecosystem subsidies, where resources from one habitat fuel food webs in another, emerge as a critical mechanism for maintaining ecosystem multifunctionality. Framed

within the context of biodiversity and ecosystem services research, this synthesis underscores that conserving and managing these structural and functional connections is paramount for ecosystem resilience and the continued provision of vital services in the face of global environmental change.

The structure and functioning of ecosystems worldwide are under increasing threat from local human development and global climate change [23]. Understanding the drivers of ecosystem stability, functioning, and the services they provide has therefore become a critical research area. Central to this understanding are the concepts of **structural complexity** (the physical, three-dimensional arrangement of biotic and abiotic components), **trophic webs** (the network of feeding relationships), and **habitat connectivity** (the degree to which landscapes and seascapes facilitate or impede the flow of resources and organisms) [24] [23] [25]. A growing body of evidence indicates that these elements are not independent; rather, they are deeply intertwined. This paper synthesizes recent studies to examine how structural complexity acts as a foundational pillar supporting trophic webs, and how habitat connectivity enables the resource subsidies that underpin these relationships, with direct implications for biodiversity conservation and ecosystem management.

Methodological Approaches in Contemporary Research

Research in this field employs a combination of advanced remote sensing, field surveys, and statistical modeling to quantify the relationships between structure, function, and connectivity.

Quantifying Structural Complexity

A primary method for assessing habitat structural complexity, particularly in forest ecosystems, involves using Light Detection and Ranging (LiDAR) data. This approach allows researchers to calculate a **Combined Terrain and Canopy Structural Complexity** metric [25].

- **Vertical Complexity**: Metrics include maximum canopy height and the rugosity (variation) in canopy surface.
- **Horizontal Complexity**: This refers to the spatial variation in canopy surface density and layout, as well as terrain complexity (variation in elevation) [25]. This combined metric provides a powerful, scalable proxy for multi-trophic diversity that is less labor-intensive than traditional field surveys alone.

Assessing Food Web Structure and Ecosystem Functioning

Field studies often employ a space-for-time approach, sampling across environmental gradients to infer potential temporal changes [23]. Key methodologies include:

- **Basal Resource Measurement**: For subsidized ecosystems like sandy beaches, the abundance of allochthonous resources (e.g., marine macrophyte wrack) is quantified using transect surveys to measure percent cover and composition [23].
- **Community Sampling**: Macroinvertebrate communities are sampled along the same transects to determine species richness, abundance, and biomass [23].
- **Ecosystem Multifunctionality**: An integrative measure of ecosystem functioning is derived from multiple standardized functions. In coastal studies, these have included:
  - Nutrient concentrations in pore water (e.g., Dissolved Inorganic Nitrogen)
  - CO_2 flux from intertidal sediments
  - Secondary production of key detritivores (e.g., talitrid amphipods)
  - Abundance of flying insects
  - Daily energy requirements of top predators (e.g., shorebirds) [23]
- **Statistical Analysis**: Techniques like **Piecewise Structural Equation Modeling (SEM)** are used to disentangle the direct and indirect effects of resource subsidies on biodiversity and multifunctionality [23].

Analyzing Trophic Linkages

To unravel the complexity of food webs, studies compile extensive datasets of observed predator-prey links. Predators are classified into **Predator Functional Groups (PFGs)** based on shared life-history and physiological traits. Within each PFG, **prey specialization** is quantified as the degree of deviation from the allometric rule (that larger predators eat larger prey). This allows for the identification of distinct **predator guilds** with common prey selection strategies, revealing underlying assembly rules [26].

Key Findings and Data Synthesis

Recent research provides robust, quantitative evidence linking habitat complexity and connectivity to food web structure and ecosystem function.

Structural Complexity as a Driver of Multi-Trophic Diversity

Evidence from forest ecosystems demonstrates a strong positive relationship between structural complexity and biodiversity across multiple trophic levels.

Table 1: Relationship between Structural Complexity and Multi-Trophic Diversity in Forest Ecosystems [25]

Factor Category	Factors Included	Percentage of Variability in Multi-Trophic Diversity Explained
Environmental & Geographic	Climate, geography, topography	~40%
Environmental, Geographic & Structural Complexity	Above factors combined with LiDAR-derived terrain and canopy complexity	~60%

This research found that multi-trophic diversity increases with increasing structural complexity, although the strength of this relationship can vary across different forest types [25]. The study integrated diversity data from plants, beetles, and birds to calculate a multi-trophic diversity index.

Resource Subsidies Underpin Food Web Structure and Function

In ecosystems with little in-situ primary production, such as sandy beaches, allochthonous resource inputs are a critical driver of community structure and function.

Table 2: Influence of Marine Wrack Subsidies on Beach Ecosystem Structure and Function [23]

Ecosystem Attribute	Response to Increased Wrack Abundance	Statistical Relationship (r^2 value and significance)
Community Structure		
Macroinvertebrate Species Richness	Strong positive increase	$r^2 = 0.58$, $p < 0.0001$
Macroinvertebrate Abundance	Positive increase	$r^2 = 0.19$, $p = 0.02$
Individual Ecosystem Functions		
Shorebird (Plover) Energy Requirements	Strong positive increase	$r^2 = 0.42$, $p = 0.0004$
CO_2 Flux from Sediments	Positive increase	$r^2 = 0.29$, $p = 0.004$
Flying Insect Abundance	Positive increase	$r^2 = 0.23$, $p = 0.01$
Talitrid Amphipod Secondary Production	Positive increase	$r^2 = 0.14$, $p = 0.04$
Pore Water Nutrients (DIN)	No significant relationship	$r^2 = -0.01$, $p = 0.42$

Using Structural Equation Modeling, the study demonstrated that wrack abundance had a strong direct positive effect on the diversity and biomass of detritivorous and predatory macroinvertebrates, as well as on ecosystem multifunctionality. The role of biodiversity in driving multifunctionality was itself strongly underpinned by these resource inputs [23].

Assembly Rules and Prey Specialization in Aquatic Food Webs

Contrary to the classic allometric rule, analysis of 517 pelagic species revealed that approximately 50% are specialized predators whose prey size selection deviates from predictions based on body size alone [26]. These species cluster into distinct guilds within Predator Functional Groups (PFGs):

- **Generalist Guild ($s \approx 0$)**: Follows the allometric rule (larger predators eat larger prey).
- **Small-Prey Specialist Guild ($s < 0$)**: Prefers prey smaller than predicted by the allometric rule.
- **Large-Prey Specialist Guild ($s > 0$)**: Prefers prey larger than predicted by the allometric rule. The distribution of these guilds forms a characteristic "z-pattern" in the predator-prey size space, a structural principle that explains about one-half of the observed linkages in aquatic food webs and was found to describe over 90% of linkages in 218 aquatic ecosystems globally [26].

Visualizing Ecological Relationships and Workflows

Experimental Workflow for Assessing Multifunctionality in Subsidized Ecosystems

The following diagram outlines the integrated methodological approach for evaluating the role of resource subsidies in driving ecosystem structure and function, as employed in coastal studies [23].

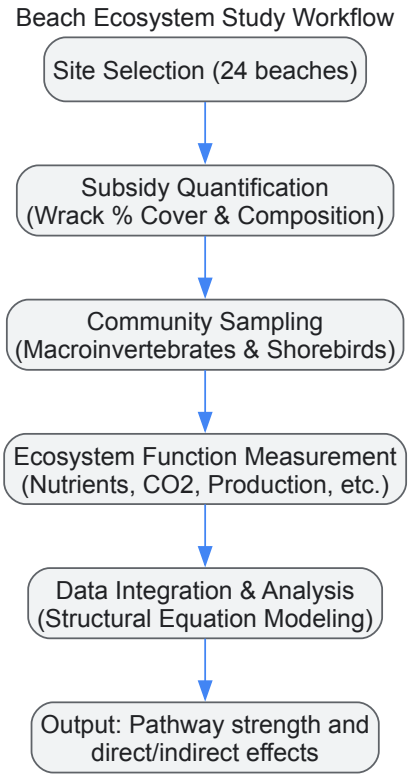

The 'Z-Pattern' of Prey Specialization in Aquatic Food Webs

This diagram illustrates the three predominant predator guilds and their characteristic prey selection strategies, which together form a "z-pattern" in the predator-prey size space [26].

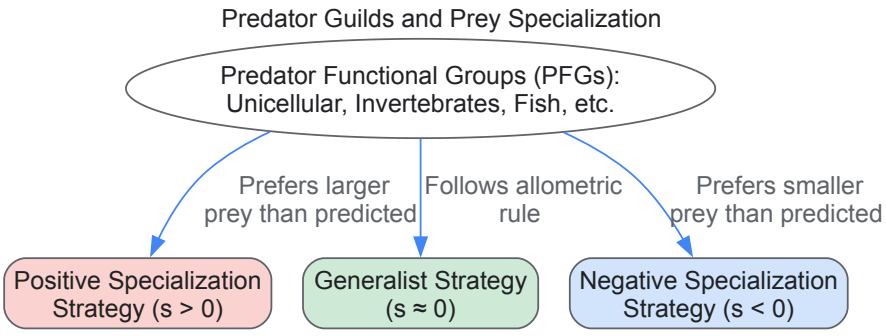

The Scientist's Toolkit: Essential Reagents and Research Solutions

The following table details key methodologies and tools, referred to as "research reagents," that are essential for conducting research in this field.

Table 3: Key Research Reagent Solutions for Ecological Connectivity Studies

Research Reagent / Tool	Function & Application in Research	Example Context / Specification
Airborne LiDAR	Measures terrain and vegetation structure using laser pulses to create high-resolution 3D models of habitat complexity.	Used to calculate a Combined Terrain and Canopy Structural Complexity index for predicting multi-trophic diversity [25].
Structural Equation Modeling (SEM)	A statistical framework for evaluating complex networks of causal relationships, including direct and indirect effects.	Used to test hypotheses that wrack subsidies directly and indirectly affect biodiversity and ecosystem multifunctionality [23].
Predator Functional Group (PFG) Classification	A grouping system that aggregates consumers based on similarity in lifestyle, physiology, and life-history traits.	Used to analyze aquatic food webs; groups include unicellular organisms, invertebrates, jellyfish, fish, and mammals [26].

Research Reagent / Tool	Function & Application in Research	Example Context / Specification
Multi-Trophic Diversity Index	A combined metric that integrates diversity across multiple trophic levels (e.g., plants, beetles, birds) into a single measure.	Provides a holistic view of biodiversity, calculated from open observational data (e.g., NEON data) [25].
Space-for-Time Substitution	An experimental approach that uses spatial gradients in environmental factors to infer potential temporal changes.	Applied by studying beaches with a natural range in wrack inputs to understand effects of climate-driven subsidy changes [23].

The synthesized evidence unequivocally demonstrates that the physical architecture of habitats, the flow of resources across ecosystem boundaries, and the resulting trophic networks are inextricably linked. Structural complexity, measured via advanced techniques like LiDAR, provides the physical template for biodiversity. Cross-ecosystem subsidies, such as marine wrack, are not merely incidental but are fundamental drivers of food web biomass, diversity, and multifunctionality. Furthermore, the discovery of universal prey specialization guilds challenges simplistic models of trophic interactions and reveals underlying assembly rules that generate ecological complexity. For researchers and policymakers focused on conserving biodiversity and critical ecosystem services, this body of work highlights an imperative: conservation strategies must move beyond protecting single species or isolated habitats. Effective management requires a holistic, landscape-or seascape-scale approach that explicitly conserves the structural complexity of habitats, the connectivity that enables resource flows, and the integrity of the trophic webs they support.

The conservation of biodiversity and the maintenance of ecosystem services represent critical fronts in the effort to achieve global sustainability targets, including the UN Sustainable Development Goals and the Kunming-Montreal Global Biodiversity Framework [11]. Within this broader context, two domains stand out as particularly understudied yet fundamentally important: soil biodiversity and cultural ecosystem services (CES). These areas suffer from significant research disparities that hinder our ability to formulate comprehensive conservation strategies and understand the full spectrum of biodiversity's value to humanity. Soil biodiversity, particularly the complex microbiome, forms the biological foundation for virtually all terrestrial ecosystem functions, from nutrient cycling to carbon sequestration [27]. Simultaneously, CES represent the non-material benefits that humans derive from ecosystems, including recreational, aesthetic, and spiritual enrichment [28]. Despite their importance, both domains remain inadequately integrated into mainstream biodiversity assessment frameworks and policy decisions, creating critical blind spots in our scientific understanding and conservation practice. This whitepaper examines the specific nature of these research gaps, proposes methodological frameworks for addressing them, and identifies priority areas for future investigation to advance a more holistic understanding of biodiversity and ecosystem services.

Quantitative Assessment of Research Gaps

Documented Disparities in Research Attention

Systematic analysis of publication databases reveals substantial imbalances in scientific attention toward both soil biodiversity and cultural ecosystem services. These disparities manifest in both the volume of research and its geographical distribution, creating significant knowledge gaps that correlate with regions of high environmental vulnerability.

Table 1: Research Gap Quantification in Soil and Cultural Ecosystem Services

Research Domain	Metric of Neglect	Key Findings	Geographical Disparities
Soil Health & Biodiversity	Analysis of 31,999 soil health publications [29]	52% published in last 5 years; 74% in last 10 years	China (26%), USA (12%), India, Brazil, Spain produce 60% of publications; Blind spots in Africa, Central/South America (ex-Brazil), Southeast Asia
Soil-Related Cultural ES	Analysis of 2,104 soil-ES publications in Germany [30]	Only 28 publications (1.3%) addressed cultural ES	Limited research leadership in vulnerable regions with high biodiversity
Genetic Diversity in Forecasting	Analysis of biodiversity forecasting models [11]	Genetic diversity largely omitted from species distribution and climate change models	Global scale; impacts all regions due to methodological gap

The geographical dimension of these research gaps is particularly concerning. Blind spots in soil health research disproportionately affect regions facing severe environmental threats, including Central and South America (excluding Brazil), Africa, Southeast Asia, and the Middle East [29]. These regions harbor rich biodiversity but simultaneously experience the highest rates of deforestation, severe erosion, and significant climate change threats. The concentration of scientific leadership and resources in Western Europe, China, and the United States creates a dependency model that often fails to generate locally appropriate solutions for soil management in underrepresented regions.

Methodological Challenges in Gap Analysis

Identifying these research gaps requires systematic methodologies. The Search, Appraisal, Synthesis, and Analysis (SALSA) framework has emerged as a reliable approach for conducting systematic literature reviews in ecosystem services research [10]. This methodology involves:

- **Protocol Development**: Defining clear research questions and scope to ensure transparency and replicability.
- **Comprehensive Search**: Querying multiple academic databases (e.g., Web of Science, CNKI) with carefully constructed keyword combinations.
- **Strict Appraisal**: Applying inclusion/exclusion criteria to filter relevant publications.
- **Content Synthesis**: Analyzing patterns, themes, and methodological approaches across the literature.

Application of this framework to regulating ecosystem services research revealed a predominant focus on assessment methods while highlighting the scarcity of studies on ecological mechanisms, trade-offs, and synergies, particularly in specialized ecosystems like karst World Heritage sites [10]. Similar methodological rigor applied to soil-related cultural ecosystem services in Germany demonstrated the extreme scarcity of studies linking soil biodiversity to cultural benefits [30].

The Soil Microbiome Blind Spot

Functional Significance and Research Neglect

Soil biodiversity represents the most abundant and diverse assemblage of organisms on Earth, supporting virtually every known terrestrial ecosystem function [27]. Despite this fundamental importance, soil organisms remain dramatically understudied relative to their above-ground counterparts. This neglect persists even though soil organisms are indispensable for regulating soil fertility, carbon sequestration, nutrient cycling, pathogen control, and primary productivity – functions that directly underpin essential ecosystem services including food security, climate change mitigation, and human health [27]. The functional significance of soil biodiversity extends to its role as a major reservoir of genetic diversity, including antibiotic resistance genes and human, animal, and plant pathogens, making it critical to the One Health framework that integrates human, animal, and environmental health [27].

The complexity of below-ground systems presents unique methodological challenges. Soil biodiversity encompasses an immense range of organisms, from microbes (viruses, archaea, bacteria, fungi, protists) to micro- and macrofauna (nematodes, collembola, earthworms, ants, termites) [27]. A single gram of soil may contain thousands of microbial species and millions of individual organisms, creating identification and characterization challenges that have historically limited research progress [27]. This complexity is compounded by the intricate biotic and abiotic interactions between soil organisms and their environment, creating a system of extraordinary dynamic complexity that resists simplified modeling approaches.

Critical Knowledge Gaps

Table 2: Key Knowledge Gaps in Soil Microbiome Research

Knowledge Gap	Functional Consequence	Research Priority
Causal mechanisms	Inability to predict soil community responses to global change	Develop mechanistic models linking soil biodiversity to ecosystem functions
Functional redundancy	Uncertainty about biodiversity-ecosystem functioning relationships	Quantify resistance and resilience of soil processes to biodiversity loss
Engineer organisms	Limited understanding of biogeochemical impacts	Determine roles of ants, termites, earthworms, biocrusts in ecosystem processes
Viral ecology	Unknown regulation of microbial communities	Characterize soil viral diversity and functional roles
Standardized monitoring	Inconsistent data for policy and assessment	Implement Essential Biodiversity Variables for soil organisms

The functional consequences of these knowledge gaps are substantial. Without understanding the specific roles of different soil taxa, their functional redundancy, and their responses to environmental change, we cannot predict how soil ecosystems will respond to global change drivers or develop effective strategies for soil conservation and restoration. This is particularly critical given that approximately one-third of the world's soils are already degraded, and in the European Union, less than 40% of soils are considered healthy [27]. The failure to adequately incorporate soil biodiversity into international environmental agreements further exacerbates these challenges, with soil historically receiving limited policy attention despite being addressed as a cross-cutting theme in all three Rio Conventions [30].

The Neglect of Cultural Ecosystem Services

Conceptual and Methodological Challenges

Cultural ecosystem services (CES) represent the non-material benefits that people obtain from ecosystems through spiritual enrichment, cognitive development, reflection, recreation, and aesthetic experiences [28]. Despite their significance for human well-being, cultural services remain the most undervalued and least studied category of ecosystem services in environmental assessments and policy frameworks. This neglect stems from several inherent challenges: their intangible nature, high context dependency, subjective valuation methods, and the difficulty in establishing direct causal links to biophysical structures [30] [28].

The conceptual complexity of CES is reflected in the typology developed for soil-related cultural services, which identified five main categories: (1) place of sense, (2) spiritual value, (3) recreation, (4) forecasts and measures, and (5) soil as an archive – with the latter further subdivided into storage, archaeological site, and reconstruction of the past [30]. This categorization illustrates the diverse ways in which ecosystems, including seemingly mundane components like soil, contribute to human cultural and psychological well-being. However, establishing quantitative relationships between ecological structures and these cultural benefits remains methodologically challenging.

Valuation Methodologies and Limitations

The valuation of cultural ecosystem services requires innovative methodological approaches that can capture non-material benefits. Two prominent methods demonstrate the ongoing effort to quantify these services:

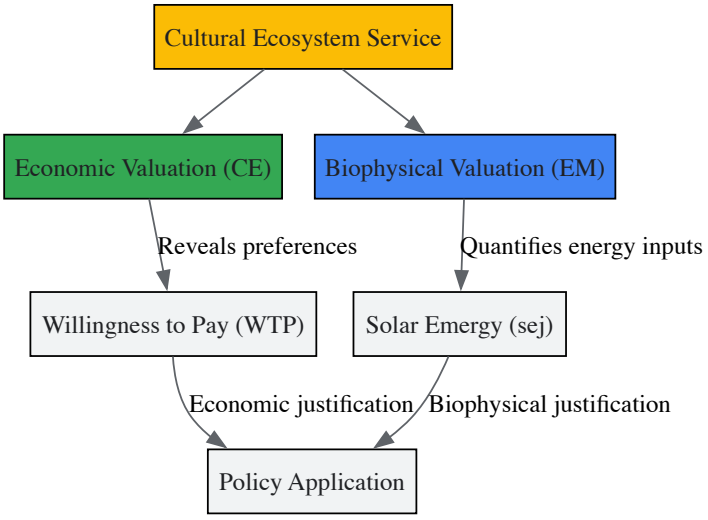

Diagram: Dual-Path Approach to Cultural Ecosystem Service Valuation

Choice Experiments (CE): This economic method employs carefully designed surveys to elicit individual preferences and willingness-to-pay for specific ecosystem attributes. In coastal beach valuation, this approach has generated estimates ranging from 6 million KRW (USD 5,400) to 93 billion KRW (USD 84 million) depending on site characteristics and usage patterns [28]. The strength of this method lies in its ability to capture human preferences and quantify economic value in monetary terms that are readily understandable to policymakers. However, it tends to undervalue ecosystems with low visitation rates and may reflect cultural biases rather than ecological significance.

Emergy Method (EM): This biophysical approach quantifies the total energy, both direct and indirect, required to produce and maintain ecosystem services, using solar emjoules (sej) as a common unit [28]. When applied to Korean coastal beaches, this method yielded valuations between 40 million KRW (USD 36,000) and 112 billion KRW (USD 101 million), generally producing higher estimates than choice experiments, particularly for rural beaches where ecological inputs dominate over human preferences [28]. The emergy method provides a donor-side perspective that captures ecological contributions often overlooked by market-based approaches but may not fully reflect human values and preferences.

The integration of these complementary approaches offers a more comprehensive valuation framework, yet such integrated assessments remain exceptionally rare in the scientific literature [28]. This methodological fragmentation contributes to the persistent neglect of cultural services in environmental decision-making.

Integrated Methodological Framework for Future Research

Standardized Protocols for Soil-CES Linkages

Addressing the research gaps at the intersection of soil biodiversity and cultural ecosystem services requires developing standardized protocols that can capture the complex relationships between below-ground ecological processes and human cultural experiences. The following integrated methodological framework provides a structured approach for investigating these connections:

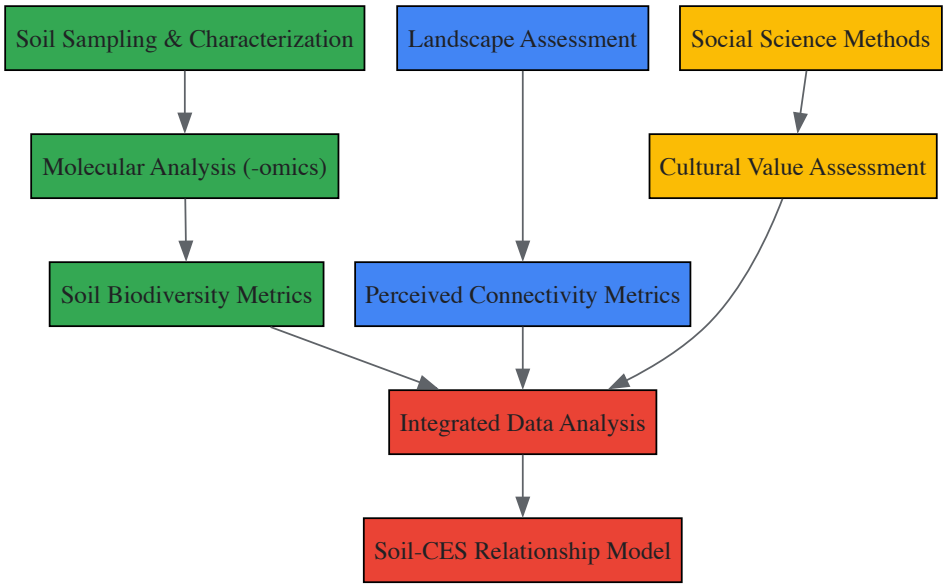

Diagram: Integrated Assessment of Soil-Cultural Service Relationships

Soil Biodiversity Assessment Protocol:

- **Standardized Soil Sampling**: Collect soil cores (0-10cm depth) from predetermined locations based on stratified random sampling design. Preserve samples at -80°C for molecular analysis and process fresh samples for physicochemical properties (pH, texture, organic carbon, nutrient availability) [27].
- **Molecular Characterization**: Extract total DNA/RNA from standardized soil quantities (typically 0.25-0.5g). Perform metagenomic sequencing using Illumina platforms targeting 16S rRNA for bacteria/archaea, ITS for fungi, and 18S for protists. Include appropriate controls and replicates to account for technical variation [27].
- **Bioinformatic Processing**: Process raw sequences through standardized pipelines (QIIME2, mothur) for quality filtering, clustering into operational taxonomic units (OTUs) or amplicon sequence variants (ASVs), and taxonomic assignment using reference databases (SILVA, UNITE, Greengenes). Generate diversity metrics (alpha: richness, Shannon; beta: Bray-Curtis, weighted UniFrac) [27].
- **Functional Assessment**: Predict functional profiles from 16S data using PICRUSt2 or conduct metatranscriptomic sequencing to assess actively expressed functions. Quantify key process rates (e.g., decomposition, nutrient mineralization) through standardized enzyme assays and substrate-induced respiration [27].

Cultural Ecosystem Service Assessment Protocol:

- **Participatory Mapping**: Conduct workshops with local stakeholders to identify and map locations of cultural significance using participatory GIS methodologies. Document specific cultural values associated with different landscape features [30].
- **Structured Surveys**: Administer choice experiments and structured interviews to quantify perceived cultural values. Include demographic and socio-economic variables to assess how cultural values vary across different population segments [28].
- **Perceived Landscape Connectivity (PLC) Assessment**: Quantify PLC using landscape metrics calculated with the R package "landscapemetrics," including patch aggregation, spatial connectivity, and boundary density. Correlate these metrics with CES satisfaction/dissatisfaction measures [31].
- **Emergy Evaluation**: Quantify biophysical contributions to CES using the emergy method, accounting for natural inputs (solar energy, tidal flows) and human management activities that sustain culturally valued landscapes [28].

Essential Research Reagents and Technologies

Table 3: Essential Research Reagents and Technologies for Soil-CES Research

Category	Specific Tools/Reagents	Research Application	Technical Considerations
Molecular Analysis	DNA/RNA extraction kits (MoBio PowerSoil), PCR reagents, Illumina sequencing platforms, Reference databases (SILVA, UNITE)	Characterization of soil microbial communities	Standardization across samples; contamination controls; appropriate primer selection
Bioinformatics	QIIME2, mothur, PICRUSt2, R packages (vegan, landscapemetrics)	Processing sequencing data; calculating diversity metrics; landscape pattern analysis	Computational resources; reproducible workflow documentation

Category	Specific Tools/Reagents	Research Application	Technical Considerations
Soil Biogeochemistry	Microplates for enzyme assays, GC for gas analysis, Elemental analyzer for C/N, Substrates for process measurements	Quantification of ecosystem functions and process rates	Appropriate assay conditions; standard curves; sample preservation
Social Science	Survey instruments, PGIS software, Choice experiment designs, Statistical packages (R, SPSS)	Eliciting cultural values; mapping perceptions; quantifying preferences	Sampling strategy; response bias mitigation; culturally appropriate methods
Landscape Assessment	Remote sensing imagery, GIS software, Fragstats, R "landscapemetrics" package	Quantifying landscape patterns; calculating connectivity metrics	Spatial and temporal resolution; classification accuracy

The implementation of this integrated methodological framework requires careful consideration of scale dependencies in both ecological and social systems. Soil biodiversity patterns exhibit strong scale dependence, with different drivers operating at microscopic, plot, landscape, and regional scales. Similarly, cultural values for ecosystems vary across individual, community, and cultural scales. Multi-scale research designs that explicitly capture these scale dependencies are essential for advancing understanding of soil-CES relationships.

The critical gaps in understanding both soil biodiversity and cultural ecosystem services represent significant impediments to achieving comprehensive biodiversity conservation and ecosystem management. Soil biodiversity, despite its fundamental role in supporting ecosystem functions and services essential to human well-being, remains inadequately characterized and poorly integrated into environmental policy [27] [29]. Similarly, cultural ecosystem services continue to be undervalued in decision-making processes due to methodological challenges in quantification and integration with ecological data [30] [28]. The intersection of these domains – the relationship between soil ecological complexity and human cultural experience – represents a particularly profound knowledge gap that demands urgent scholarly attention.

Priority research initiatives should focus on:

- **Developing Integrated Monitoring Networks**: Establishing standardized monitoring that simultaneously tracks soil biodiversity indicators, ecosystem functions, and cultural values across representative ecosystem types, with particular emphasis on underrepresented regions currently characterized as research blind spots [2] [29].
- **Advancing Genetic Diversity Forecasting**: Incorporating genetic diversity into biodiversity models and forecasting frameworks, leveraging emerging macrogenetic approaches, mutation-area relationships, and individual-based models to predict how global change will affect adaptive capacity [11].
- **Methodological Innovation in CES Valuation**: Refining integrated valuation approaches that combine economic, sociocultural, and biophysical methods to more comprehensively capture the full spectrum of cultural ecosystem services, particularly those associated with less visibly charismatic ecosystem components like soils [30] [28].
- **Strengthening Research Capacity in Vulnerable Regions**: Building scientific infrastructure and leadership in regions currently identified as research blind spots but facing severe environmental threats, ensuring that soil conservation strategies are developed with appropriate local context and knowledge [29].

Addressing these research priorities will require unprecedented interdisciplinary collaboration among soil ecologists, geneticists, social scientists, and environmental policymakers. Only through such integrated approaches can we hope to develop the comprehensive understanding necessary to conserve both the ecological and cultural dimensions of biodiversity in an era of rapid global change. The recently adopted Kunming-Montreal Global Biodiversity Framework, with its explicit inclusion of genetic diversity targets, provides a timely policy imperative for these research initiatives [11]. By confronting these critical gaps in our understanding of cultural services and soil microbiomes, the research community can make fundamental contributions to both biodiversity conservation and human well-being in the decades ahead.

From Theory to Toolbox: Methodological Innovations for Modeling and Forecasting Biodiversity-Service Relationships

Current methods for predicting biodiversity loss under global change scenarios remain critically incomplete because they predominantly focus on species- and ecosystem-level diversity while overlooking **intraspecific genetic diversity** [11]. This constitutes a significant blind spot in our conservation planning, as genetic diversity forms the foundational level of biodiversity and is essential for species' **capacity to adapt, persist, and recover** from environmental challenges such as climate change and habitat modification [11]. The depletion of genetic variation, though not always immediately visible, establishes the conditions for **extinction debts**—delayed biodiversity losses that will manifest in the future [11]. Despite its critical importance, genetic diversity has historically been absent from most biodiversity projection models, including comprehensive scenario-based approaches that integrate Shared Socioeconomic Pathways (SSPs) with Representative Concentration Pathways (RCPs) to model changes in biodiversity and ecosystem services [11].

This oversight is particularly problematic given recent international policy developments. The **Kunming-Montreal Global Biodiversity Framework (GBF)** explicitly includes genetic diversity in its 2050 targets, signaling a dramatic shift in conservation priorities [11] [32]. Meanwhile,

the Intergovernmental Science-Policy Platform on Biodiversity and Ecosystem Services (IPBES) has noted low confidence in current biodiversity projections, partly due to this genetic gap [11]. Evidence suggests that the IUCN Red List status, based primarily on demographic data, often poorly reflects genetic status, further limiting our ability to accurately assess species' resilience and extinction risk [11] [33]. Without methods to estimate current and project future changes in genetic diversity, we cannot fully anticipate extinction risk, nor can we properly measure progress toward international conservation targets, ultimately undermining our most ambitious biodiversity goals [11].

The Critical Importance of Genetic Diversity

Genetic Diversity as the Bedrock of Ecological Resilience

Genetic diversity serves as the fundamental building block of **biodiversity resilience** and **ecosystem functioning** across trophic levels. At the population level, it determines the capacity to adapt to changing environmental conditions, persist through ecological disturbances, and recover from demographic bottlenecks [11] [34]. Recent research has demonstrated that the effects of losing within-species diversity in ecosystems can be as impactful as losing species diversity itself [35]. Surprisingly, these two facets of biodiversity can have antagonistic effects on ecosystem functions—while species loss sometimes unexpectedly increased certain ecosystem function rates, genetic diversity loss consistently slowed these functions and decreased the services they provide to humans [35].

The importance of genetic diversity extends beyond conservation biology to encompass **critical ecosystem services** that support human well-being. Genetic variation underpins nature's contributions to people, including **crop resilience**, **disease control**, and **biomass production** [34] [35]. For example, genetic diversity in rice varieties has been successfully deployed to control crop diseases, while diverse predator populations share resources more efficiently, supporting higher prey biomass and ecosystem stability [34] [35]. These genetic resources provide the raw material for adaptation across timescales, from immediate responses to environmental stressors to long-term evolutionary trajectories [34].

Quantifying Genetic Erosion: Global Evidence of Decline

A recent global meta-analysis comprising 628 species across all terrestrial and most marine realms has provided comprehensive evidence of widespread genetic diversity loss [33]. This analysis, spanning more than three decades of research and including animals, plants, fungi, and chromists, revealed a statistically significant decline in within-population genetic diversity over timescales likely impacted by human activities [33]. The patterns of loss show taxonomic variation, with the most pronounced effects observed in **birds** and **mammals** [33].

Table 1: Global Patterns of Genetic Diversity Loss Across Major Taxonomic Groups

Taxonomic Group	Magnitude of Loss (Hedges' g*)	Confidence Interval	Key Pressures
Aves (Birds)	-0.43	-0.57, -0.30	Land use change, harvesting
Mammalia (Mammals)	-0.25	-0.35, -0.17	Habitat fragmentation, persecution
Other Classes	Variable	Variable	Species-specific threats
Marine Species	Less severe	Varies by realm	Fishing pressure, climate change

The analysis further demonstrated that threats impacted two-thirds of the populations studied, with less than half receiving conservation management [33]. The magnitude of genetic erosion was most severe when measured over longer timescales (30+ years) and when using genetic diversity metrics that incorporate variant frequencies, such as expected heterozygosity and nucleotide diversity [33]. These findings underscore the urgent need for active, genetically informed conservation interventions to halt and reverse genetic diversity loss worldwide.

Methodological Frameworks: Macrogenetics and MAR

Macrogenetics: A Macroecological Approach to Genetic Diversity

Macrogenetics represents an emerging field that examines genetic patterns and processes across broad spatial, temporal, and taxonomic scales by repurposing and synthesizing existing genetic data [11] [32]. This approach leverages the growing availability of genetic data to establish statistical relationships between anthropogenic drivers and genetic diversity metrics, enabling predictions of environmental change impacts even for species or populations with limited direct genetic information [11]. The strength of macrogenetics lies in its ability to identify general patterns and drivers of genetic distribution, providing a bridge between traditional population genetics and macroecology [32].

The foundational principle of macrogenetics involves **aggregating genetic datasets** from multiple sources and analyzing them to uncover general relationships between environmental predictors and genetic parameters [32]. This requires sophisticated bioinformatic pipelines for data standardization, quality control, and spatial analysis. Key technical challenges include accounting for sampling biases in genetic data (which tend to overrepresent North America and Europe), inconsistent metadata reporting, and variation in molecular markers used across studies [32]. Despite these challenges, macrogenetics has already yielded important insights, such as estimating that approximately 6% of genetic diversity has been lost since the Industrial Revolution across multiple taxonomic groups [11].

Mutations-Area Relationship: A Theoretical Framework

The **Mutations-Area Relationship** represents a theoretical framework analogous to the species-area relationship, predicting genetic diversity loss with habitat reduction via a power law [11] [36]. Developed by Exposito-Alonso et al. (2022), MAR provides a tractable approach for estimating genetic erosion under different habitat loss scenarios [11] [36]. The fundamental equation underlying MAR can be expressed as:

$$M = cA^z$$

Where M represents mutational diversity, A is habitat area, c is a taxon-specific constant, and z describes the relationship slope [36]. This framework shows particular promise for anticipating intraspecific genetic threats under global change but remains largely untested across diverse taxa and ecosystems [11]. Its predictive accuracy depends on species-specific traits such as **dispersal ability**, **mating system**, and **generation time**, highlighting the need for broader application and validation [11].

Table 2: Comparison of Approaches for Forecasting Genetic Diversity

Approach	Spatial Scale	Data Requirements	Key Advantages	Limitations
Macrogenetics	Global to regional	Public genetic databases, environmental layers	Leverages existing data, multi-species	Data gaps for rare species, regions
Mutations-Area Relationship	Population to landscape	Habitat area, species traits	Simple parameterization, scalable	Requires validation, trait-dependent
Individual-Based Models	Local to population	Demographic data, life history traits	Mechanistic insight, dynamic processes	Computationally intensive, species-specific
Genetic Essential Biodiversity Variables	Global monitoring	Standardized genetic metrics	Direct monitoring, policy-relevant	Developing framework, requires global coordination

Essential Biodiversity Variables: Standardizing Genetic Monitoring

A critical development supporting both macrogenetics and MAR approaches is the conceptualization of **Genetic Essential Biodiversity Variables** by the Group on Earth Observations Biodiversity Observation Network (GEO BON) [11]. These represent standardized, scalable metrics designed to track changes in genetic composition across space and time [11]. Genetic EBVs include measures of **within-population genetic diversity**, **among-population genetic differentiation**, and **effective population size** [11]. If limitations such as sensitivity to detecting change and spatial biases can be addressed, Genetic EBVs could provide a comprehensive and accessible measure of genetic diversity for both forecasting and monitoring applications [11].

Experimental Protocols and Methodological Workflows

Macrogenetics Data Compilation and Analysis Pipeline

Implementing macrogenetic analysis requires a structured workflow for data acquisition, processing, and modeling. The following protocol outlines the key steps for a comprehensive macrogenetic study:

- **Data Compilation**: Gather publicly available genetic datasets from repositories such as GenBank, BOLD Systems, and the European Nucleotide Archive, focusing on target taxonomic groups and geographic regions [32].
- **Metadata Standardization**: Extract and standardize sample metadata, including geographic coordinates, collection dates, and molecular markers used, following FAIR data principles [11] [32].
- **Genetic Diversity Calculation**: Compute consistent population genetic parameters (e.g., expected heterozygosity, allele richness, nucleotide diversity) using standardized bioinformatic pipelines [32] [33].
- **Environmental Covariate Extraction**: Compile spatial layers for relevant environmental predictors (e.g., climate, land use, human footprint) matching the spatial and temporal context of genetic samples [32].
- **Statistical Modeling**: Apply spatial mixed models to relate genetic diversity metrics to environmental predictors while accounting for phylogenetic non-independence and spatial autocorrelation [32].
- **Projection and Forecasting**: Use the fitted models to project genetic diversity under future scenarios of climate and land use change [11].

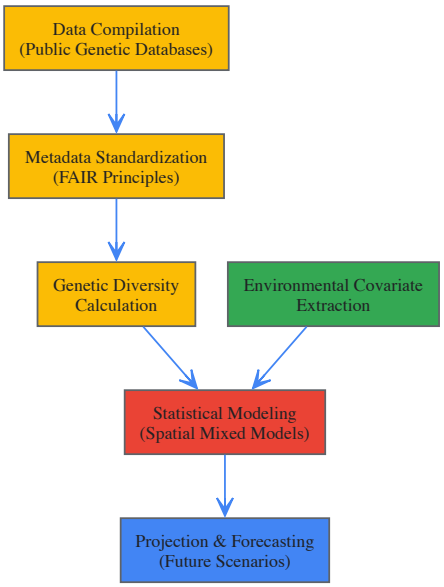

Macrogenetics Analysis Workflow: This diagram illustrates the sequential steps for compiling and analyzing macrogenetic data, from initial data acquisition through to forecasting under future scenarios.

Mutation-Area Relationship Parameterization Protocol

Implementing the MAR framework requires specific methodological steps for parameter estimation and application:

- **Habitat Area Delineation**: Map current and historical habitat extent for target species using remote sensing data, species distribution models, or land cover classifications [36].
- **Genetic Diversity Assessment**: Measure genome-wide genetic diversity (e.g., number of mutations, expected heterozygosity) across populations with varying habitat areas [36].
- **Power Law Fitting**: Estimate the parameters c and z of the MAR relationship using nonlinear regression techniques [36].
- **Trait Integration**: Incorporate species-specific traits (e.g., dispersal distance, breeding system) as covariates influencing the z parameter [11] [36].
- **Habitat Loss Scenarios**: Project genetic diversity loss under different habitat loss scenarios using the fitted MAR relationship [36].
- **Validation**: Compare MAR predictions with observed genetic diversity trends where temporal data are available [36].

The Scientist's Toolkit: Research Reagent Solutions

Table 3: Essential Research Tools and Resources for Genetic Forecasting

Tool/Category	Specific Examples	Function in Genetic Forecasting
Genetic Markers	Microsatellites, SNPs, RADseq, Whole Genome Sequencing	Generating raw genetic data for diversity assessment at appropriate resolution
Bioinformatic Pipelines	Stacks, ANGSD, PLINK, BCFtools	Processing raw genetic data into standardized diversity metrics
Spatial Analysis Tools	R packages (gdistance, raster, SDM), CIRCUITSCAPE	Modeling landscape effects on gene flow and genetic patterns
Genetic Databases	GenBank, BOLD Systems, Dryad, EMBL-EBI	Providing raw data for macrogenetic synthesis and analysis
Environmental Data	WorldClim, Copernicus, MODIS, Anthropogenic Biomes	Delivering predictor variables for spatial genetic models
Modeling Platforms	R, Python, CDPOP, SLiM	Implementing individual-based models and statistical projections

Integration Pathways and Conservation Applications

Implementing Genetic Indicators in Conservation Policy

The integration of genetic diversity into biodiversity forecasting represents more than a methodological advancement—it constitutes a fundamental requirement for implementing and monitoring the **Kunming-Montreal Global Biodiversity Framework** [11] [32]. The GBF includes explicit targets for maintaining genetic diversity, creating an urgent need for practical monitoring frameworks [32]. Macrogenetics offers a pathway to operationalize these targets by developing indicators that can track genetic diversity status and trends across broad scales, even for species lacking direct genetic monitoring [32].

Conservation applications of these forecasting approaches include identifying **genetic vulnerability hotspots** where climate and land use change are projected to cause rapid genetic erosion, prioritizing populations for **conservation translocations** to maximize genetic diversity preservation, and designing **habitat corridors** that maintain gene flow under future environmental conditions [11] [32]. Additionally, these approaches can guide **assisted gene flow** interventions where human-assisted migration may help compensate for climate-induced range shifts [34].

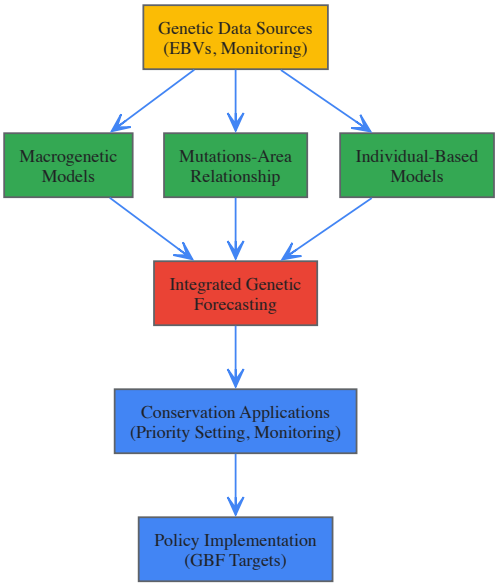

Genetic Forecasting Integration Framework: This diagram illustrates how different modeling approaches integrate genetic data to support conservation applications and policy implementation.

Multi-Trophic Implications and Ecosystem-Level Forecasting

Recent research has revealed that genetic diversity effects propagate across trophic levels, influencing ecosystem functions and stability in complex ways [35]. Studies examining genetic and species diversity across three trophic levels—primary producers, primary consumers, and secondary consumers—found that the absolute effect size of genetic diversity on ecosystem functions mirrors that of species diversity in natural ecosystems [35]. Surprisingly, these effects often show antagonistic patterns, with genetic diversity positively correlating with various ecosystem functions while species diversity sometimes shows negative relationships with the same functions [35].

These findings have profound implications for biodiversity forecasting, suggesting that models incorporating both genetic and species diversity will provide more accurate predictions of ecosystem responses to environmental change [35]. The trophic level context appears critical, with genetic diversity potentially having stronger effects at higher trophic levels where species richness is typically lower [35]. This underscores the need for multi-trophic perspectives in genetic forecasting frameworks that account for these cascading effects through ecological networks.

Integrating genetic diversity into biodiversity forecasts through macrogenetics and MAR approaches represents a transformative advancement in conservation science. These methodologies provide the necessary framework to anticipate genetic erosion before it manifests in population declines, enabling proactive rather than reactive conservation interventions [11]. As genomic technologies continue to advance and genetic datasets expand, the precision and taxonomic scope of these forecasts will improve, offering increasingly powerful tools for conservation prioritization and planning [11] [32].

The successful implementation of these approaches requires addressing several ongoing challenges, including filling spatial and taxonomic gaps in genetic data, improving the integration of species traits into MAR models, and developing more sophisticated individual-based models that can be generalized across taxa [11]. Furthermore, closer collaboration between geneticists, ecologists, and conservation practitioners is essential to ensure these forecasting approaches generate actionable insights for conservation practice [11] [32].

As biodiversity continues to decline worldwide, the development and application of genetically informed forecasting frameworks offers a critical pathway for achieving the targets of the Kunming-Montreal Global Biodiversity Framework and ensuring the long-term persistence of biodiversity in

an increasingly human-modified world [11]. These approaches will equip researchers, conservation practitioners, and policymakers with the insights needed to anticipate areas of genetic vulnerability and resilience, guiding strategies that support both natural systems and human well-being [11].

Leveraging Individual-Based Models (IBMs) to Simulate Evolutionary and Demographic Processes

Individual-Based Models (IBMs) represent a transformative approach in computational ecology for simulating the dynamics of populations and evolutionary processes. Unlike traditional models that treat populations as homogeneous units, IBMs simulate each organism as a unique entity with specific traits, behaviors, and interactions. This technical guide explores the framework, applications, and implementation of IBMs within critical biodiversity and ecosystem services research. By bridging individual-level processes with population-level outcomes, IBMs provide unprecedented insights into the mechanisms driving species distributions, evolutionary dynamics, and ecosystem functioning, ultimately strengthening conservation strategies and environmental policy development.

Individual-Based Models are computational simulations that track individual organisms within a population, each characterized by a set of state variables (e.g., age, size, location, genetic traits) that may change over time. These individuals interact with each other and their environment according to defined rules, leading to emergent population-level patterns. This bottom-up approach contrasts with top-down population models that use differential equations to describe population averages. The power of IBMs lies in their ability to capture the effects of individual variation, local interactions, and stochastic events—key factors influencing evolutionary and ecological dynamics that are often averaged out in traditional models.

The application of IBMs is particularly valuable within biodiversity and ecosystem services research, where understanding the chain of causality from individual traits to ecosystem function is essential. Process-explicit models, including IBMs, allow researchers to link observed biodiversity patterns to the past events that produced them, creating a deeper understanding of the mechanisms behind genetic-, species-, and ecosystem-level dynamics [37]. As computational power has increased and ecological datasets have expanded, IBMs have evolved from conceptual tools to powerful platforms for testing ecological theories and projecting biodiversity responses to environmental change.

Theoretical Foundations and Framework

IBMs belong to a broader class of **process-explicit models** that represent biological system dynamics as explicit functions of events driving change [37]. These models differ from phenomenological (correlative) approaches by specifying the causal relationships between environmental drivers and ecological responses rather than inferring relationships from statistical patterns.

A unified mathematical framework for IBMs classifies participants in demographic processes into three types [38]:

- **Reactants**: Individuals destroyed by a process (e.g., organisms that die)
- **Products**: Individuals created by a process (e.g., offspring from reproduction)
- **Catalysts**: Individuals unaffected by the process but influencing its rate (e.g., parents in reproduction)

This classification enables modeling of processes with arbitrary complexity. The mathematical representation uses spatiotemporal point processes where individuals are created, destroyed, and move at rates dependent on other individuals' positions. The dynamics can be described through moment equations representing mean density (first-order moment), spatial covariance (second-order moment), and higher-order interactions [38].

A significant advancement is the development of perturbation schemes that approximate the effects of space and stochasticity. When interactions occur over large spatial scales, the model reduces to mean-field equations (ordinary differential equations). For local interactions, the expansion accounts for spatial correlations:

Where q is the mean-field density, p is the correction due to spatial stochastic fluctuations, g is the spatial covariance function, and $1/\varepsilon$ is the typical interaction length scale [38].

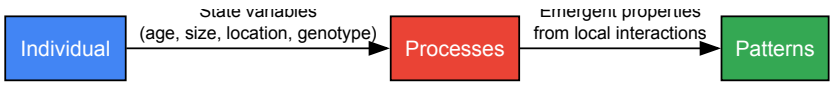

IBM Framework: From Individuals to System Patterns

IBM Applications in Biodiversity and Ecosystem Research

IBMs have generated significant insights across ecological disciplines by revealing how individual-level mechanisms generate population and community patterns:

Conservation Biology and Metapopulation Dynamics

IBMs enable realistic metapopulation simulations for conservation planning, incorporating demographic stochasticity, environmental variability, species interactions, and community-level dynamics [37]. These models inform species extinction risk assessments and conservation prioritization by simulating interlinked patches with different community compositions. For example, IBMs have shown that rare species are less frequent in island

communities than adjacent mainland communities, providing crucial information for understanding vulnerability to human-driven environmental change [37].

Evolutionary Ecology and Adaptation

IBMs naturally incorporate individual variation in dispersal behavior, genotype, competitive ability, and life history traits when simulating population change [37]. This enables researchers to study how evolutionary processes like speciation and adaptation interact with ecological processes of movement, extinction, and interaction. Recent eco-evolutionary simulators provide unprecedented realism in projecting assemblage dynamics under past and future global change scenarios [37].

Movement Ecology and Spatial Dynamics

In movement ecology, IBMs track individual movement paths based on internal state (e.g., hunger, reproductive status), navigation capabilities, and external factors (resources, conspecifics, predators) [38]. This individual-based approach reveals how movement mechanisms scale to population-level distribution patterns and connectivity, critical for designing wildlife corridors and protected area networks.

Table 1: Key Application Areas of Individual-Based Models in Ecological Research

Application Area	Research Focus	IBM Contribution	Representative Findings
Conservation Biology	Species extinction risk, metapopulation dynamics	Incorporates demographic stochasticity, environmental variability, and species interactions	Rare species less frequent in island communities; altered coexistence conditions with spatial structure [37]
Evolutionary Ecology	Adaptation, speciation, trait evolution	Links individual variation in genotype and phenotype to population outcomes	Reveals mechanisms of sympatric speciation; genomic erosion in endangered species [37]
Movement Ecology	Animal movement, migration, dispersal	Simulates individual movement decisions based on internal state and environment	Shows how local movement rules generate population distributions and connectivity patterns [38]
Community Ecology	Species coexistence, food web dynamics	Models individual interactions that scale to community patterns	Altered conditions for predator-prey cycles and competitor coexistence compared to mean-field models [38]
Ecosystem Services	Pollination, seed dispersal, biocontrol	Quantifies service provision from individual organism behaviors	Connects individual foraging behavior to ecosystem service delivery across landscapes

Technical Implementation and Methodological Protocols

Data Requirements and Adequacy Assessment

Implementing IBMs requires robust species occurrence data, which increasingly comes from citizen science sources. However, data quality assessment is essential before incorporation into models. Researchers should evaluate three key metrics of data adequacy [39]:

- **Mean Inventory Completeness (MIC)**: Measures how adequately surveyed a species' range is, calculated as the average proportion of observed diversity relative to expected diversity across grid cells
- **Range Completeness**: Assesses the proportion of a species' known range with documented occurrences
- **Spatial Bias**: Identifies systematic gaps in spatial coverage that could skew model results

For Australian bird data, studies found that while inventory and range completeness have improved over time, spatial bias has worsened, highlighting the need for data quality assessment before modeling [39].

Unified Framework Implementation

The unified framework for IBM analysis follows a structured workflow [38]:

- **Model Specification**: Convert verbal model description into graphical representation of entity types and processes
- **Process Definition**: Define demographic processes using reactant-catalyst-product classification
- **Parameterization**: Estimate rates from empirical data or literature
- **Analysis**: Generate mathematical expressions using specialized software
- **Validation**: Compare model predictions with empirical patterns

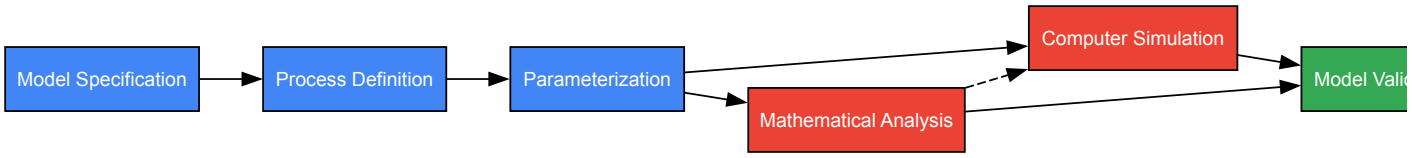

IBM Implementation Workflow

Model Parameterization and Validation

Effective IBM implementation requires careful parameterization and validation:

Parameter Estimation:

- Use maximum likelihood methods from empirical data
- Apply Bayesian approaches when prior information exists
- Employ pattern-oriented modeling to identify multiple parameter combinations consistent with observed patterns

Validation Protocols:

- Compare model outputs to independent datasets not used for parameterization
- Use approximate Bayesian computation for model selection
- Assess sensitivity to parameter uncertainty through comprehensive sensitivity analysis
- Validate across multiple spatial and temporal scales when possible

Table 2: Research Reagent Solutions for IBM Implementation

Tool Category	Specific Tools/Software	Function in IBM Workflow	Key Features
Modeling Platforms	NetLogo, RangeShifter, HEXSim	Provides environment for implementing and running IBM simulations	Graphical interfaces, extensive documentation, community support
Mathematical Analysis	Mathematica code from unified framework [38]	Generates analytical expressions for general reactant-catalyst-product models	Automated derivation of moment equations, perturbation expansions
Simulation Support	C code from unified framework [38]	Simulates broad class of reactant-catalyst-product models	High computational efficiency, flexible model specification
Data Quality Assessment	Inventory completeness metrics [39]	Evaluates adequacy of occurrence data for model parameterization	Identifies spatial gaps, sampling biases in citizen science data
Model Validation	Pattern-oriented modeling, Approximate Bayesian Computation	Compares model outputs with empirical patterns for calibration	Helps identify realistic parameter ranges, selects among model structures

Advanced Applications and Future Directions

Integration with Process-Explicit Models

IBMs are increasingly integrated with other process-explicit models to address complex ecological questions. Three significant advances include [37]:

- **Coalescent Models**: Simulate genealogies to study lineage diversification in space and time, revealing mechanisms of sympatric speciation and genomic erosion in endangered species
- **Dynamic Global Vegetation Models (DGVMs)**: Simulate plant functional group growth and mortality under different climates, predicting biosphere carbon storage capacity
- **Eco-evolutionary Simulators**: Integrate evolutionary processes (speciation, adaptation) with ecological processes (movement, extinction, interaction) for more realistic assemblage projections

Addressing Global Change Questions

IBMs provide unique insights into biodiversity responses to anthropogenic change:

Climate Change Impacts: Individual-based models project species range shifts by simulating individual physiological responses, dispersal limitations, and adaptation rates—critical improvements over correlative species distribution models [37].

Land Use Change: IBMs simulate how habitat fragmentation affects population persistence by modeling individual movement between patches and resulting metapopulation dynamics [38].

Evolutionary Rescue: IBMs test conditions under which rapid adaptation might prevent extinction in changing environments by tracking trait distributions and selection pressures across generations.

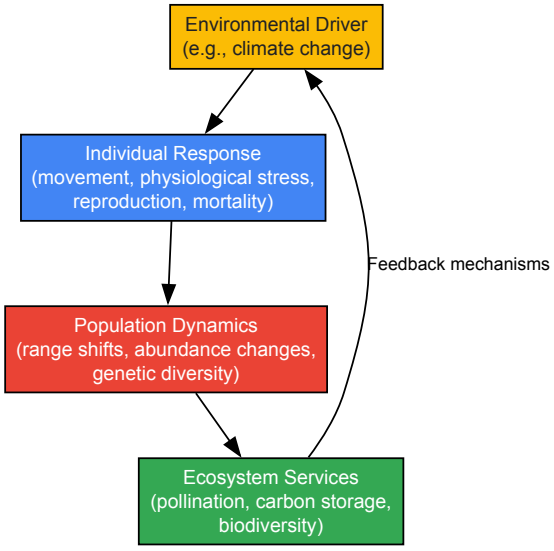

IBMs in Global Change Research

Individual-Based Models represent a powerful approach for simulating evolutionary and demographic processes in ecological systems. By explicitly representing individual organisms and their interactions, IBMs bridge the gap between local-scale processes and population-level patterns, providing mechanistic insights that correlative models cannot offer. The development of unified mathematical frameworks has made IBMs more accessible and analytically tractable, enabling researchers to explore complex ecological questions across conservation biology, evolutionary ecology, and ecosystem services research.

As biodiversity faces unprecedented threats from human activities, IBMs offer valuable tools for projecting species responses to environmental change, designing effective conservation strategies, and understanding the ecological and evolutionary mechanisms that maintain ecosystem functioning. Future advances will likely come from increased integration of IBMs with other process-explicit models, expanded incorporation of genomic data, and improved connections to ecosystem service assessments—ultimately strengthening the scientific basis for biodiversity management and policy.

Developing Essential Biodiversity Variables (EBVs) and the Gross Ecosystem Product (GEP) Metric

Essential Biodiversity Variables (EBVs) and Gross Ecosystem Product (GEP) represent two complementary frameworks advancing the quantitative science of biodiversity and ecosystem service measurement. EBVs serve as a set of standardized biological measurements that help scientists study, report, and manage changes in biodiversity across time, space, and biological levels of organization, bridging the gap between raw biodiversity data and derived policy-relevant indicators [40]. These variables capture key constituent components of biodiversity change, akin to essential climate variables used in climate science, and provide the fundamental data layers needed to construct meaningful biodiversity indicators [41]. In parallel, GEP has emerged as a policy-oriented index, modeled after Gross Domestic Product (GDP), that provides a clear signal of the value of nature's contribution to human wellbeing [42]. GEP represents the total value of goods and services supplied by ecosystems, serving as a key indicator that connects ecological well-being with economic development and supports the achievement of sustainable development goals [43].

The scientific and policy contexts for these frameworks have never been more critical. Biodiversity is declining at an unprecedented rate, prompting new multilateral treaties and environmental legislation that require robust monitoring systems [44]. The Kunming-Montreal Global Biodiversity Framework, alongside European Union biodiversity strategies and the Sustainable Development Goals, has created an urgent need for standardized, comparable, and scientifically rigorous measurement approaches [2] [45]. EBVs operate across multiple biological dimensions—from genetic composition to ecosystem structure—and span terrestrial, freshwater, and marine realms [40] [41]. GEP complements this ecological perspective by quantifying the economic value of ecosystem services, enabling policymakers to better balance economic development with ecological conservation [42] [43]. Together, these frameworks provide the essential data and valuation metrics needed to inform evidence-based conservation strategies and sustainable development policies worldwide.

Essential Biodiversity Variables (EBVs): Framework and Implementation

Theoretical Basis and Classification

The concept of Essential Biodiversity Variables was introduced to advance the collection, sharing, and use of biodiversity information, providing a way to aggregate the many biodiversity observations collected through different methods such as in situ monitoring or remote sensing [40]. EBVs are designed to be **scalable**, meaning the underlying observations can be used to represent different spatial or temporal resolutions required for the analysis of trends [40]. This scalability enables ecological community data collected at a location from different sampling events or methods to be combined into a single time series, revealing changes in ecological communities across regions. The EBV framework organizes biodiversity measurements into six major classes encompassing genetic composition, species populations, species traits, community composition, ecosystem function, and ecosystem structure [40] [46]. This comprehensive classification system allows for a holistic assessment of biodiversity across different levels of biological organization.

The species population EBVs (SP EBVs) represent a core component of this framework and include two primary variable types: the species abundance EBV (SA EBV), which addresses counts of individuals for a given location in space and time, and the species distribution EBV (SD EBV), which is conceptually similar but simplified to a binary form (presence/absence) [41]. These species population variables fulfill four key criteria essential for global policy and decision requirements: (1) explicit and maximally representative taxonomic coverage; (2) near-global spatial scope; (3) geographic and temporal contiguity; and (4) resolutions useful for decision-makers [41]. When combined with data on environmental drivers and human pressures, EBVs can identify biodiversity indicators that reflect ecological responses and ecosystem service benefits to humans [40].

Data Types and Methodological Approaches

Developing robust EBVs requires integrating heterogeneous data types that contribute information about species occurrence along the dimensions of space, time, and taxonomic diversity [41]. The three primary data types include:

- **Incidental observations**: Single records that lack information about co-observed species, taxonomic scope, and sampling protocols, such as museum records and many citizen-science contributions [41]. These provide valuable presence-only data but cannot directly inform non-detections.
- **Inventories**: Data with defined taxonomic and spatiotemporal scope that enables inference about non-detections through structured surveys, vegetation plots, or sensor-based monitoring [41]. These presence-absence datasets provide more reliable absence evidence but vary in spatiotemporal specificity.
- **Expert synthesis maps**: Binary or categorical distribution maps developed by species experts that separate occupied areas from those without species occurrence, typically covering longer timeframes and synthesizing multiple sources [41].

Modern EBV implementation leverages advanced monitoring methods including digital sensors, DNA-based methods, citizen science, and remote sensing technologies [44]. The integration of these disparate data sources requires sophisticated modeling approaches and remotely sensed covariates to generate predictions that are contiguous in space and time and global in extent [41]. This integration overcomes the inherent heterogeneity and sparseness of raw biodiversity data, enabling the creation of a unified "space-time-species-gram" that simultaneously addresses the distribution or abundance of multiple species at scales relevant to research and decision-making [41].

Table 1: Primary Data Types for Species Population EBVs

Data Type	Key Characteristics	Strengths	Limitations
Incidental Observations	Presence-only data; lacks co-observation context [41]	Growing volume through citizen science & aggregators (GBIF, OBIS) [41]	Taxonomic & geographic biases; cannot infer absences [41]
Inventories	Defined taxonomic/spatiotemporal scope; presence-absence data [41]	Enables inference about non-detections; structured sampling [41]	Limited mobilization; metadata challenges; effort-dependent reliability [41]
Expert Synthesis Maps	Expert-derived distribution boundaries; binary/categorical [41]	Synthesizes multiple sources & data types [41]	Coarse resolution; temporal specificity limited; provenance often lost [41]

Workflow Implementation and Technical Requirements

Implementing EBV workflows requires a coordinated sequence of data collection, integration, and modeling activities. EuropaBON, the European biodiversity observation network, has proposed a comprehensive framework involving 84 EBVs to encompass species and habitats across freshwater, marine, and terrestrial environments [44]. The key requirements for operationalizing these workflows include incorporating advanced monitoring methods, enhancing geographic, taxonomic, and temporal coverage, harmonizing heterogeneous data, applying metadata standards, and developing new spatial models and quantitative indicators [44].

For species-focused EBVs, implementation requires better national, regional, and European data integration across different data types and providers [44]. This includes addressing challenges related to data interoperability, standardization, and mobilization. In contrast, ecosystem-focused EBVs

benefit from centralized coordination of ground truth data collection and new Earth Observation products [44]. The workflow can be conceptualized as a continuous cycle from data acquisition through to policy application, as illustrated in the following diagram:

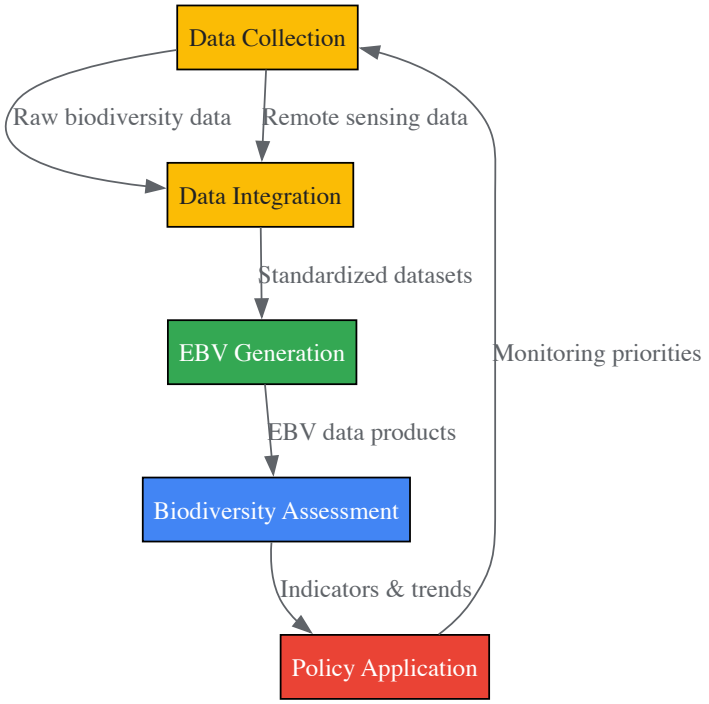

The diagram above illustrates the continuous EBV implementation workflow, beginning with data collection from various sources including in situ monitoring and remote sensing, moving through data integration and EBV generation, and culminating in biodiversity assessment and policy applications that subsequently inform future monitoring priorities.

Gross Ecosystem Product (GEP): Framework and Accounting Methodology

Conceptual Foundation and Policy Relevance

Gross Ecosystem Product (GEP) represents a significant advancement in environmental economic accounting by providing a comprehensive measure of the value of ecosystem goods and services to human wellbeing [42]. Modeled after the familiar concept of Gross Domestic Product (GDP), GEP offers a complementary perspective that integrates ecological contributions into economic evaluation, addressing a critical gap in traditional economic indicators that fail to capture ecological degradation or improvements in wellbeing derived from ecosystem services [43]. While GDP represents the economic output of human activities, GEP quantifies the ecological foundation upon which much economic activity ultimately depends, creating a more balanced framework for assessing sustainable development progress [42] [43].

The policy relevance of GEP has increased significantly in recent years, with the United Nations Statistical Commission officially adopting GEP as part of the System of Environmental-Economic Accounting (SEEA) framework [42]. This institutional recognition reflects growing international appreciation for the need to incorporate ecological values into decision-making systems, consistent with global initiatives such as the Millennium Ecosystem Assessment, The Economics of Ecosystems and Biodiversity (TEEB), and the Intergovernmental Science-Policy Platform on Biodiversity and Ecosystem Services (IPBES) [43]. Compared with traditional ecosystem service valuation approaches, GEP places greater emphasis on final benefits and the potential integration of ecological value into national accounting systems, providing a more practical tool for policy formulation and ecosystem management [43]. In China, where GEP was initially developed and piloted, it has evolved into an important instrument for measuring human wellbeing and the progress of ecological civilization at scales ranging from municipal to national levels [42].

Accounting Framework and Implementation Protocols

GEP accounting requires a systematic approach to identify, quantify, and value the diverse contributions of ecosystems to human wellbeing. The standard implementation protocol involves multiple stages, beginning with ecosystem characterization and proceeding through indicator selection, biophysical quantification, and economic valuation. A comprehensive case study from Wild Duck Lake National Wetland Park in Beijing demonstrates the practical application of this framework, calculating a total GEP of 155.01 million CNY in 2023, with a per-unit-area value of 35.47 million CNY/km² [43].

The accounting framework typically categorizes ecosystem services into three primary types: provisioning services (material goods like food and water), regulating services (benefits from ecosystem processes like climate regulation and water purification), and cultural services (non-material benefits like recreation and aesthetic experiences) [43]. In the Wild Duck Lake case study, researchers excluded provisioning services from valuation due to the park's conservation status and focused instead on regulating and cultural services, developing a detailed assessment index system with two

accounting categories and eight specific indicators [43]. The methodological approaches for different service categories vary, incorporating market-based valuation, cost-based methods, and benefit transfer techniques, with innovative approaches using social media data to quantify cultural services.

Table 2: GEP Accounting Framework - Wild Duck Lake Wetland Park Case Study

Service Category	Specific Indicators	Primary Valuation Methods	Contribution to Total GEP
Regulating Services	Climate regulation	Carbon pricing; shadow engineering [43]	66.10% (primary contributor) [43]
	Water purification	Replacement cost method [43]	11.76% [43]
	Flood prevention	Equivalent factor method [43]	5.02% [43]
	Soil conservation	Market value method [43]	3.21% [43]
	Air quality maintenance	Market value method [43]	2.91% [43]
Cultural Services	Tourism	Travel cost method; social media data analysis [43]	7.85% [43]
	Health & recreation	Benefit transfer method [43]	2.74% [43]
	Research & education	Equivalent factor method [43]	0.41% [43]

Innovative Approaches for Cultural Service Valuation

The quantification of cultural ecosystem services represents a particular methodological challenge in GEP accounting. Traditional approaches like the Travel Cost Method (TCM) and Contingent Valuation Method (CVM) typically rely on field surveys or questionnaires, which are time-consuming, costly, and limited in spatial and temporal representativeness [43]. Recent advances in digital technologies and social media analytics have opened new opportunities for cultural ecosystem service assessment by leveraging user-generated online content that can reflect public perceptions and recreational behaviors in real time and at large scales [43].

The Wild Duck Lake case study demonstrated an innovative approach to integrating social media data into cultural service valuation through text mining techniques including sentiment analysis and topic modeling [43]. This methodology enabled researchers to transform unstructured social media data into quantifiable economic indicators that supported monetary valuation of cultural services. The analysis revealed that visitors particularly valued the park's natural landscapes while noting service and facility shortcomings, providing a balanced assessment combining both positive and negative perceptions [43]. This approach represents a significant advancement over purely qualitative assessments of cultural services and helps address the persistent research gap in how to reliably quantify the economic value of non-material ecosystem benefits.

The complete GEP accounting workflow integrates multiple data sources and methodological approaches across different ecosystem service categories, as illustrated in the following diagram:

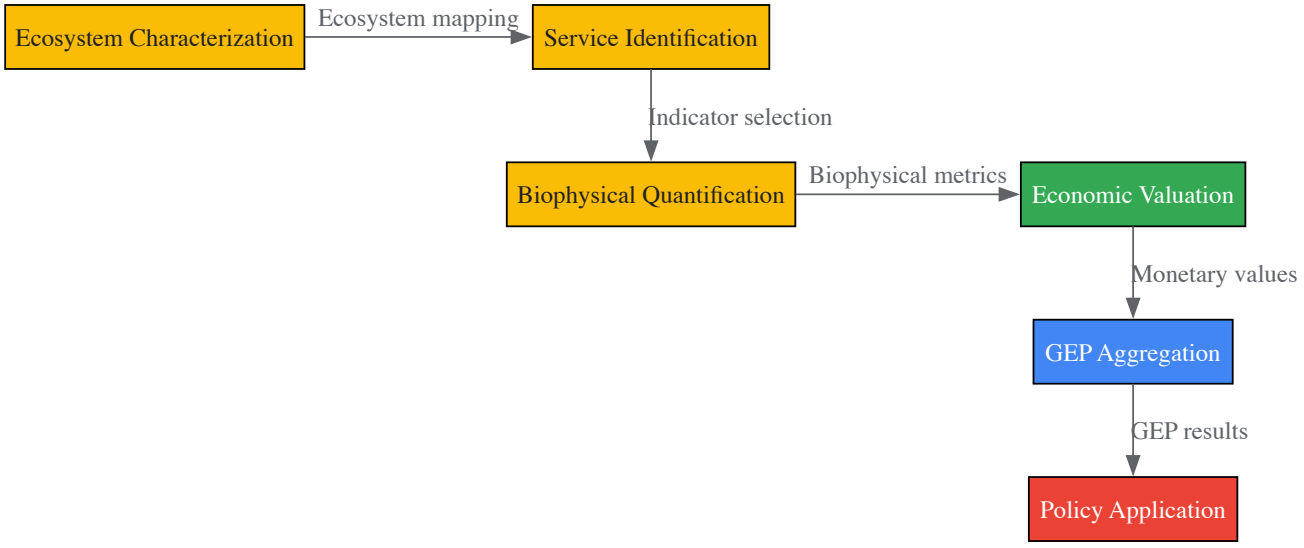

The GEP accounting workflow begins with ecosystem characterization and service identification, proceeds through biophysical quantification and economic valuation, and culminates in GEP aggregation and policy application. This structured approach enables comprehensive valuation of ecosystem contributions to human wellbeing.

Integrated Applications and Research Priorities

Synergistic Implementation in Policy Contexts

EBVs and GEP offer complementary strengths when implemented within integrated biodiversity and ecosystem service monitoring frameworks. EBVs provide the fundamental biodiversity measurements needed to track ecological status and trends, while GEP translates ecosystem conditions into economic terms more readily understood by policymakers and economic planners [40] [42]. Together, they form a comprehensive framework for assessing progress toward international environmental targets, including the Kunming-Montreal Global Biodiversity Framework and Sustainable Development Goals [2] [45]. The Group on Earth Observations Biodiversity Observation Network (GEO BON) plays a crucial role in advancing the implementation of both frameworks by developing standardized protocols, facilitating data sharing, and building global monitoring capacity [45].

The European Biodiversa+ partnership exemplifies how these frameworks can be operationalized in policy contexts, having identified specific biodiversity monitoring priorities for 2025-2028 that align with EBV classes and support the calculation of ecosystem service indicators [2]. These priorities include bats, common species, genetic composition, habitats, insects, invasive alien species, marine biodiversity, protected areas, soil biodiversity, urban biodiversity, wetlands, and wildlife diseases [2]. Each priority area connects to specific EBVs while also contributing to ecosystem service assessments that could inform GEP accounting. This integrated approach helps prioritize monitoring efforts where data gaps are most critical and where transnational cooperation can add significant value [2].

Methodological Challenges and Research Frontiers

Despite significant advances, substantial methodological challenges remain in fully operationalizing EBVs and GEP accounting. For EBVs, key implementation barriers include heterogeneous data sources, uneven taxonomic and geographic coverage, insufficient temporal resolution, and inadequate metadata standards [44]. Addressing these challenges requires enhanced monitoring techniques such as digital sensors, DNA-based methods, citizen science, and advanced remote sensing technologies [44]. For species-focused EBVs, implementation requires better integration of different data types and providers across national, regional, and European levels, while ecosystem-focused EBVs would benefit from centralized coordination of ground truth data collection and new Earth Observation products [44].

For GEP accounting, persistent methodological challenges include standardization of accounting approaches, reliable quantification of cultural services, development of spatially explicit valuation techniques, and establishment of consistent monitoring systems to track changes in GEP over time [43]. Research priorities include refining social media-based valuation methods for cultural services, developing dynamic GEP accounts that capture temporal trends, and creating spatially explicit GEP models that can inform land-use planning and ecological compensation mechanisms [43]. Both frameworks would benefit from improved detection and attribution capabilities that enable researchers to quantify the impact of specific anthropogenic drivers on biodiversity changes and ecosystem service flows, similar to methods used in climate science [45].

The Scientist's Toolkit: Essential Methods and Technologies

Implementing EBVs and GEP accounting requires a diverse toolkit of methods, technologies, and data sources. The following table summarizes key resources essential for researchers working in these fields:

Table 3: Essential Research Tools for EBV and GEP Implementation

Tool Category	Specific Methods/Technologies	Primary Applications	Key References
Field Monitoring	Sensor networks; camera traps; acoustic monitors	Species detection & abundance; phenology [46]	Biodiversa+ [2]
Molecular Methods	DNA metabarcoding; eDNA sampling	Species detection; community composition [44]	EuropaBON [44]
Remote Sensing	Satellite imagery; aerial photography; drones	Ecosystem structure; habitat mapping [44]	GEO BON [45]
Citizen Science	iNaturalist; eBird; other platforms	Species occurrence data; phenology [41]	GBIF [41]
Data Integration	GEO BON; BON in a Box; Map of Life	EBV generation; indicator calculation [45]	GEO BON [45]
Social Media Analysis	Text mining; sentiment analysis; topic modeling	Cultural service valuation [43]	Wild Duck Lake Study [43]
Economic Valuation	Travel cost method; benefit transfer; replacement cost	GEP accounting [43]	GEP Standards [43]

Essential Biodiversity Variables and Gross Ecosystem Product represent two complementary frameworks at the forefront of biodiversity and ecosystem service science. EBVs provide the standardized, scalable measurements needed to track changes in biodiversity across multiple levels of biological organization, while GEP offers a comprehensive economic valuation of nature's contributions to human wellbeing. Together, they form a powerful evidence base for informing conservation strategies, sustainable development policies, and international environmental agreements. As global biodiversity continues to decline at unprecedented rates, the continued refinement and implementation of these frameworks remains essential

for designing effective responses and tracking progress toward international sustainability targets. The methodological advances and integrated applications described in this review provide a roadmap for researchers and policymakers working to address these critical challenges.

Remote Sensing and Spatial Analysis for Mapping Ecosystem Service Provision

Ecosystem services (ES) represent the direct and indirect benefits that human populations derive from ecological systems, ranging from provisioning services like water and food to regulating services such as climate modulation and water purification. The mapping and quantification of these services have become critical research areas within environmental science, particularly given accelerating global biodiversity loss and climate change. These research priorities are reflected in international policy frameworks like the Kunming-Montreal Global Biodiversity Framework, which emphasizes the need for robust monitoring systems to track the state of nature and enable evidence-based conservation strategies [2].

Remote sensing and spatial analysis techniques provide powerful methodological approaches for assessing ecosystem service dynamics across multiple scales. This technical guide outlines comprehensive methodologies for mapping ecosystem service provision, with particular emphasis on protocols relevant to fragile and ecologically significant regions. The integration of geospatial data with economic valuation methods enables researchers to quantify ecological compensation needs and inform sustainable development policies, especially in regions experiencing rapid environmental change [47].

A comprehensive ecosystem service assessment requires the integration of multiple data types, which can be categorized into primary remote sensing data and secondary supplementary datasets. The table below summarizes the core data requirements for ES mapping.

Table 1: Essential Data Types for Ecosystem Service Assessment

Data Category	Specific Types	Spatial Resolution	Primary Applications	Example Sources
Land Use/Land Cover (LULC)	Classification maps (forest, grassland, wetland, urban, etc.)	10-30 m	ESV calculation, change detection	China 30 m LULC dataset [47]
Topographic Data	Digital Elevation Models (DEM), slope, aspect	10-30 m	Habitat quality, erosion regulation	ASTER GDEM, SRTM
Climate Data	Temperature, precipitation, evapotranspiration	500 m - 1 km	Climate regulation services	MODIS, WorldClim
Vegetation Indices	NDVI, EVI, LAI	10-500 m	Productivity, habitat quality	Landsat, Sentinel-2, MODIS
Socioeconomic Data	Population density, GDP, land use statistics	Municipal/county level	ESV-demand assessment, compensation prioritization	Statistical Yearbooks [47]

The temporal dimension of data collection is equally critical, with multi-decadal time series (e.g., 2000-2020) enabling robust trend analysis and detection of ecosystem service changes in response to environmental pressures [47]. Data preprocessing typically involves geometric and atmospheric correction, image classification using standardized algorithms (e.g., maximum likelihood, random forest), and accuracy assessment through field validation and confusion matrix generation.

Methodological Framework and Workflow

The assessment of ecosystem services through remote sensing follows a structured workflow that transforms raw spatial data into actionable insights regarding ecosystem service values and dynamics. The logical relationship between methodological components can be visualized through the following analytical workflow:

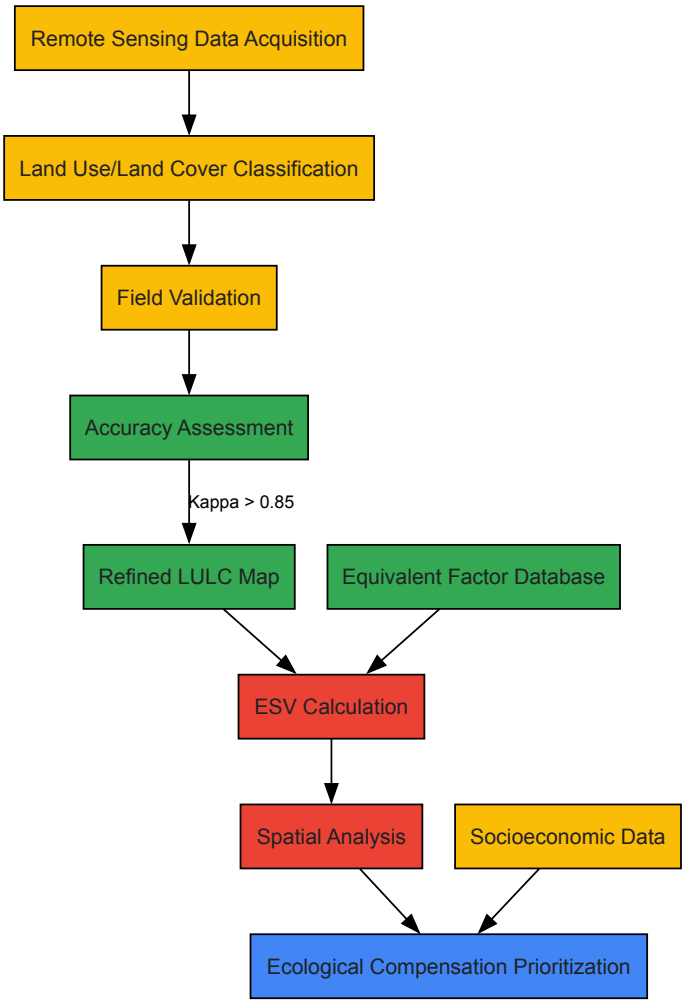

Figure 1: Ecosystem Service Valuation Analytical Workflow

Land Use Change Analysis

The foundation of ecosystem service assessment lies in accurate land use and land cover (LULC) classification. The protocol involves:

- **Data Acquisition and Preprocessing**: Obtain multi-temporal LULC data (e.g., 2000, 2010, 2020) from satellite imagery, typically at 30m resolution for regional assessments. Perform geometric and radiometric correction to ensure data consistency [47].
- **Classification System Adaptation**: Reclassify original LULC categories into ecosystem-relevant types. For example, forests and shrublands may be merged into "forest land," while specific crop types are generalized to "arable land" [47].
- **Change Detection Analysis**: Calculate transition matrices between time periods to identify dominant land conversion processes (e.g., grassland to agricultural land, forest fragmentation).
- **Accuracy Assessment**: Validate classified maps using field data, high-resolution imagery, or existing land survey data. Acceptable accuracy thresholds typically exceed 85% (Kappa > 0.85) for reliable ES assessment.

Ecosystem Service Value (ESV) Assessment

The equivalent factor method provides a standardized approach for ESV quantification, with the following experimental protocol:

- **Equivalent Factor Adjustment**: Modify standard ESV coefficients based on local ecological and economic conditions. For example, in Xizang, the value for arable land corresponds to dryland equivalents due to the predominance of wheat and barley cultivation, with rice accounting for less than 1% of cultivation [47].
- **Unit Value Calculation**: Determine the value of one standard equivalent factor using economic data on agricultural productivity. The formula is:

  $$D = \frac{1}{7} \times \bar{Y} \times \bar{P}$$

Where D is the value of one standard equivalent, $\bar{Y}$ is the average grain crop yield per unit area (e.g., 5,332.20 kg/hm²), and $\bar{P}$ is the average purchase price of major crops (e.g., 3.95 yuan/kg) [47].

- **ESV Computation**: Calculate total ESV using the formula:

  $$ESV = \sum(A_k \times VC_k)$$

  Where A_k *is the area of land use type* k*, and* VC_k is the value coefficient for that land use type.

- **Spatial Explicit ESV Mapping**: Apply ESV coefficients to each land parcel or grid cell to create continuous surface maps of ecosystem service provision, enabling hotspot identification through spatial autocorrelation analysis [47].

Ecological Compensation Mechanism Development

A critical application of ESV assessment is informing ecological compensation policies. The methodology involves:

- **Ecological Compensation Priority Score (ECPS)**: Calculate this index based on the ratio of non-market ESV to GDP per unit area:

  $$ECPS = \frac{\text{Non-market ESV per unit area}}{\text{GDP per unit area}}$$

  Higher ECPS values indicate greater compensation priority [47].

- **Compensation Quantification**: Determine theoretical compensation amounts by assessing the gap between ecosystem service provision and current fiscal transfers, considering both market and non-market values [47].

- **Spatial Targeting**: Identify priority compensation zones using hotspot analysis and geographical detection methods to optimize the allocation of limited conservation resources.

Analytical Techniques and Spatial Analysis

Advanced spatial analysis techniques enable researchers to extract meaningful patterns from ecosystem service assessments. Key methodological approaches include:

Spatial Autocorrelation Analysis

Spatial autocorrelation measures the degree to which similar ESV values cluster in geographic space:

- **Global Moran's I**: Provides a single statistic representing overall spatial autocorrelation across the study area.
- **Local Indicators of Spatial Association (LISA)**: Identifies specific clusters (hotspots and coldspots) of high or low ESV values.
- **Spatial Interpolation**: Uses kriging or inverse distance weighting to create continuous ESV surfaces from point-based measurements.

Geographical Detector Model

The optimal parameters-based geographical detector model (OPGD) identifies driving factors behind ESV spatial heterogeneity [47]. The protocol involves:

- **Factor Selection**: Choose potential natural and anthropogenic drivers (e.g., elevation, slope, precipitation, population density, distance to roads).
- **Stratification**: Discretize continuous factors into meaningful strata using natural breaks or quantile methods.

- **q-Statistic Calculation**: Compute the power of determinant (q) for each factor using the formula:

  $$q = 1 - \frac{\sum_{h=1}^{L} N_h \sigma_h^2}{N \sigma^2}$$

  Where N_h *and* σ_h^2 are the sample size and variance of stratum h, and N and σ^2 are the sample size and variance of the entire study area.

- **Interaction Detection**: Assess whether factors independently or interactively influence ESV patterns.

Trend Analysis and Forecasting

Time series analysis of ESV enables the identification of temporal patterns and future projections:

- **Change Trajectory Analysis**: Characterize temporal patterns (e.g., "U-shaped" trends in grassland coverage) using regression methods [47].
- **Driving Force Analysis**: Correlate ESV changes with potential environmental and socioeconomic drivers.
- **Scenario Modeling**: Project future ESV under different land use and climate scenarios to inform policy planning.

The Scientist's Toolkit: Essential Research Solutions

Table 2: Research Reagent Solutions for Ecosystem Service Assessment

Tool/Category	Specific Examples	Function/Application	Technical Specifications
Remote Sensing Platforms	Landsat 8-9, Sentinel-2, MODIS	Multi-spectral land monitoring	10-30 m spatial resolution, 5-16 day revisit
Spatial Analysis Software	ArcGIS 10.2+, QGIS, GRASS GIS	Geospatial data processing and analysis	Supports raster calculator, zonal statistics, spatial autocorrelation
Statistical Analysis Tools	R with spdep, GD, ggplot2 packages	Statistical modeling and visualization	Implements geographical detector models, regression analysis
Equivalent Factor Databases	Revised equivalent factor method (2015)	Standardized ESV coefficients	Locally adjusted based on crop yields and economic data
Field Validation Equipment	GPS receivers, spectral radiometers	Ground truthing and accuracy assessment	Sub-meter positional accuracy, calibrated measurements
Data Integration Frameworks	Geodatabases, Python scripting	Harmonizing multi-source datasets	Automated workflow implementation, batch processing

Data Visualization and Communication

Effective communication of ecosystem service assessments requires appropriate visualization strategies. The choice of visualization method should align with the specific communication objective and data characteristics, as summarized in the table below.

Table 3: Data Visualization Methods for Ecosystem Service Assessment

Visualization Type	Primary Use Case	Advantages	Limitations
Hotspot/Coldspot Maps	Display spatial clustering of ESV	Identifies priority areas for intervention	Requires advanced spatial statistics
Stacked Area Charts	Illustrate land use change over time	Shows composition and trends simultaneously	Can become cluttered with many categories
Bar Charts	Compare ESV across regions or ecosystems	Simple interpretation, direct comparison	Limited ability to show complex relationships
Pie Charts	Display proportional ESV contributions	Intuitive part-to-whole relationships	Difficult with many small categories
Line Graphs	Show temporal ESV trends	Clear visualization of changes over time	Does not illustrate spatial patterns
Box Plots	Compare ESV distribution across groups	Shows distributional characteristics	Requires statistical literacy for interpretation

When creating these visualizations, adherence to accessibility guidelines is essential. The Web Content Accessibility Guidelines (WCAG) recommend a minimum contrast ratio of 3:1 for graphical objects and user interface components to ensure distinguishability for people with moderately low vision [48] [49]. This is particularly important for elements like pie chart segments, map symbols, and line graph markers.

Remote sensing and spatial analysis provide powerful methodological frameworks for quantifying and mapping ecosystem service provision across landscapes. The integrated approach outlined in this technical guide—combining land use change analysis, equivalent factor valuation, and spatial statistics—enables researchers to generate robust scientific evidence for environmental decision-making. This methodology is particularly valuable for assessing ecological compensation needs in fragile ecosystems, such as the high-altitude regions of Xizang, where balancing conservation and development imperatives remains a pressing challenge [47].

Future methodological developments in this field will likely focus on enhancing the spatial and temporal resolution of assessments, refining ecosystem service valuation coefficients for different biomes, and strengthening the integration of remote sensing-derived metrics with biodiversity monitoring priorities such as those identified by Biodiversa+ for the 2025-2028 period [2]. Such advances will further establish ecosystem service mapping as an essential tool for addressing the interconnected challenges of biodiversity conservation, climate change adaptation, and sustainable development.

Applying the Science Based Targets Network (SBTN) for Corporate and Landscape-Level Assessment

The Science Based Targets Network (SBTN) provides a critical framework for corporate and landscape-level environmental assessment. As a companion initiative to the Science Based Targets initiative (SBTi), which focuses exclusively on climate, SBTN enables organizations to address a broader range of environmental impacts, including water, biodiversity, land, and circular economy practices [50]. In the context of biodiversity and ecosystem services research, SBTN's methodology offers a standardized approach for translating planetary boundaries into actionable corporate targets, creating a vital bridge between climate science and biodiversity conservation.

Corporate nature-related commitments are rapidly evolving beyond carbon emissions. Recent analysis of Fortune Global 500 companies shows the share of companies setting targets for biodiversity increased from 6% to 12% in just one year, representing the largest percentage-point increase among all environmental dimensions studied [51]. This trend reflects growing recognition within the scientific and corporate communities that there is no viable path to net-zero emissions without simultaneously addressing other dimensions of nature. The unprecedented decline of natural systems underscores this urgency—of the nine planetary boundaries defining a "safe operating space for humanity," six have been exceeded as of 2023 [51].

Technical Foundations of SBTN

Core Framework and Stepwise Methodology

SBTN employs a rigorous, stepwise methodology that enables companies to set science-based targets for nature. This systematic approach begins with baseline assessment and progresses through target setting and implementation, with biodiversity considerations integrated throughout the process. The foundational approach to target-setting focuses on helping companies address the drivers of biodiversity loss by improving their environmental impacts, such as water pollution and land use change [52].

Table 1: Core Components of SBTN's Technical Framework

Component	Description	Research Application
Environmental Impact Assessment	Initial analysis of corporate impacts across freshwater, land, biodiversity, and climate	Provides baseline data for longitudinal research on ecosystem service degradation
Spatial Prioritization	Identification of critically important sites for biodiversity and mitigating biodiversity loss	Enables landscape-level analysis of cumulative impacts and conservation priorities
Target Setting	Establishment of specific, measurable targets for freshwater, land, and ocean systems	Creates standardized metrics for cross-corporate comparison and impact evaluation
Implementation Guidance	Methodologies for achieving set targets through operational changes and supply chain management	Offers real-world case studies for testing ecological restoration techniques

Biodiversity considerations are incorporated in the initial steps of target-setting through the environmental impact assessment, including the prioritization of sites for target-setting that are critically important for biodiversity and for mitigating biodiversity loss [52]. This knowledge then guides the application of the freshwater and land targets that focus on ecosystem-scale protection for biodiversity. While SBTN does not currently have biodiversity-specific targets, their approach inherently supports biodiversity through comprehensive environmental impact management [52].

Methodological Workflow for Corporate Assessment

The following diagram illustrates the core methodological workflow for applying SBTN at corporate and landscape levels:

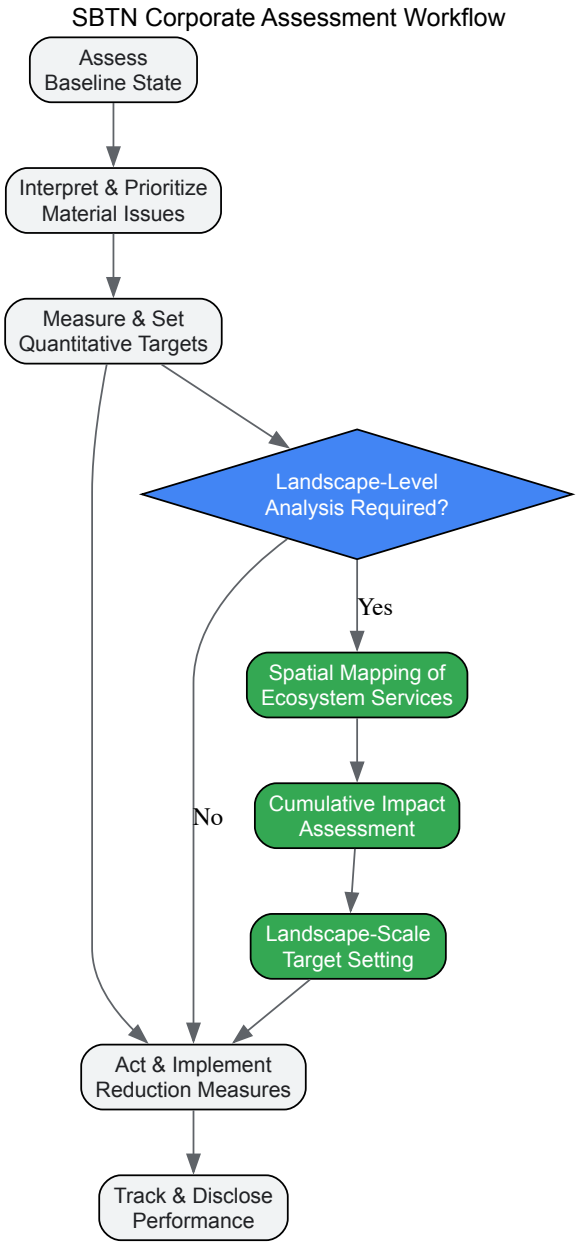

Figure 1: SBTN Corporate Assessment Workflow

This workflow demonstrates the iterative process of corporate natural capital accounting, highlighting decision points where landscape-level analysis becomes essential for accurate impact assessment. The methodology emphasizes the importance of spatial explicitness in target setting, particularly for biodiversity outcomes that depend on landscape configuration and connectivity.

Experimental Protocols for SBTN Implementation

Protocol 1: Corporate Baseline Assessment

Objective: To establish a comprehensive baseline of corporate dependencies and impacts on nature across value chains.

Materials and Equipment:

- **Geospatial mapping software** (e.g., GIS platforms with habitat classification capabilities)
- **Environmental impact assessment tools** (e.g., LCIA databases, water stress indices)
- **Supply chain mapping software** for tracing commodity origins
- **Field sampling kits** for ground-truthing critical impact areas

Methodology:

- **Boundary Setting**: Define organizational and value chain boundaries following the Greenhouse Gas Protocol corporate standard [50].

- **Data Collection**: Compile data on land use, water consumption, pollutant emissions, and resource extraction across operations and supply chains.
- **Spatial Analysis**: Map material sourcing locations and operational facilities to identify spatially-explicit impacts using geographic information systems.
- **Impact Valuation**: Quantify impacts using recognized methodologies such as the TNFD's LEAP approach or SBTN's own impact assessment protocols.
- **Stakeholder Engagement**: Consult with local communities, Indigenous groups, and scientific experts to validate findings and identify overlooked impacts.

Data Analysis: Calculate corporate footprint indicators across all relevant dimensions of nature (water, biodiversity, land, etc.) and identify environmental impact hotspots representing the most significant opportunities for intervention.

Protocol 2: Landscape-Level Biodiversity Assessment

Objective: To assess biodiversity status and trends within corporate operational landscapes to inform target setting.

Materials and Equipment:

- **Remote sensing data** (Satellite imagery, LiDAR, or drone-based sensors)
- **Field sampling equipment** (Camera traps, aquatic sampling gear, soil corers)
- **Biodiversity monitoring protocols** (Standardized survey methods for key taxa)
- **Genetic analysis tools** for assessing intraspecific diversity where required

Methodology:

- **Stratified Sampling Design**: Establish monitoring transects or plots across representative habitat types within the landscape.
- **Multi-Taxon Surveys**: Conduct surveys for focal species groups based on Biodiversa+ monitoring priorities, including bats, insects, soil organisms, and invasive alien species [2].
- **Habitat Condition Assessment**: Evaluate ecosystem integrity using metrics such as habitat connectivity, fragmentation, and degradation status.
- **Genetic Sampling**: Where applicable, collect genetic samples to monitor intraspecific genetic diversity, differentiation, inbreeding, and effective population sizes [2].
- **Ecosystem Function Measurement**: Quantify key ecosystem processes (e.g., nutrient cycling, pollination, primary productivity) using standardized protocols.

Data Analysis: Integrate field data with remote sensing to create landscape-scale models of biodiversity patterns, ecosystem service flows, and anthropogenic pressures.

Metrics and Monitoring Framework

Essential Biodiversity Variables for Corporate Reporting

Unlike climate metrics, biodiversity cannot be measured using a single universal unit, such as tonnes of CO_2. It is multi-dimensional, location-specific, and far less standardized [53]. The most credible approaches use multiple metrics to capture the complexity of nature.

Table 2: Corporate Biodiversity Metrics Aligned with Global Frameworks

Metric Category	Specific Metrics	Data Sources	Alignment with Global Frameworks
Ecosystem Extent	Percentage of natural land cover, Habitat fragmentation index	Satellite imagery, Land use maps	KMGBF Target 1, TNFD [53]
Species Populations	Species richness, Relative abundance, Red List Index	Field surveys, Camera traps, Citizen science	Biodiversa+ monitoring priorities [2]
Genetic Diversity	Effective population size, Allelic diversity	Genetic sampling, Literature review	Biodiversa+ Genetic Composition priority [2]
Ecosystem Function	Pollinator visitation rates, Soil organic carbon, Water purification capacity	Field measurements, Modeling	Essential Ecosystem Service Variables
Pressure Indicators	Nutrient loading, Chemical application rates, Water consumption	Operational data, Supply chain reporting	DPSIR Framework [2]

Effective biodiversity metrics should exhibit seven key qualities: repeatable, measurable, data-driven, interpretable, predictable, robust, and sensitive to change [53]. For example, the "percentage of land cover" metric is repeatable (based on satellite imagery), measurable (calculates share of natural ecosystems), and sensitive to change (detects small-scale land use changes) [53].

Research Reagent Solutions for Biodiversity Assessment

Table 3: Essential Research Materials for SBTN Implementation

Reagent/Material	Specifications	Research Application
Environmental DNA Sampling Kits	Standardized water, soil, and air sampling protocols	Detection of cryptic species and biodiversity monitoring
Genetic Markers	Microsatellite panels, SNP chips for focal species	Population genetics and connectivity analysis
Remote Sensing Platforms	Multispectral/hyperspectral sensors, LiDAR	Landscape-scale habitat mapping and monitoring
Bioacoustic Recorders	Programmable autonomous recording units	Bat and avian diversity monitoring [2]
Soil Testing Kits	Nutrient analysis, microbial biomass assays	Soil health and biodiversity assessment [2]
Water Quality Probes	Multiparameter sensors (pH, DO, conductivity, turbidity)	Freshwater ecosystem health assessment

Data Integration and Analytical Approaches

Technical Workflow for Data Synthesis

The following diagram illustrates the complex data integration required for comprehensive SBTN assessment:

Figure 2: SBTN Data Integration Architecture

This architecture demonstrates how diverse data streams converge to support science-based target setting, highlighting the central role of spatial analysis in translating corporate impacts into landscape-relevant conservation strategies. The integration of ecological models with corporate data enables companies to set targets that are both scientifically rigorous and operationally relevant.

Discussion: Research Gaps and Future Directions

Integration Challenges and Methodological Limitations

While SBTN provides a comprehensive framework for corporate nature target setting, several methodological challenges remain. First, the absence of dedicated biodiversity targets within SBTN's current framework represents a significant limitation for biodiversity-focused research [52]. Though biodiversity is integrated across other target types, researchers must supplement SBTN guidance with additional biodiversity assessment protocols.

Second, data availability remains a substantial barrier to implementation. The 2025 Biodiversity Finance Dashboard reveals that while 620 organizations representing $20 trillion in assets have committed to nature-related reporting, data on private finance flows and corporate impacts remains sparse [54]. This creates challenges for researchers seeking to establish baselines and track progress against targets.

Third, the tension between standardized global metrics and context-specific local indicators presents methodological challenges for landscape-level applications. While global frameworks promote comparability, local ecological relevance requires customized indicator sets that may limit cross-landscape comparisons.

Emerging Research Priorities

Several critical research priorities emerge from current SBTN implementation challenges:

- **Development of Biodiversity-Specific Target Methodologies**: SBTN acknowledges that further technical advances are needed to ensure full coverage for biodiversity [52]. Research is needed to develop target-setting methods that directly address biodiversity loss drivers beyond land and water impacts.
- **Integration of Traditional Ecological Knowledge**: Research should explore methodologies for incorporating Indigenous and local knowledge into corporate target setting, particularly given that $1.1 billion of bilateral biodiversity-related development finance was allocated to Indigenous Peoples and local communities in 2023 [54].
- **Advanced Spatial Modeling Techniques**: Research is needed to improve spatial modeling of cumulative impacts across corporate value chains, particularly for migratory species and cross-boundary ecosystem processes.

- **Corporate Biodiversity Finance Mechanisms**: Research should explore innovative finance mechanisms for biodiversity, building on findings that private finance for nature-based solutions saw a marked increase in 2023 [55], but remains insufficient to close the $700 billion annual biodiversity finance gap [54].

The Science Based Targets Network provides an essential methodological framework for translating planetary boundaries into actionable corporate targets. Its stepwise approach, integrating both corporate and landscape-level assessments, represents a significant advance in sustainability science. However, full implementation requires addressing persistent methodological challenges, particularly regarding biodiversity-specific targets, data integration, and context-specific adaptation.

For researchers, SBTN offers a standardized platform for testing ecological hypotheses in corporate landscapes while contributing to global biodiversity monitoring networks. The framework's alignment with international policy targets, including the Kunming-Montreal Global Biodiversity Framework, ensures its continuing relevance for both scientific research and corporate sustainability practice. As methodological refinements continue, SBTN is poised to become an increasingly important tool for coordinating corporate action toward nature-positive outcomes.

Navigating Research Complexities: Troubleshooting Scale, Data, and Anthropogenic Impact Challenges

Addressing the Spatial and Temporal Scale Mismatch in Biodiversity-Service Studies

The study of biodiversity and ecosystem services (BES) represents a critical frontier in ecological research, particularly within the context of increasing global change pressures. A fundamental challenge in this domain lies in the pervasive **mismatch between the scales** at which biodiversity is measured, the scales at which ecosystem functions operate, and the scales at which services are valued and managed. This spatial and temporal scale disconnect undermines both scientific understanding and effective policy implementation. Spatially, measurements might be taken at plot scales (e.g., $1m^2$) while the service of interest, such as water purification or crop pollination, operates at landscape or watershed scales (e.g., 100 km^2). Temporally, short-term research funding often limits studies to 1-3 year cycles, while many ecosystem services and biodiversity dynamics unfold over decadal or centennial timescales, such as forest succession or soil formation processes.

Understanding and mitigating this mismatch is not merely an academic exercise; it is essential for accurate assessment and forecasting required by global frameworks like the Kunming-Montreal Global Biodiversity Framework (KMGBF), which relies on robust, scalable data to track progress toward its 2030 targets [56]. The failure to account for scale can lead to erroneous conclusions, ineffective conservation interventions, and the misallocation of limited resources. This whitepaper provides a technical guide for researchers aiming to identify, quantify, and overcome these scale-related challenges in BES research, with a focus on practical methodologies, emerging data technologies, and standardized experimental protocols.

Theoretical Foundations: Biodiversity and Ecosystem Services in Context

Biodiversity, defined as the variability among living organisms from all sources, encompasses diversity within species, between species, and of ecosystems [57]. It underpins a vast array of **ecosystem services** that are critical to human well-being, including provisioning services (e.g., food, water, medicinal resources), regulating services (e.g., climate regulation, disease control, pollination), and cultural services. The connection between biodiversity and these services is often non-linear and context-dependent, influenced by abiotic factors and biological interactions across scales.

The **critical research area** is the quantification of the functional relationships between biodiversity components (e.g., species richness, functional diversity, phylogenetic diversity) and the magnitude, stability, and resilience of ecosystem service provision. However, this relationship is frequently obscured by scale. For instance, a high diversity of soil microbes in a single sample (alpha diversity) may not translate to reliable nutrient cycling at the farm scale if landscape-level homogenization reduces the beta diversity (turnover of species across space) of these microbial communities. Similarly, the temporal benefits of a diverse forest for carbon sequestration may be underestimated by a model calibrated on short-term growth data that fails to capture long-term compensatory dynamics among species.

Table 1: Key Definitions and Scale Considerations

Term	Definition	Typical Scale Challenges
Biodiversity	Variability among living organisms from all sources, including diversity within species, between species, and of ecosystems [57].	Measurements (e.g., plot samples) often miss landscape-level (gamma) diversity and temporal turnover.
Ecosystem Service	Benefits humans obtain from ecosystems, categorized as provisioning, regulating, cultural, and supporting.	Service delivery and valuation often occur at different spatial (e.g., parcel vs. watershed) and temporal (e.g., immediate vs. long-term) scales than ecological measurements.

Term	Definition	Typical Scale Challenges
Spatial Scale Mismatch	Disconnect between the spatial extent or grain of biodiversity data and the scale of ecosystem service production or use.	Occurs when local management decisions are made based on regional data, or vice-versa, leading to suboptimal outcomes.
Temporal Scale Mismatch	Disconnect between the timeframe of biodiversity studies and the timeframe of ecosystem service dynamics or decision-making cycles.	Arises when short-term studies (2-3 years) are used to predict long-term service provision (50+ years), missing lag effects and slow processes.
Scale Transcendence	The process of extrapolating or integrating data and understanding across multiple scales.	A core methodological challenge requiring robust modeling and data integration techniques.

Quantitative Frameworks for Multi-Scale Biodiversity Assessment

A primary tool for addressing scale mismatch is the application of robust quantitative frameworks that can handle biodiversity data across spatial and temporal dimensions. Traditional static measures like the Simpson's (`D = ∑n(n-1)/N(N-1)`) and Shannon's (`H' = -∑Pi ln Pi`) indices, while foundational, often fail to capture dynamic changes and are sensitive to sample size and dominant species, limiting their scalability [58].

Dynamic Biodiversity Assessment

To overcome the limitations of static indices, a **dynamic mathematical model** is required. Such a model should be designed to assess biodiversity over time, accounting for species dominance, sample size sensitivity, and the role of rare species. The development of such a model follows a systematic methodology [58]:

- **Scenario Identification:** Define real-world scenarios (e.g., species disappearance, population increase/decrease, introduction of new species).
- **Use Case Exploration:** Detail sub-cases for each scenario (e.g., the vanishing of a highly abundant species).
- **Synthetic Data Modeling:** Generate data that mirrors these natural settings across multiple time periods (T1, T2...Tn).
- **Model Application & Evaluation:** Test traditional and proposed models on the synthetic data to identify gaps and demonstrate efficacy.

This approach ensures that the resulting measure is sensitive to temporal changes that static indices miss, such as the complete loss of a keystone species or the invasion of a new competitor, providing a more accurate picture for forecasting ecosystem service trajectories.

The EBV Cube and Data Integration

A transformative development for spatial scaling is the concept of the **Essential Biodiversity Variable (EBV) Data Cube**. An EBV cube is a standardized, spatiotemporal data structure that integrates diverse biodiversity data (e.g., from species occurrence records, remote sensing, and ecological models) into a unified framework with consistent spatial grids and temporal periods [56]. This approach directly addresses spatial mismatch by enabling analysis at multiple, user-defined scales.

The workflow for utilizing EBV cubes involves:

- **Data Ingestion:** Incorporating data from global infrastructures like the Global Biodiversity Information Facility (GBIF) and the Ocean Biodiversity Information System (OBIS) [59].
- **Standardization & Cubing:** Processing data into a common format and aggregating it into the spatiotemporal cubes.
- **Scalable Analysis:** Using tools like the GBIF SQL Download API to efficiently query and analyze large-volume biodiversity data across extents from local to global [56].

Table 2: Comparison of Biodiversity Assessment Methods and Their Scalability

Method / Index	Formula / Basis	Spatial Scalability	Temporal Scalability	Key Limitation for BES Studies
Static Indices (e.g., Simpson, Shannon)	`D = ∑n(n-1)/N(N-1)`, `H' = -∑Pi ln Pi` [58]	Low; sensitive to sample grain and extent.	Low; single time point assessment.	Fails to capture dynamics of service-providing species over time.
Dynamic Proposed Model	A model accounting for dominance, rarity, and temporal change [58].	Moderate; requires time-series data across scales.	**High;** explicitly designed for multi-temporal assessment.	Addresses temporal mismatch by tracking changes driving service provision.
EBV Data Cubes	Spatiotemporal aggregation of standardized data [56].	**High;** enables analysis at any scale within the cube's dimensions.	**High;** built on time-series data.	Directly mitigates spatial mismatch; allows modeling of services at relevant management scales.

Experimental Design and Protocols for Scale-Aware BES Research

Robust experimental design is paramount for generating data that can transcend scales. Controlled experiments allow for the isolation of biodiversity effects on ecosystem functions, which underpin services.

A Protocol for Testing Biodiversity Effects on Ecosystem Processes

This protocol is adapted from experiments on decomposition and consumption rates in aquatic microcosms [60].

1. Objective: To determine the effect of detritivore species richness and identity on the rate of kelp detritus consumption, a regulating ecosystem service.

2. Experimental Design:

- **Design Type:** Fully factorial randomized block design.
- **Factors:**
  - **Richness:** Number of detritivore species per microcosm (1, 2, 3, 4 species).
  - **Identity/Composition:** Specific combination of species at each richness level.
- **Control:** Microcosms with no detritivores.
- **Replication:** High replication ($n \geq 5$) for each unique composition to distinguish richness effects from composition effects.

3. Materials and Setup:

- **Microcosms:** 60 cold-water tanks (e.g., 20L each) mimicking freshwater pond conditions.
- **Organisms:** Multiple species of intertidal beach detritivores (e.g., different amphipod and isopod species).
- **Resource:** A standardized mass of dried kelp added to each tank at the start.
- **Environmental Control:** Constant temperature and light cycles in a laboratory growth chamber.

4. Procedure:

- **Assembly:** Assign detritivore treatments randomly to tanks. For a tank with 3 species, add 4 individuals of each species (total 12 organisms) to control for total density.
- **Incubation:** Allow the experiment to run for a set period (e.g., 30 days).
- **Measurement:** At termination, collect, dry, and weigh the remaining kelp detritus.
- **Calculation:** Calculate the consumption rate as the mass of kelp lost per unit time.

5. Data Analysis:

- Use Analysis of Variance (ANOVA) with a family of expectation models to differentiate the effects of richness, species identity, and their interaction [60].
- Model the ecosystem process (consumption) as a function of:
  - **Richness:** A linear or saturating relationship.
  - **Composition:** Categorical differences between specific species assemblages.
- This design powerfully identifies whether biodiversity effects are due to richness itself or the presence of key species (the "driver" vs. "passenger" hypothesis).

The following diagram illustrates the logical relationships and workflow for analyzing the experimental data to isolate the effects of biodiversity.

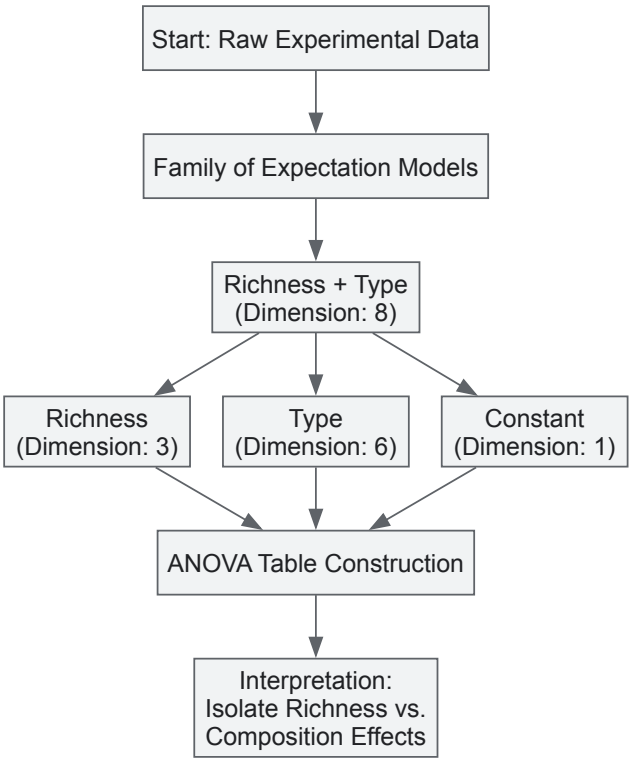

The Scientist's Toolkit: Key Reagents and Materials

Table 3: Essential Research Reagents and Materials for BES Experimental Studies

Item	Function / Application
Cold-Water Aquatic Microcosms	Controlled experimental units for mimicking pond/stream ecosystems to test effects of detritivore biodiversity on decomposition rates [60].
Standardized Detritus (e.g., Kelp)	A uniform, measurable resource to quantify the ecosystem process of consumption or decomposition across different biodiversity treatments [60].
Global Biodiversity Data Infrastructures (GBIF, OBIS)	Provide large-volume, open-access species occurrence data for building ecological models and populating EBV cubes across spatial scales [59] [56].
EBV Data Cube Platforms	Computational platforms for standardizing, aggregating, and analyzing spatiotemporal biodiversity data, enabling scalable analysis for policy reporting [56].
R/Python with Biodiversity Packages (e.g., `vegan`, `rgbif`)	Programming environments and specialized libraries for statistical analysis of ecological data, calculation of diversity indices, and access to API-based biodiversity data [61].
Madigngley General Ecosystem Model	A computational model for investigating joint effects of biodiversity and climate change on ecosystem functioning; used in advanced training for scenario-building [61].

Visualization and Workflow for Scalable Biodiversity Data Analysis

Effectively communicating complex, multi-scale data is a critical step in bridging the science-policy gap. Visualizing large-volume biodiversity data requires frameworks that are both technically robust and intuitively designed.

A proposed **client-server web-mapping framework** allows users to interact with large datasets, such as a global ant biodiversity database with over 1.7 million records, through an intuitive map interface [62]. The user can query and retrieve custom data on the fly, visualizing patterns of species diversity and biogeography at their chosen scale. The design of such applications is informed by usability engineering and cartography to ensure effectiveness, efficiency, and user satisfaction [62].

The general workflow for building and using such scalable data systems is outlined below, demonstrating how raw data is transformed into actionable information for decision-makers.

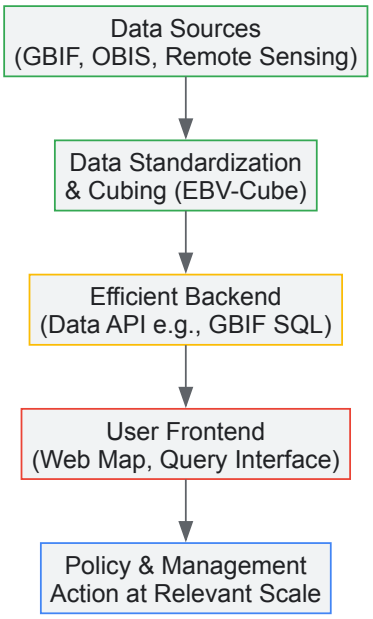

Addressing the spatial and temporal scale mismatch in biodiversity-ecosystem service studies is an imperative for both foundational ecological research and applied environmental management. The integration of **dynamic modeling approaches**, **scale-explicit experimental designs**, and **interoperable data infrastructures** like the EBV cube provides a powerful pathway forward. These methodologies enable researchers to quantify biodiversity and its functional outcomes in ways that are more directly relevant to the scales of ecosystem service provision and decision-making.

Future progress depends on continued investment in three critical areas:

- **Capacity Building:** Training ecologists in computational skills, data science, and the use of emerging tools and standards, as exemplified by the Biodiversity Modelling Summer School [61].
- **International Collaboration:** Strengthening networks like GEO BON, TDWG, GBIF, and OBIS to foster data sharing and standard development, as seen in the strategic alliance behind the "Living Data 2025" conference [59] [56].
- **Policy-Science Integration:** Encouraging the co-design of research questions and tools with policymakers to ensure that biodiversity science can effectively support global goals, such as those in the KMGBF, with rapid, repeatable, and reactive data workflows [56].

By adopting the frameworks and protocols outlined in this guide, researchers can significantly enhance the rigor, relevance, and impact of their work, ultimately contributing to the conservation and restoration of the biodiversity that underpins all life on Earth.

In the critical field of biodiversity and ecosystem services research, robust data is the foundation for effective conservation policy and understanding nature's contributions to people. However, this research domain faces a fundamental challenge: **data scarcity** and **incompleteness** often undermine the development of accurate models and equitable solutions. These data limitations are not merely technical constraints but arise from and perpetuate deep-seated **systemic biases**, affecting which elements of biodiversity are studied and how ecosystem services are valued [63] [64]. The concentration of research in high-income countries, for instance, can lead to significant gaps in understanding and protecting the biodiversity of underrepresented regions [63] [65]. Simultaneously, the emergence of artificial intelligence (AI) in related fields like healthcare illustrates a parallel risk: algorithmic models trained on non-representative data can misdiagnose conditions in minority populations, creating fatal outcomes and amplifying existing health inequalities [66] [65]. This paper examines the intertwined challenges of data scarcity and bias within biodiversity and ecosystem services research. It further explores the application of **FAIR Data Principles** (Findable, Accessible, Interoperable, and Reusable) as a transformative framework for creating a more inclusive, representative, and powerful data infrastructure to support critical global conservation goals [67].

Understanding Data Scarcity and Bias in Research

Data scarcity in biodiversity and ecosystem services is not a simple absence of data but a complex issue of missing perspectives and uneven representation. This scarcity can be dissected along several axes, including geographic, taxonomic, and conceptual biases.

Geographic and Taxonomic Imbalances

Research efforts are not distributed evenly across the globe. Analyses of peer-reviewed literature reveal a strong geographic bias, with studies predominantly driven by and focused on high-income nations [63] [65]. One analysis of over 15,000 publications found that research is concentrated in specific economic and policy contexts, while vast areas, particularly resource-limited settings, remain understudied [63]. This creates a significant

challenge, as AI systems and conservation policies developed from geographically skewed data may perform poorly or cause unintended harm when applied to regions with distinct ecological conditions, endemic species, or unique socio-economic drivers [65].

Similarly, taxonomic bias is evident. Certain charismatic or economically significant species and ecosystems receive disproportionate attention, while others crucial for ecosystem functioning are neglected. This extends to the very concepts used in research; for example, topics with direct human, policy, or economic dimensions (e.g., "Economics & Conservation") often attract more research and higher citation rates than those focused on fundamental biodiversity science [63].

Table 1: Research Topics in Biodiversity and Ecosystem Services (2000-2020). Adapted from [63].

Research Topic	Relative Performance & Notes
Research & Policy	High number of publications and citation rate.
Urban and Spatial Planning	Performance varies by indicator.
Economics & Conservation	Performance varies by indicator.
Diversity & Plants	A 'pure' biodiversity science topic.
Species & Climate change	A 'pure' biodiversity science topic.
Agriculture	Dominates over forestry and fishery sectors.
Conservation and Distribution	A 'pure' biodiversity science topic.
Carbon & Soil & Forestry	-
Hydro-& Microbiology	-

Algorithmic Amplification of Bias

The problem of biased data is critically amplified by technology. In healthcare, a field facing analogous challenges, AI models trained on datasets where vulnerable groups are absent or misrepresented learn to recognize patterns specific only to the majority groups [66]. For instance, convolutional neural networks for skin lesion classification, often trained predominantly on images of light skin, can have **halved diagnostic accuracy** when applied to patients with darker skin [66]. This is not a mere technical failure; it reflects and reinforces a societal bias, as Black patients already have a lower 5-year survival rate for melanoma [66]. The core issue is that an algorithm cannot accurately interpret data from a population it has never encountered during training. In biodiversity terms, a model trained to recognize ecosystem services in temperate forests may fail entirely in a savannah or mangrove ecosystem, leading to poor conservation outcomes.

The FAIR Data Principles as a Framework for Equity

The FAIR Guiding Principles were developed to overcome data scarcity and inefficiency by enhancing the support of machine-assisted discovery and reuse of digital assets [67]. When applied conscientiously, these principles can directly address the biases discussed above by promoting a more inclusive and representative data ecosystem.

The Principles Explained

The FAIR principles emphasize **machine-actionability**—the capacity of computational systems to find and use data with minimal human intervention—which is essential for handling the volume and complexity of modern scientific data [67].

- **Findable:** Metadata and data must be easy to locate by both humans and computers. This is the first step toward inclusivity, ensuring that datasets from underrepresented regions or on neglected taxa are not siloed and forgotten. Key to this is assigning persistent, unique identifiers and rich, descriptive metadata [67].
- **Accessible:** Once found, users need clear instructions on how to access the data and any underlying infrastructure. This does not necessarily mean "open for all"; access can be authenticated and authorized, but the process must be transparent [67].
- **Interoperable:** Data must be able to be integrated with other datasets and applications. This requires the use of shared, formal languages and vocabularies, which is crucial for combining disparate datasets to create a more complete and globally representative picture of biodiversity [67].
- **Reusable:** The ultimate goal of FAIR is to optimize the reuse of data. This depends on the richness of the metadata, which must accurately and thoroughly describe the data's provenance, context, and limitations, allowing it to be replicated or combined in new settings [67].

Implementing FAIR to Mitigate Bias

Implementing FAIR is a practical strategy for mitigating dataset bias. **Participatory science** and **participant-centered development**, as recommended in AI for healthcare, are equally applicable here [66]. This involves engaging local communities and researchers from underrepresented regions in the data collection and curation process. Their input ensures that datasets reflect local ecological knowledge and context, making the resulting data truly interoperable and reusable for local and global challenges. Furthermore, **responsible data sharing** supported by **inclusive data standards** ensures that data from diverse sources can be meaningfully integrated, breaking down the geographic and taxonomic silos that perpetuate scarcity [66].

Methodologies and Experimental Approaches

Addressing data scarcity requires innovative methodologies that can extract maximum insight from existing, often imperfect, data sources. Text mining and topic modelling have emerged as powerful tools for identifying research trends and gaps at a scale that traditional systematic reviews cannot match.

Text Mining and Topic Modelling for Gap Analysis

This methodology allows researchers to analyze vast corpora of scientific literature to understand the evolution of scientific interest and identify "hot and cold" topics [63].

Table 2: Research Reagent Solutions for Large-Scale Literature Analysis.

Tool / Resource	Function in Analysis
Web of Science (WOS)	A primary database for exporting peer-reviewed literature entries based on specific search queries.
R statistical software	The core programming environment for executing the data analysis pipeline.
`dplyr` & `tidytext` R packages	Used to convert and "tidy" the dataset into a structure with one token (e.g., word) per row for analysis.
`tm` R package	Used for text mining operations, including the removal of common stopwords (e.g., "the," "of") to isolate meaningful terms.
`topicmodels` R package	Implements Latent Dirichlet Allocation (LDA) for topic modelling, reducing the corpus of documents to a set of core topics.

The experimental protocol for such an analysis involves several key stages [63]:

- **Literature Search:** A comprehensive search of a database like Web of Science is conducted using a defined search string (e.g., for biodiversity and ecosystem services).
- **Data Cleansing:** The collected abstracts are converted into a "tidy" format and cleansed of common words and search tags.
- **Topic Modelling:** An LDA algorithm is applied to the cleansed data to identify the main latent topics within the corpus. The number of topics is predetermined by the researcher.
- **Trend Analysis:** The prevalence and temporal trends of these topics are analyzed to identify growing, stable, or declining research areas, thereby revealing potential gaps.

The workflow for this methodology is outlined in the diagram below.

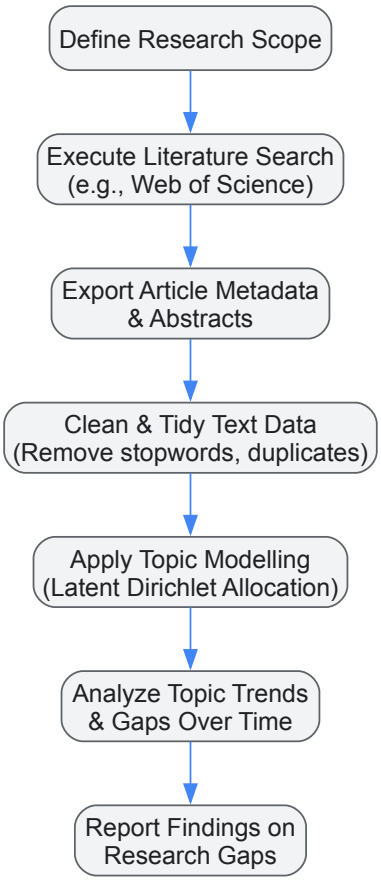

A Toolkit for Equitable and Robust Research

Building a more resilient and equitable data infrastructure requires a combination of conceptual frameworks, technical tools, and collaborative practices. The following table details key resources and strategies for researchers.

Table 3: The Scientist's Toolkit for Overcoming Data Scarcity and Bias.

Category / Solution	Function & Role in Mitigating Bias
FAIR Data Principles [67]	A conceptual framework for creating data that is Findable, Accessible, Interoperable, and Reusable, forming the foundation for inclusive data ecosystems.
Open Science Platforms [66] [65]	Virtual hubs and repositories for sharing educational resources, bias mitigation strategies, and data, fostering international collaboration.
Participatory Science [66]	A contributor-driven model that involves local experts and communities in data creation, ensuring datasets reflect diverse perspectives and knowledge.
Text Mining & Topic Modelling [63]	A methodological approach for quantitatively identifying research trends, gaps, and biases in large bodies of scientific literature.
Inclusive Data Standards [66]	Standards that support interoperability between datasets from diverse sources and contexts, enabling a more complete global picture.
Bias Mitigation Toolkits [65]	Open-source software and guidelines for assessing and reducing algorithmic fairness in model development, from pre- to post-processing.

The strategic application of these tools throughout the research lifecycle, from data collection to model deployment, is critical. The following diagram visualizes this integrated workflow for building equitable AI tools in a scientific context, illustrating how mitigating bias is not a single step but a continuous process.

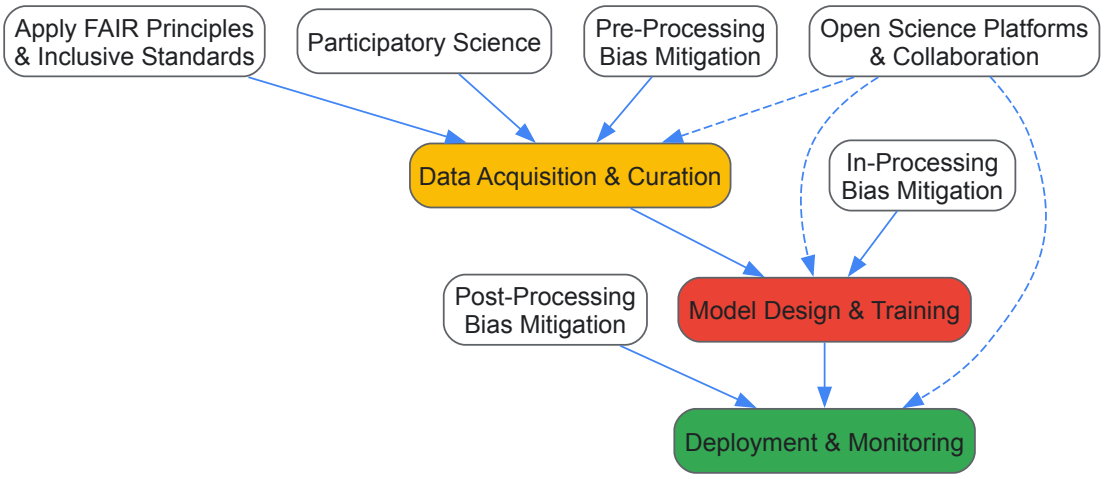

Overcoming data scarcity in biodiversity and ecosystem services research is a complex but surmountable challenge that requires a multifaceted approach. The issues of geographic imbalance, taxonomic bias, and the subsequent algorithmic amplification of these inequalities pose a significant threat to the development of effective and just conservation policies. However, by systematically adopting the **FAIR Data Principles**, researchers can build a more robust, inclusive, and interconnected data infrastructure. Coupled with innovative methodologies like **text mining** and a commitment to **participatory science**, the scientific community can identify critical gaps, mitigate embedded biases, and generate data that truly represents the world's ecological and social diversity. The path forward requires a concerted effort to view data not as an end in itself, but as a foundational tool for achieving equity and sustainability in our relationship with the natural world.

Anthropogenic modification of landscapes represents a primary driver of global ecological change, directly affecting biodiversity, ecosystem services, and planetary health. Understanding and quantifying these impacts is critical for informing effective conservation strategies and sustainable development policies, particularly within the context of international frameworks like the Kunming-Montreal Global Biodiversity Framework [2]. The transformation of terrestrial ecosystems through human activities such as agriculture, urbanization, and industrial development has accelerated dramatically in recent decades, with recent data indicating that approximately 43% of terrestrial lands still maintain very low levels of modification, while 27%, 20%, and 10% exhibit low, moderate, and high modification levels, respectively [68]. This technical guide provides researchers and scientists with comprehensive methodologies for quantifying ecological impacts across this modification gradient, with specific applications for biodiversity conservation and ecosystem service management.

Quantitative Frameworks for Assessing Landscape Modification

The Human Modification Framework

The Human Modification (HM) framework provides a standardized approach for quantifying cumulative human impacts across terrestrial ecosystems. This methodology quantifies the degree to which human activities have altered natural systems through the integration of multiple threat datasets [68]. The core equation calculates the degree of human modification (H) for each threat (t) as:

$$H_t = F_t \times I_t$$

Where F_t represents the proportion of a pixel occupied by threat t (spatial footprint), and I_t represents the intensity of that threat [68]. Cumulative human modification across multiple threats is calculated using a fuzzy sum statistic:

$$H = 1 - \Pi(1 - H_t)$$

This approach minimizes confounding effects from double-counting similar datasets while providing values that range from unmodified (0.0) to highly modified (1.0) [68].

Table 1: Global Terrestrial Modification Status (circa 2022)

Modification Level	Percentage of Terrestrial Lands	Estimated Area (M km²)
Very Low	43%	~66
Low	27%	~41
Moderate	20%	~31
High	10%	~15

Source: Adapted from [68]

Land Use and Land Cover Change Assessment

Land use and land cover (LULC) change analysis provides critical insights into landscape transformation dynamics. Recent research on the Mashi Dam command area in Rajasthan, India, demonstrates quantitative methods for tracking these changes over time, revealing a 4.75% decline in cropland between 2008-2018, with concurrent expansion of built-up areas, water bodies, and barren land [69]. Projections indicate continued reduction in cropland through 2041, highlighting the persistent pressure on agricultural resources from anthropogenic modification.

Table 2: Biodiversity Monitoring Priorities in Modified Landscapes

Monitoring Priority	Key Monitoring Parameters	Policy Relevance
Common Species	Population trends of widespread species using standardized multi-taxa approaches	CBD Targets 4, 12
Habitats	Terrestrial, freshwater, and marine habitat extent and condition	CBD Targets 1, 2, 3
Urban Biodiversity	Species richness and ecosystem function in urban, peri-urban, and urban-fluvial environments	CBD Target 12, EU Nature Restoration Law
Soil Biodiversity	Micro-organisms and soil fauna from bacteria to earthworms and fungi	CBD Targets 2, 10
Genetic Composition	Intraspecific genetic diversity, differentiation, inbreeding, and effective population sizes	CBD Target 4

Source: Adapted from [2]

Experimental Protocols and Methodologies

Remote Sensing and Geospatial Analysis

Remote sensing technologies provide foundational data for quantifying landscape modification. The following protocol outlines a standardized approach for LULC change detection:

Data Acquisition and Pre-processing

- Utilize multi-temporal satellite imagery (Landsat 5, LISS-3, Sentinel 2A MSI recommended)
- Select imagery with consistent seasonal timing to minimize phenological variation
- Apply radiometric and atmospheric corrections to standardize reflectance values
- Georeference all images to a common coordinate system and spatial resolution

Classification and Change Detection

- Employ supervised classification algorithms (Maximum Likelihood, Random Forest, Support Vector Machines)
- Define distinct LULC classes relevant to study objectives (cropland, barren land, built-up, scrub land, water bodies)
- Validate classified maps with ground-truth data through confusion matrices and accuracy assessment
- Calculate change matrices to quantify transitions between LULC classes across time periods

Projection Modeling

- Implement Land Change Modeler or similar tools to project future LULC scenarios
- Calibrate models with historical transition probabilities and driver variables
- Validate model performance by predicting known past states and comparing with observed data
- Generate future scenarios under different policy or climate assumptions [69]

Field Validation Protocols

Ground-truthing remains essential for validating remote sensing analyses. Standardized field protocols include:

Stratified Random Sampling

- Stratify study area by LULC classes and modification intensity levels
- Establish minimum of 50 validation points per stratum using random coordinates
- Navigate to each point with high-precision GPS (≤3m accuracy)
- Record dominant land cover, evidence of human modification, and photographic documentation

Biodiversity Assessment

- Conduct transect surveys for flora and fauna following established protocols
- Deploy camera traps, acoustic monitors, or other passive sampling equipment
- Collect soil samples for analysis of microbial communities and physicochemical properties
- Document presence of invasive alien species and wildlife disease indicators [2]

Visualization and Analytical Workflows

Landscape Modification Assessment Workflow

The following diagram illustrates the integrated workflow for quantifying impacts in anthropogenically modified landscapes:

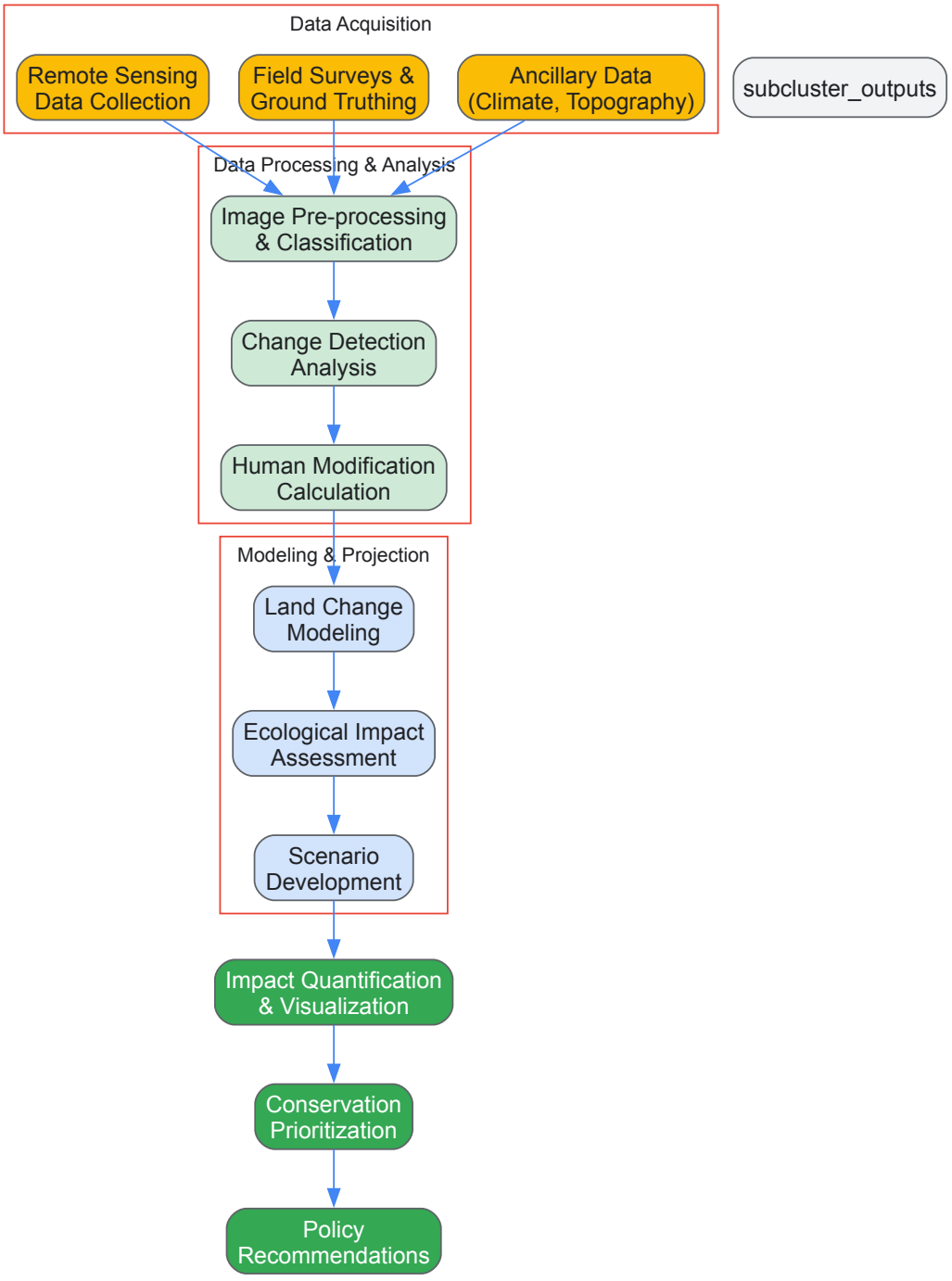

Biodiversity Monitoring Integration Framework

The following diagram illustrates the integration of biodiversity monitoring with landscape modification assessment:

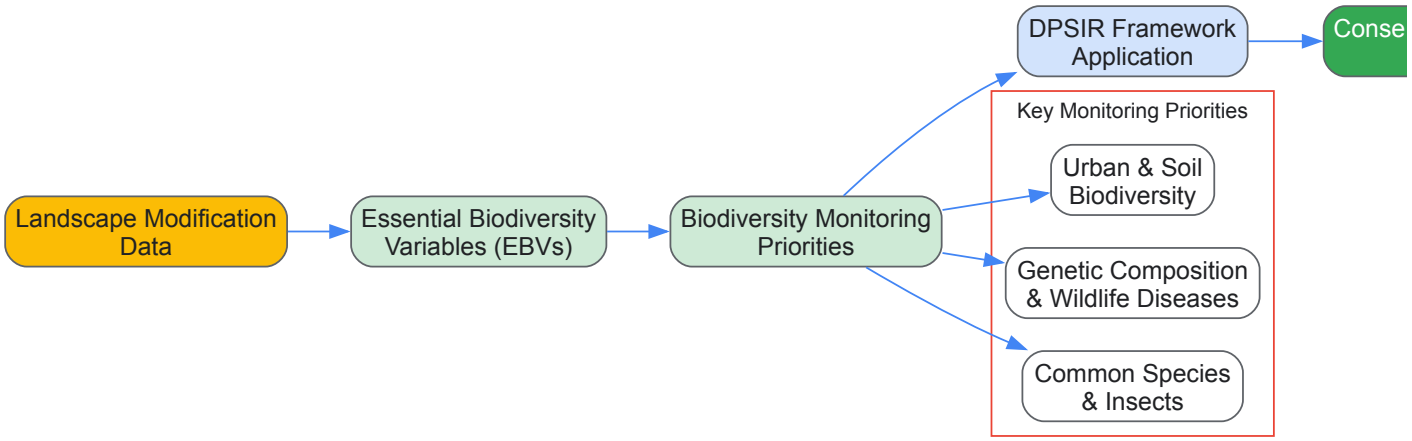

Table 3: Research Reagent Solutions for Landscape Impact Studies

Research Tool Category	Specific Solutions	Function and Application
Remote Sensing Platforms	Landsat Series, Sentinel-2, LISS-3	Multi-spectral earth observation for land cover mapping and change detection [69]
Geospatial Analysis Software	ArcGIS, QGIS, GRASS GIS	Spatial data processing, analysis, and visualization
Change Detection Algorithms	Land Change Modeler, Random Forest Classifier	Quantifying land use transitions and projecting future scenarios [69]
Biodiversity Monitoring Tools	Camera traps, acoustic sensors, eDNA sampling	Species detection and population monitoring across modification gradients [2]
Genetic Analysis Platforms	Next-generation sequencers, microsatellite markers	Assessing genetic diversity and population structure in modified landscapes [2]
Soil Assessment Kits	Microbial DNA extraction kits, soil respiration chambers	Analyzing soil biodiversity and biogeochemical processes [2]
Climate Data Sources	WorldClim, CHELSA, TerraClimate	Providing climate variables for species distribution modeling

Quantifying impacts in anthropogenically modified landscapes requires integrated approaches that combine geospatial analysis, field validation, and biodiversity assessment. The frameworks and methodologies presented in this technical guide provide researchers with robust tools for assessing the extent and ecological consequences of human modification across terrestrial ecosystems. As global assessments indicate that 24% of terrestrial ecosystems experienced increased modification from 1990 to 2020, with nearly two-thirds of biomes and half of ecoregions currently moderately modified, these quantification approaches become increasingly critical for informing conservation interventions under international biodiversity commitments [68]. The standardized protocols for monitoring biodiversity priorities—from genetic composition to ecosystem extent—enable transnational cooperation and evidence-based conservation strategies essential for addressing the ongoing transformation of Earth's landscapes.

Resolving Trade-offs and Synergies in Ecosystem Service Bundles

Ecosystem services (ES), the direct and indirect contributions of ecosystems to human well-being, rarely function in isolation [70]. They form complex interconnected bundles where the enhancement of one service can lead to the enhancement (synergy) or reduction (trade-off) of others [71]. Understanding and managing these relationships is a critical research area within biodiversity and ecosystem science, essential for informing effective environmental policy and ecosystem-based management [71] [70]. The resolution of these trade-offs and synergies is paramount for achieving sustainable outcomes in the face of pressing global challenges like climate change and land-use change [72]. This guide provides a technical framework for researchers to identify, analyze, and resolve these complex ES relationships, with a focus on empirical methodologies and practical applications.

Theoretical Foundations: Drivers and Mechanistic Pathways

The relationships between ecosystem services are not random but arise from specific drivers of change and the mechanistic pathways through which these drivers operate [71]. **Drivers** can be exogenous or endogenous, including policy interventions, climate change, or technological advances. **Mechanisms** are the biotic, abiotic, socio-economic, and cultural processes that link these drivers to the provision of ecosystem services [71].

A foundational framework by Bennett et al. (2009) outlines four core mechanistic pathways, as illustrated below.

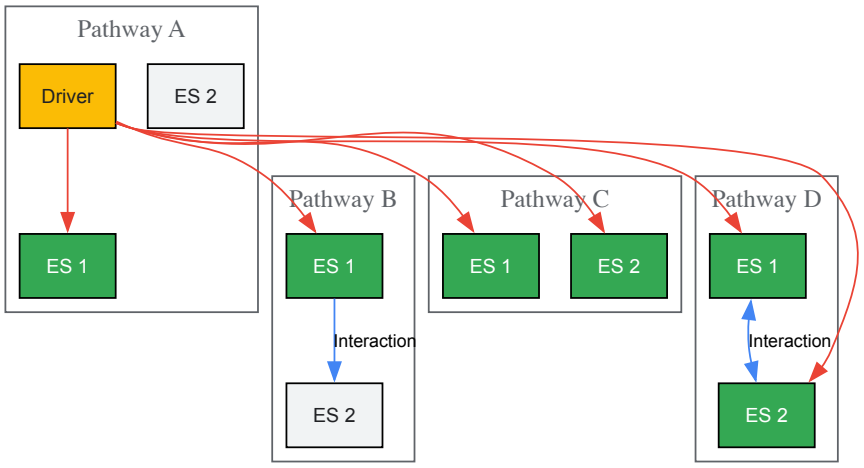

Figure 1: Mechanistic pathways linking drivers to ecosystem service relationships. Green ES nodes indicate a service is directly enhanced by the driver. Pathway A: Driver affects one service with no effect on another. Pathway B: Driver affects one service, which then interacts with another. Pathway C: Driver independently affects two services. Pathway D: Driver affects two services that also interact with each other. Adapted from Bennett et al. (2009) [71].

Failure to account for these specific drivers and mechanisms can result in poorly informed management decisions. For instance, a reforestation policy on abandoned cropland (Pathway A) may enhance carbon sequestration without affecting food production, whereas a policy that converts active cropland to forest (Pathway B) creates a direct trade-off between the same two services [71]. Explicitly identifying the operative pathway is therefore the first critical step in resolving ES bundles.

Methodological Framework for Identifying ES Relationships

A robust assessment of ES trade-offs and synergies requires a structured methodological approach. The following workflow provides a standardized protocol for empirical research.

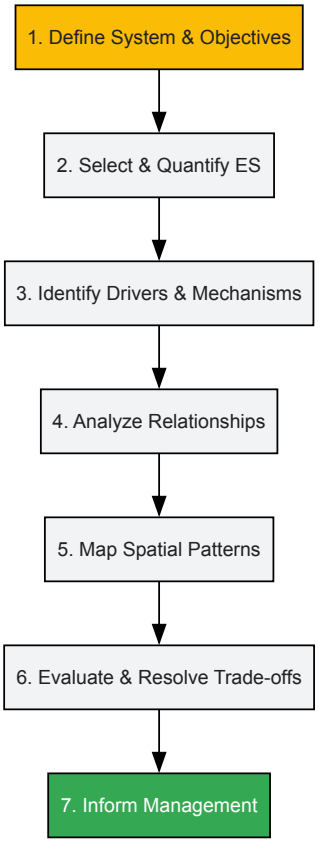

Figure 2: Workflow for analyzing ecosystem service trade-offs and synergies.

Experimental Protocols and Data Collection

Protocol 1: Systematic Literature Review for Meta-Analysis

This protocol is ideal for establishing a broad understanding of known ES relationships and their associated drivers [71].

- **Objective:** To systematically identify, evaluate, and synthesize all relevant studies documenting quantitative relationships between targeted ecosystem services.
- **Procedure:**
  - **Search Strategy:** Use databases like ISI Web of Knowledge with a structured search string (e.g., `"ecosystem service*" AND ((synerg*) OR (trade-off* OR trade off* OR tradeoff*))`) [71].
  - **Screening:** Implement a two-step screening process. First, screen abstracts for relevancy (e.g., English language, empirical data, mentions specific ES relationships). Second, conduct a full-text review of retained articles against inclusion criteria [71].
  - **Data Extraction:** From each included study, extract data using predefined criteria. The table below outlines key data categories.
  - **Synthesis:** Analyze the extracted data to calculate the frequency of trade-offs versus synergies for given ES pairs and identify the most commonly cited drivers and mechanisms.

Table 1: Data extraction template for systematic literature reviews on ES relationships.

Category	Description	Data Type
Study Context	Geographic location, biome, spatial/temporal scale.	Categorical, Text
Ecosystem Services	The specific pair (or bundle) of services studied (e.g., NPP vs. Water Yield).	Categorical
Quantified Values	Raw or standardized values for each ES (e.g., Int$/ha/year, biophysical units).	Numerical
Relationship	Reported synergy, trade-off, or non-significant relationship.	Categorical
Drivers Identified	Primary driver of the relationship (e.g., land-use policy, climate change).	Categorical, Text
Mechanisms Proposed	The biotic/abiotic/socio-economic process linking driver to ES outcome.	Text

Protocol 2: Spatial Scenario Modeling for Land-Use Change

This protocol uses predictive models to explore future ES relationships under different policy or environmental scenarios [73].

- **Objective:** To project and compare the provision of key ecosystem services under different future land-use and climate scenarios.
- **Procedure:**
  - **Scenario Definition:** Develop distinct, plausible future scenarios (e.g., "Urban Development," "Vegetation Recovery," "Grain for Grass Program") [73].
  - **Land-Use Modeling:** Use a model like the Dyna-CLUE (Conversion of Land Use and its Effects) to simulate spatial land-use changes for each scenario for a target year (e.g., 2030) based on driver demands and spatial policies.
  - **ES Quantification:** Employ biophysical models (e.g., InVEST, ARIES) to map and quantify the supply of multiple ES (e.g., NPP, soil conservation, water yield) under each land-use scenario.
  - **Comparative Analysis:** Calculate the percentage change for each ES between scenarios. For example, a "Vegetation Recovery" scenario might increase NPP and soil conservation but decrease water yield compared to a "Business-as-Usual" scenario, revealing key trade-offs [73].

Analytical Approaches and Data Synthesis

Once data is collected, robust analytical techniques are required to identify and quantify relationships.

Quantitative Data and Comparative Analysis

Spatially explicit modeling, as outlined in Protocol 2, generates quantitative data that can be synthesized to reveal clear trade-offs and synergies. The table below exemplifies how results from multiple scenarios can be structured for comparison.

Table 2: Exemplary data from a land-use scenario analysis in a semiarid region, showing percentage change in key ES from a baseline. Data adapted from [73].

Ecosystem Service	Urban Development Scenario	Forest Protection Scenario	Grain for Grass Scenario	Vegetation Recovery Scenario
Net Primary Production (NPP)	-	+ (narrow)	+ 1.12%	+ 10.84%
Soil Conservation	-	-	+ 0.43%	+ 0.76%
Water Yield	-	-	-	- 6.56%
Sand Fixation	-	-	+ 3.96%	+ 4.35%
Surface Soil Moisture	-	+ (narrow)	-	+ 1.52%

The Scientist's Toolkit: Key Research Reagents and Models

This section details essential tools, datasets, and models required for conducting cutting-edge research on ES trade-offs and synergies.

Table 3: Essential research tools and resources for ecosystem service bundle analysis.

Tool/Resource Name	Type	Primary Function & Application
Dyna-CLUE Model	Spatial Model	Simulates future land-use change patterns based on demands and allocation rules [73].
InVEST Suite	Software Suite	Maps and values multiple ecosystem services (e.g., carbon, water, habitat) under different scenarios.
ESVD (Ecosystem Services Valuation Database)	Database	Provides a global synthesis of economic values for ES to support benefit transfer and meta-analysis [74].
Corporate Ecosystem Services Review (ESR)	Framework	A structured methodology for companies to identify risks and opportunities from ES dependencies and impacts [75].
Process-Based Models (BEF)	Theoretical Framework	Models that link Biodiversity, Ecosystem Functioning, and service provision; critical for understanding mechanisms [70].

Resolution and Management of Trade-offs

Identifying trade-offs is only productive if it leads to their resolution through informed management. The final step in the workflow involves evaluation and optimization.

A powerful approach is the development of a spatially explicit **ESs-Balanced Index** to guide land-use optimization [73]. This involves:

- **Comparing Scenarios:** Calculating the ESs-Balanced index for each land unit under different management scenarios.
- **Optimal Allocation:** Selecting the scenario that provides the most balanced enhancement of key services for each specific location. For instance, research in Inner Mongolia concluded that the "Vegetation Recovery" scenario was optimal for most western and southern sandy land areas, while "Grain for Grass" was only suitable for specific western farmlands [73].

Furthermore, embedding economic and socio-cultural valuation within management structures is critical. In the Pacific Island Countries and Territories, valuing tuna stocks and considering social objectives led to the adoption of more conservative fishing targets that doubled stock sizes compared to a maximum sustainable yield approach, creating a synergy between economic income, employment, and long-term stock sustainability [70].

Resolving trade-offs and synergies in ecosystem service bundles is a complex but essential endeavor. This guide has underscored that success hinges on moving beyond simple correlation analyses to a mechanistic understanding of the drivers and pathways that shape these relationships [71]. By employing the detailed experimental protocols, analytical frameworks, and tools outlined herein, researchers can generate the robust, predictive evidence needed to guide policy and management. This will enable society to effectively navigate the challenging decisions involved in managing our natural capital for a sustainable future.

The field of ecological restoration is undergoing a fundamental paradigm shift, moving from the limited ambition of "no-net-loss" to the ambitious, regenerative goal of achieving **Nature Positive** outcomes. This evolution responds directly to the escalating biodiversity crisis, where species are disappearing at rates unparalleled in human history [76]. The concept of Nature Positive represents a transformative approach in our relationship with the natural world, emphasizing not only the preservation of existing ecosystems but also the **active restoration and regeneration** of degraded landscapes [76]. Where no-net-loss strategies often focus on compensating for losses, the Nature Positive framework demands **net-positive outcomes** that actively enhance natural capital for future generations.

This shift has been catalyzed by international policy frameworks, particularly the **Kunming-Montreal Global Biodiversity Framework (GBF)**, which adopted the Nature Positive mission through its overarching goal to "halt and reverse nature loss by 2030 on a 2020 baseline, and achieve full recovery by 2050" [76]. The GBF's specific targets, including ensuring that **at least 30% of degraded ecosystems** are under effective restoration by 2030 (Target 2), have created an urgent need for more sophisticated restoration methodologies and verification systems [77]. This technical guide addresses this need by providing researchers and practitioners with advanced frameworks, monitoring protocols, and assessment methodologies to optimize ecological restoration within this new paradigm.

Core Principles of the Nature Positive Framework

The Nature Positive framework operates on several foundational principles that distinguish it from traditional conservation approaches. At its core, Nature Positive represents a **comprehensive, measurable global goal** for biodiversity that serves as a sister ambition to the climate goal of limiting global warming [76]. This framework emphasizes the protection of remaining intact ecosystems while simultaneously improving everything else, acknowledging that some losses may be unavoidable but must be more than compensated by gains elsewhere [76].

Quantitative Foundation and Metrics

Central to the Nature Positive approach is its foundation in **quantifiable, science-based metrics** that track progress across three fundamental categories:

- **Species metrics**: Tracking richness, distribution, abundance, and risk of extinction
- **Ecosystem metrics**: Monitoring extent, integrity, connectivity, and condition
- **Natural processes metrics**: Documenting hydrological activity, carbon sequestration, and nutrient cycling [76]

These metrics enable the development of **standardized, quantifiable units** of measurable conservation outcomes, such as biodiversity credits, which can be used to evaluate how ecological restoration activities contribute synergistically to achieving GBF biodiversity targets [78]. The framework recognizes that to be fully realized, Nature Positive must be combined with development and climate goals as **equitable, net-zero and nature-positive** [76].

Advanced Monitoring Frameworks and Priority Systems

Effective implementation of Nature Positive restoration requires sophisticated monitoring systems that can track progress across multiple dimensions of biodiversity. The **Biodiversa+ partnership** has identified 12 refined monitoring priorities for the 2025-2028 period that represent urgent gaps where enhanced capacity and transnational cooperation can add significant value [2]. These priorities guide Biodiversa+ activities, including transnational initiatives, pilot projects, and support for national monitoring efforts.

Standardized Monitoring Approaches

Biodiversa+ promotes the use of **Essential Biodiversity Variables (EBVs)** as a common, interoperable framework for data collection and reporting, and recognizes the **Driver-Pressure-State-Impact-Response (DPSIR)** framework as a tool to address broader socio-ecological dynamics [2]. This standardized approach is scale-agnostic and spans terrestrial, freshwater, and marine realms, enabling consistent data collection that supports transnational assessment and policy implementation.

The genetic Essential Biodiversity Variables (EBVs), introduced by the Group on Earth Observations Biodiversity Observation Network (GEO BON), provide standardized and scalable metrics that track biodiversity changes across space and time [11]. These genetic indicators are particularly crucial as they determine a species' capacity to adapt, persist, and recover from environmental pressures [11].

Table 1: Biodiversity Monitoring Priorities (2025-2028)

Priority Category	Monitoring Focus	Policy Relevance
Genetic Composition	Intraspecific genetic diversity, differentiation, inbreeding, effective population sizes	GBF Target 4; Species resilience
Habitats	Terrestrial, freshwater, and marine habitats and ecosystems	GBF Target 2; 30x30 initiative
Common Species	Widespread biodiversity using standardized multi-taxa approaches	Ecosystem functioning and services
Insects	Insect biodiversity, including pollinators	GBF Target 7; Pollination services
Soil Biodiversity	Micro-organisms and soil fauna, from bacteria to earthworms and fungi	GBF Target 2; Soil health and fertility
Protected Areas	Biodiversity within protected areas, including Natura 2000 sites	GBF Target 3; Conservation effectiveness
Urban Biodiversity	Biodiversity in urban, peri-urban, and urban-fluvial environments	GBF Target 12; Human well-being

Quantitative Assessment of Restoration Outcomes

Robust quantitative assessment is fundamental to verifying Nature Positive outcomes. Recent research has demonstrated innovative approaches to measuring the effectiveness and economic dimensions of ecological restoration.

Biodiversity Credit Accounting

A groundbreaking study employing biodiversity credit accounting methods revealed that across 157 ecological restoration projects, an estimated **210,709 biodiversity credits** are anticipated [78]. These credits, defined as standardized, quantifiable units of measurable conservation outcomes, provide a mechanism for evaluating how restoration activities contribute to achieving GBF targets. The distribution of these credits varied by project type:

- **Greenway-oriented projects**: 69% of total credits
- **River-oriented projects**: 18% of total credits
- **Lake-oriented projects**: 13% of total credits [78]

The economic analysis demonstrated that at the average credit transaction price in 2023, the total estimated biodiversity credits were valued at **2.78 to 5.70 billion Chinese Yuan (CNY)**, covering **8-17% of restoration costs**. Importantly, at the highest credit transaction price in 2023, credits could **fully cover restoration costs**, indicating the potential for sustainable financing mechanisms [78].

Natural Capital Accounting Framework

The **System of Environmental-Economic Accounting-Ecosystem Accounting (SEEA-EA)**, adopted by the United Nations as the international standard for natural capital accounting in 2021, provides a comprehensive framework to quantify changes in ecosystem condition following restoration [77]. A case study applying this framework to restoration of abandoned farmland demonstrated an **overall ecosystem condition improvement of 50%** following planting of native woody shrubs and trees, with specific improvements in:

- **Abiotic ecosystem condition**: 24% improvement
  - Soil physical condition: 15% improvement
  - Soil chemical condition: 9% improvement
- **Biotic ecosystem characteristics**: 26% improvement
  - Compositional state: 7% improvement
  - Structural state: 9% improvement
  - Functional state: 10% improvement [77]

Table 2: Ecosystem Condition Improvement Following Restoration

Ecosystem Component	Overall Improvement	Subcomponent Improvements
Abiotic Condition	24%	Soil physical: 15%Soil chemical: 9%
Biotic Characteristics	26%	Compositional: 7%Structural: 9%Functional: 10%
Total Ecosystem Condition	50%	

The SEEA-EA framework systematically arranges biophysical and economic measures to account for the extent and condition of stocks and flows within defined environmental units, providing a standardized approach applicable across ecosystems [77]. However, methodological refinements are needed to address challenges such as truncation of condition values, appropriate weighting of condition indicators, consideration of ecological thresholds, and selection of suitable ecosystem reference range values [77].

Incorporating Genetic Diversity in Restoration Planning

A critical advancement in optimization ecological restoration involves the integration of genetic diversity monitoring and forecasting. Despite its fundamental importance for species' adaptive potential, genetic diversity has historically been overlooked in biodiversity forecasting and restoration planning [11].

Genetic Diversity Forecasting Frameworks

The emerging field of **macrogenetics** examines genetic diversity at broad scales, establishing relationships between anthropogenic drivers and genetic indicators to enable predictions of environmental change impacts, even for species with limited genetic data [11]. This approach can be combined with complementary frameworks:

- **Mutation-Area Relationship (MAR)**: Analogous to the species-area relationship, MAR predicts genetic diversity loss with habitat reduction via a power law, offering a tractable framework for estimating genetic erosion [11]
- **Individual-Based Models (IBMs)**: These simulate how demographic and evolutionary processes shape genetic diversity within and between populations over time, providing depth and mechanistic insight at finer scales [11]

Together, these approaches represent critical tools in developing robust, multi-scale forecasts of genetic change essential for ensuring the long-term resilience of restored ecosystems.

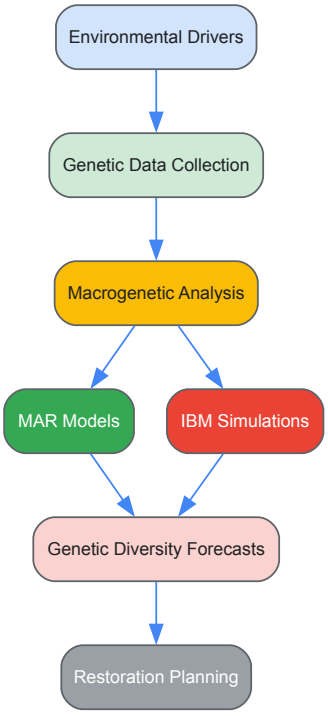

Genetic Forecasting Framework: This diagram illustrates the integrated approach to forecasting genetic diversity for restoration planning, combining macrogenetic analysis with complementary modeling approaches.

Experimental Protocols and Methodologies

Ecosystem Condition Assessment Protocol

The application of the SEEA-EA framework for assessing restoration outcomes involves a standardized protocol that can be adapted across ecosystem types [77]:

- **Reference Ecosystem Selection**: Identify both favorable (intact native ecosystem) and unfavorable (degraded starting point) reference ecosystems to establish benchmarking scales [77]
- **Variable Selection**: Choose ecological variables indicative of key barriers to ecosystem recovery and correlated with transition toward target state, removing redundant correlated variables [77]
- **Baseline Data Collection**: Collect comprehensive abiotic and biotic data before restoration initiation, including:
  - Soil physical and chemical properties
  - Species composition and richness
  - Ecosystem structure metrics
  - Functional traits and processes [77]
- **Monitoring Interval Establishment**: Establish appropriate monitoring intervals based on ecosystem type and restoration interventions, with more frequent initial assessments (e.g., annually for first 3-5 years) transitioning to longer intervals
- **Data Normalization and Scaling**: Convert raw data to dimensionless scores between 0-100% based on reference ecosystem ranges, addressing non-linear dynamics and ecological thresholds [77]
- **Indicator Weighting**: Apply ecological weighting to indicators based on their importance to ecosystem integrity and restoration goals, rather than default equal weighting [77]

- **Condition Account Calculation**: Compute ecosystem condition accounts using aggregated indicator scores, with and without truncation to identify potential methodological artifacts [77]

Biodiversity Credit Quantification Method

The biodiversity credit accounting method involves a multi-step process for standardizing conservation outcomes [78]:

- **Credit Definition**: Establish standardized, quantifiable units of measurable conservation outcomes specific to ecosystem types and restoration goals
- **Baseline Assessment**: Conduct comprehensive pre-restoration biodiversity assessments to establish reference conditions
- **Credit Projection Modeling**: Develop project-specific models to anticipate credit generation based on:
  - Restoration approach (active vs. passive)
  - Ecosystem type and degradation level
  - Landscape context and connectivity
  - Implementation quality and monitoring capacity
- **Economic Valuation**: Calculate credit values based on transaction prices and cost coverage potential, analyzing sensitivity to market fluctuations [78]
- **GBF Target Alignment**: Map credit contributions to specific GBF targets, particularly:
  - Target 2 (30% protection and restoration)
  - Target 11 (ecosystem functions restoration)
  - Target 12 (urban green spaces)
  - Target 14 (biodiversity integration)
  - Target 19 (biodiversity offsets) [78]

The Researcher's Toolkit: Essential Methodologies and Reagents

Table 3: Research Reagent Solutions for Advanced Restoration Ecology

Research Tool Category	Specific Applications	Technical Specifications
Genetic EBV Protocols	Monitoring intraspecific genetic diversity, differentiation, inbreeding, effective population sizes	Standardized scalable metrics; GEO BON specifications; FAIR data principles [11]
SEEA-EA Accounting Framework	Quantifying changes in ecosystem condition; Natural capital assessment	UN-adopted international standard; Abiotic and biotic indicator aggregation; Reference ecosystem benchmarking [77]
Biodiversity Credit Systems	Standardized, quantifiable units of measurable conservation outcomes; Restoration financing	Credit definition protocols; Baseline assessment methods; GBF target alignment matrices [78]
Macrogenetic Analysis Tools	Broad-scale genetic diversity assessment; Forecasting genetic responses to environmental change	Genetic marker selection protocols; Spatial analysis frameworks; Anthropogenic driver correlation methods [11]
DPSIR Framework Applications	Addressing socio-ecological dynamics in restoration planning; Policy integration	Driver-Pressure-State-Impact-Response analysis; Stakeholder engagement protocols; Policy effectiveness assessment [2]

Implementation Pathway for Nature Positive Restoration

Achieving Nature Positive outcomes requires a systematic approach to restoration planning and execution. The following workflow illustrates the critical pathway from assessment to verification:

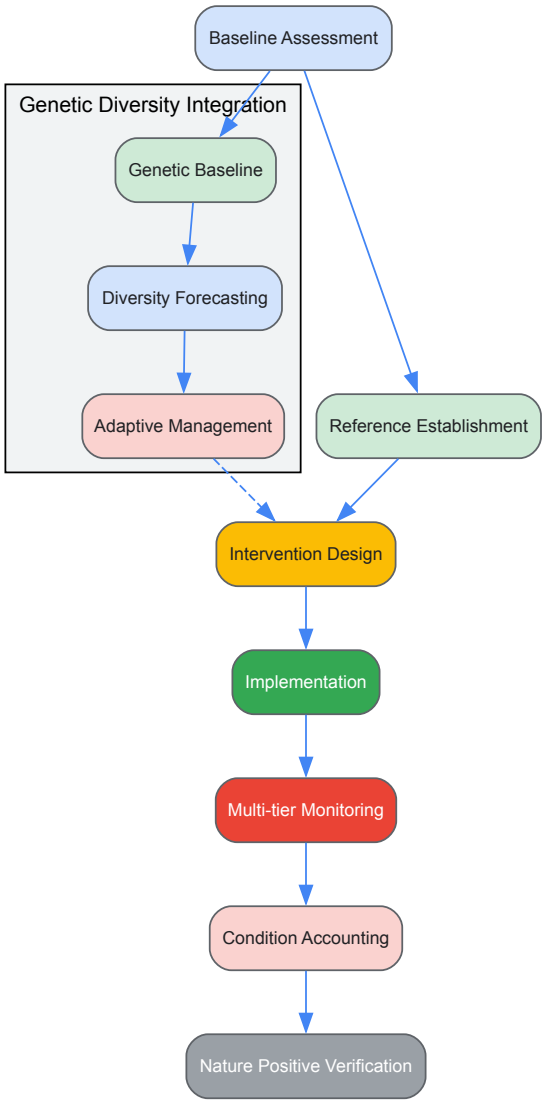

Nature Positive Restoration Pathway: This workflow outlines the systematic approach for achieving and verifying Nature Positive outcomes through ecological restoration, including critical genetic diversity integration.

The transition from no-net-loss to Nature Positive outcomes represents both a philosophical and methodological evolution in ecological restoration. This paradigm shift demands more ambitious targets, sophisticated monitoring frameworks, and robust verification systems that can account for complex ecological processes across genetic, species, and ecosystem levels. The methodologies outlined in this technical guide – including advanced biodiversity monitoring priorities, natural capital accounting, genetic diversity forecasting, and biodiversity credit systems – provide researchers and practitioners with the tools necessary to optimize restoration outcomes in line with global biodiversity commitments.

As the field continues to evolve, successful implementation will require continued refinement of assessment methodologies, expansion of genetic monitoring capabilities, and development of innovative financing mechanisms that recognize the full value of biodiversity and ecosystem services. By adopting these advanced approaches, the restoration community can move beyond compensatory conservation toward genuinely regenerative outcomes that address the escalating biodiversity crisis while supporting human well-being and sustainable development.

Validating Science and Comparing Frameworks: From Policy Evaluation to Clinical Translation

The Kunming-Montreal Global Biodiversity Framework (GBF), adopted in 2022, represents a historic global commitment to address the accelerating biodiversity crisis through 23 action-oriented targets for 2030 [79]. This whitepaper provides a technical assessment of the progress toward these targets midway through the implementation decade, offering researchers and scientists a structured evaluation of current achievements, methodological approaches for monitoring, and critical remaining gaps. With the planet facing interdependent emergencies of biodiversity loss and climate change, and an estimated $58 trillion of global GDP moderately or highly dependent on nature, the successful implementation of the GBF carries significant ecological and socioeconomic implications [55].

The framework's ambitious targets require urgent action across multiple domains, including threat reduction, sustainable use of biodiversity, and the mobilization of financial resources and technical tools [80]. As we approach the 2030 deadline, this assessment aims to provide the research

community with a comprehensive evidence base to inform scientific priorities, methodological development, and policy support for the second half of the GBF implementation period.

Status of GBF 2030 Target Implementation

As of 2024, two years after the GBF's adoption, implementation shows promising early momentum but faces significant challenges in scaling impact. According to the European Commission, 44 countries had submitted revised national biodiversity strategies and action plans (NBSAPs), with 119 parties having uploaded their national targets to the online reporting tool [81]. This represents substantial but incomplete global engagement with the framework's reporting requirements, as all 196 adopting parties were expected to submit updated NBSAPs following COP15.

The Intergovernmental Platform on Biodiversity and Ecosystem Services (IPBES) emphasizes that immediate action to address the biodiversity crisis could unlock massive business and innovation opportunities, generating $10 trillion and supporting 395 million jobs worldwide by 2030 [81]. Conversely, delaying action on biodiversity goals by even a decade could double the cost of acting now, highlighting the economic urgency alongside ecological imperatives.

Financial Target Benchmarking

The GBF's financial targets represent one of the most challenging yet crucial components for overall success. The framework aims to mobilize at least $200 billion annually by 2030 from all sources—public, private, domestic, and international—while also redirecting $500 billion in harmful subsidies annually by 2030 [80] [55]. The latest data from the Biodiversity Finance Trends Dashboard reveals mixed progress toward these financial goals.

Table 1: Financial Flows Toward GBF Targets

Financial Indicator	Latest Status (2023-2025)	2030 Target	Assessment
International biodiversity finance to developing countries	On track for 2025 target of $20B [55]	$30B annually [80]	Moderate progress
Total biodiversity finance mobilization	Insufficient pace [55]	$200B annually [80]	Significant gap
Harmful subsidy reduction	102 countries have biodiversity-positive incentives; 16 assessing harmful flows [55]	Reduce by $500B annually [80]	Limited progress
Private finance commitment	620 organizations ($20T AUM) committed to nature reporting [82]	Full business integration [80]	Promising momentum
Biodiversity finance gap	$700B annually [55]	Close gap by 2030 [55]	Major challenge

The 2025 Dashboard indicates that biodiversity finance from multilateral development banks has shown a strong year-on-year increase, and private finance for Nature-based Solutions saw a marked increase in 2023 [55]. However, the overall pace of progress remains insufficient to close the $700 billion annual biodiversity finance gap identified in the KMGBF.

Protected Area and Conservation Targets

Target 3 of the GBF, known as "30x30," aims to ensure that at least 30% of terrestrial, inland water, and marine and coastal areas are effectively conserved and managed by 2030 through protected areas and other effective area-based conservation measures [80]. Current progress toward this target shows significant ambition but implementation challenges:

- **Terrestrial protection**: Currently at approximately 17% globally, requiring nearly a doubling of protected area [83]
- **Marine protection**: Currently at approximately 8% globally, requiring almost a quadrupling of protected area [83]
- **Management effectiveness**: The target emphasizes "effectively conserved and managed" areas, moving beyond mere percentage coverage to qualitative aspects of management [80]

The GBF also emphasizes that conservation should be achieved through "ecologically representative, well-connected and equitably governed systems," recognizing indigenous and traditional territories where applicable [80]. This represents a significant evolution from previous protected area targets by incorporating principles of connectivity, representation, and equity.

Business Integration and Disclosure

Target 15 of the GBF requires businesses to regularly monitor, assess, and transparently disclose their risks, dependencies, and impacts on biodiversity [80]. Progress toward this target is accelerating rapidly, with the Taskforce on Nature-related Financial Disclosures (TNFD) serving as a primary implementation mechanism.

Table 2: TNFD Adoption Metrics (2025 Status Report)

Adoption Metric	Status	Significance
Total organizations committed	620 [82]	Represents $20T in assets under management [82]
TNFD Forum members	>1,800 organizations globally [82]	Demonstrates widespread engagement
Geographical distribution	42% Asia Pacific, 32% Europe [84]	Global reach with regional variation
Sector participation	Manufacturing (25%), Food/Beverage/Agriculture (19%), Materials (8%) [84]	Cross-sectoral engagement
Financial sector participation	Commercial banks (22%), Asset management (22%), Insurance (10%) [84]	Strong financial sector engagement

According to the TNFD 2025 Status Report, 63% of surveyed organizations now believe natural factors are equally or more important to their future financial outlook than climate issues, indicating a significant shift in risk perception [82]. Furthermore, 78% of early adopters are integrating their nature and climate reporting, leveraging the structural similarities between TNFD and the Task Force on Climate-related Financial Disclosures (TCFD) [84].

Methodologies for Assessing GBF Implementation

Technical Protocols for Biodiversity Monitoring

Researchers tracking GBF implementation require standardized methodologies to ensure comparable data across jurisdictions and temporal scales. The following technical approaches represent current best practices:

Spatial Planning and Protection Assessment (Target 1)

- Utilize GIS-based analysis with satellite imagery to track land- and sea-use change
- Implement the Integrated Biodiversity Assessment Tool (IBAT) which incorporates IUCN Red List of Threatened Species, World Database on Protected Areas, and Key Biodiversity Areas database [85]
- Apply the "Red List of Ecosystems" protocol to assess ecosystem integrity and risk of collapse

Species Recovery and Genetic Diversity Monitoring (Target 4)

- Combine field surveys with environmental DNA (eDNA) analysis for non-invasive species monitoring [82]
- Implement genetic marker-based assessments of population diversity and adaptive potential
- Use camera trapping and acoustic monitoring for threatened species population estimates

Pollution Reduction Tracking (Target 7)

- Establish baseline nutrient cycling efficiency using isotopic tracing methods
- Monitor pesticide risks through environmental sampling and chromatography-mass spectrometry
- Implement plastic pollution assessment via riverine and oceanic sampling with polymer identification through spectroscopic methods

Financial Flow Assessment Methodologies

Tracking financial resources against GBF Targets 18 and 19 requires specialized methodological approaches:

- **Biodiversity Finance Mapping**: The Biodiversity Finance Trends Dashboard employs OECD tracking systems with a two-year reporting cycle, categorizing flows by source (public, private, multilateral) and purpose [55]
- **Harmful Subsidy Identification**: The BIOFIN methodology provides guidance for countries to identify, assess, and reform subsidies harmful to biodiversity through policy review and impact assessment [55]
- **Private Finance Alignment**: The TNFD framework provides assessment protocols for businesses to evaluate their nature-related risks, dependencies, and impacts through the LEAP approach (Locate, Evaluate, Assess, Prepare) [84]

Experimental Workflow for Corporate Biodiversity Assessment

For researchers evaluating business compliance with GBF Target 15, the following workflow provides a structured assessment methodology:

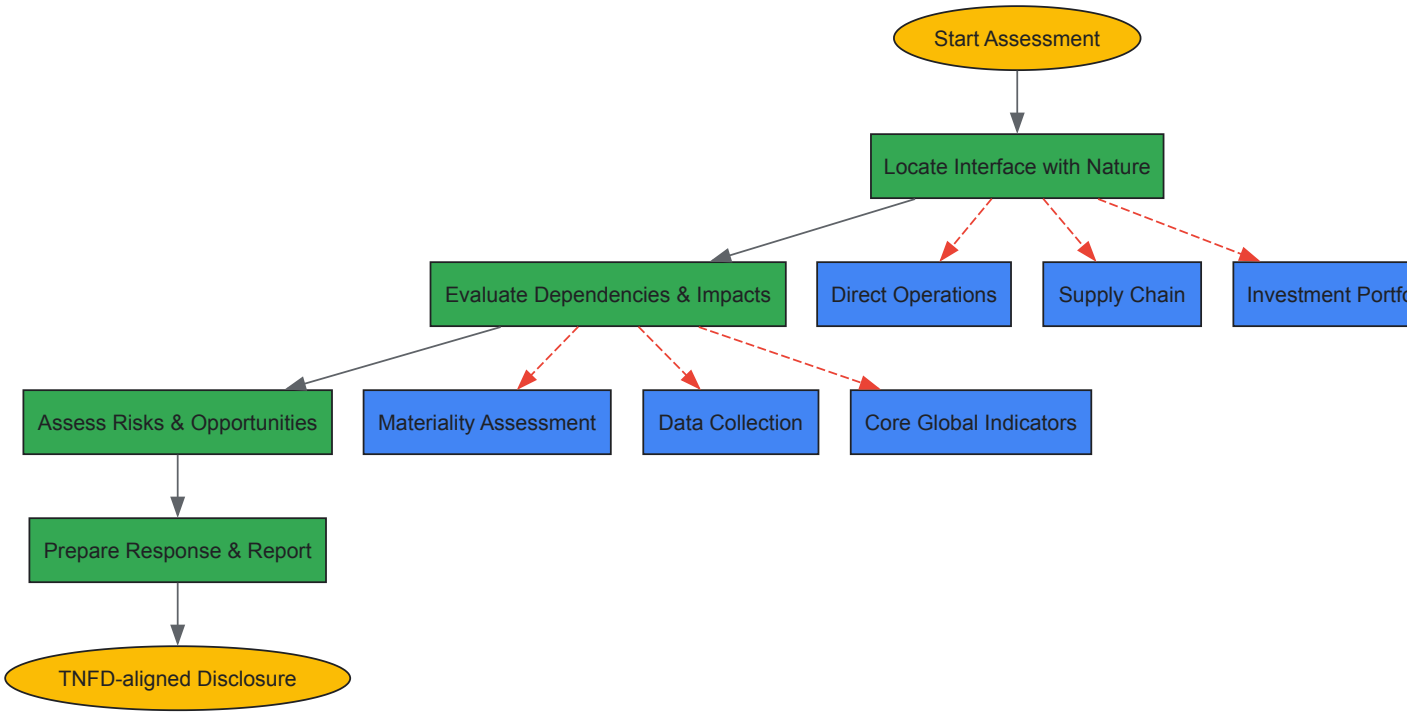

Diagram 1: Corporate Biodiversity Assessment Workflow

Research Reagent Solutions for Biodiversity Monitoring

Table 3: Essential Research Tools for GBF Implementation Studies

Research Tool Category	Specific Examples	Research Application	Technical Function
Genetic Analysis Tools	eDNA sampling kits [82], DNA barcoding primers, portable sequencers	Species monitoring (Target 4), Ecosystem integrity (Target 2)	Non-invasive species detection and biodiversity assessment
Remote Sensing Platforms	Satellite imagery (Landsat, Sentinel), drones with multispectral sensors, LiDAR	Spatial planning (Target 1), Protected area monitoring (Target 3), Ecosystem restoration (Target 2)	Land use change detection, habitat mapping, degradation assessment
Environmental Sampling Kits	Nutrient concentration test kits, pesticide residue analysis, microplastic sampling gear	Pollution reduction tracking (Target 7), Sustainable agriculture (Target 10)	Quantifying pollutant levels, monitoring reduction targets
Species Identification Databases	IUCN Red List API, IBAT platform [85], Barcode of Life Database (BOLD)	Species conservation (Target 4), Sustainable wild species use (Target 5, 9)	Species identification, threat status assessment, population trends
Financial Tracking Systems	Biodiversity Finance Dashboard [55], OECD biodiversity finance markers, TNFD reporting portal	Financial resource mobilization (Target 19), Harmful incentive reform (Target 18)	Tracking financial flows, assessing subsidy impacts, monitoring private investments

Critical Implementation Challenges and Research Gaps

Data Limitations and Methodological Constraints

Substantial technical challenges impede comprehensive assessment of GBF implementation progress:

- **Geospatial Data Gaps**: Significant variations in monitoring capacity, particularly in developing countries and marine environments, create spatial biases in implementation data [55]
- **Temporal Lag in Reporting**: Critical financial data operates on a two-year reporting cycle (2025 Dashboard largely reflects 2023 data), creating decision-making delays [55]
- **Indicator Feasibility Disparities**: Organizations report high feasibility (77-83%) for internal operational metrics like water consumption and waste generation, but low feasibility (13-24%) for ecologically complex metrics like species extinction risk and ecosystem condition [84]

- **Integration Challenges**: Only 22% of bilateral climate finance targets biodiversity co-benefits, despite 89% of bilateral biodiversity finance targeting climate co-benefits, indicating asymmetrical policy integration [55]

Capacity and Resource Constraints

Implementation efforts face significant human and technical resource limitations:

- **Staffing Limitations**: Approximately 40% of companies have only 1-2 dedicated staff for nature-related disclosures, creating capacity constraints for comprehensive assessment [82]
- **Technical Expertise Gaps**: Many financial institutions and businesses lack in-house ecological expertise to conduct sophisticated biodiversity impact assessments [84]
- **Financial Resource Gaps**: The persistent $700 billion annual biodiversity finance gap represents a fundamental constraint on implementation across all targets [55]
- **Scientific Infrastructure Limitations**: Inadequate monitoring systems, particularly in developing countries, limit the ability to track progress toward species recovery (Target 4) and ecosystem restoration (Target 2)

Research Priorities and Future Directions

Immediate Research Needs (2025-2026)

To address critical knowledge gaps in GBF implementation, the following research priorities should be emphasized:

- **Standardized Monitoring Protocols**: Development of cost-effective, scalable biodiversity monitoring methods accessible to researchers in resource-limited settings
- **Financial Tracking Innovation**: Research into improved methodologies for tracking private finance flows toward biodiversity objectives and assessing the biodiversity impacts of fiscal policies
- **Policy Integration Studies**: Analysis of successful models for integrating biodiversity considerations across sectoral policies (agriculture, energy, infrastructure) and aligning climate and biodiversity finance
- **Technological Solutions**: Investigation into emerging technologies (e.g., AI-based monitoring, blockchain for supply chain transparency, enhanced remote sensing) for improving the scale and accuracy of implementation tracking

Institutional and Coordination Mechanisms

Effective GBF implementation requires enhanced scientific infrastructure and coordination:

- **Knowledge Sharing Platforms**: The network of regional Centres for Scientific and Technical Cooperation being established under the CBD provides infrastructure for capacity building and methodology harmonization [81]
- **Data Infrastructure Initiatives**: The proposed "Nature Data Public Facility" aims to address current data challenges by systematizing upgrades across the entire data value chain [84]
- **Indigenous and Local Knowledge Integration**: The new Subsidiary Body strengthening the institutional voice of Indigenous Peoples and Local Communities creates opportunities for more inclusive knowledge systems in GBF monitoring [81]

Midway through the critical decade of GBF implementation, progress shows a mixed picture. Encouraging developments in policy adoption, financial mobilization, and business engagement are evident, yet the pace and scale of implementation remain insufficient to achieve the framework's 2030 targets. The research community has a critical role to play in addressing persistent methodological challenges, developing innovative monitoring approaches, and providing the robust evidence base needed to accelerate implementation.

The coming years represent a crucial window for refining assessment methodologies, scaling proven solutions, and addressing critical knowledge gaps. With COP30 in the Brazilian Amazon providing a strategic opportunity to enhance integration between climate and biodiversity agendas, and with continued development of technical guidance through mechanisms like TNFD, researchers have multiple pathways to contribute to the evidence base supporting GBF implementation [83]. The success of the framework will depend not only on political will and financial resources, but also on the scientific community's ability to provide timely, rigorous, and actionable assessment of progress toward its ambitious targets.

Within the critical research areas of biodiversity and ecosystem services, selecting appropriate conservation strategies is a fundamental challenge for researchers and practitioners. This whitepaper provides a technical comparison between two predominant approaches: **Protected Areas (PAs)** and **Integrated Landscape Management (ILM)**. Protected Areas are clearly defined geographical spaces, recognized, dedicated, and managed, through legal or other effective means, to achieve the long-term conservation of nature with associated ecosystem services and cultural values [86]. In contrast, Integrated Landscape Management is a long-term collaboration among different groups of land managers and stakeholders to achieve their multiple objectives and expectations within a landscape for local livelihoods, health, and well-being [87]. Framed within broader thesis research on biodiversity, this analysis examines the core principles, quantitative outcomes, and experimental methodologies for evaluating these strategies, providing a scientific foundation for conservation decision-making.

Core Principles and Conceptual Frameworks

The conceptual underpinnings of Protected Areas and Integrated Landscape Management reveal fundamentally different approaches to achieving conservation goals, each with distinct strengths and applications.

Protected Areas (PAs)

The Protected Area strategy is based on the principle of **area-based conservation**, aiming to shield ecosystems from destructive human pressures through designated zones. This approach is central to international targets, most notably the **Kunming-Montreal Global Biodiversity Framework**, which calls for the conservation of at least **30% of terrestrial and marine areas by 2030** (Target 3) [88] [86]. PAs primarily focus on **biodiversity safeguarding** and **ecosystem functioning**, operating under the assumption that minimizing anthropogenic disturbance preserves ecological integrity. Management is typically characterized by **formal governance structures** and **legal protection statuses**, such as the IUCN protected area categories which range from strict nature reserves to protected areas with sustainable use [86].

Integrated Landscape Management (ILM)

Integrated Landscape Management represents a **multi-objective, stakeholder-driven approach** that explicitly recognizes the social, economic, and ecological complexity of landscapes [89]. ILM operates on the principle of **multifunctionality**, seeking to reconcile and synergize competing land uses—including agriculture, industry, conservation, and human settlements—rather than segregating them [87]. The approach is guided by several cross-cutting principles adopted by the Convention on Biological Diversity, including: **continuous learning and adaptation**, **multiple stakeholders**, **clarification of rights and responsibilities**, and **participatory monitoring** [87]. Unlike PAs which often establish boundaries, ILM focuses on **processes and relationships** across a scale "large enough to produce vital ecosystem services and small enough to be managed by the people using the land" [87].

Table 1: Conceptual Comparison of Protected Areas and Integrated Landscape Management

Feature	Protected Areas (PAs)	Integrated Landscape Management (ILM)
Primary Objective	Biodiversity conservation through habitat protection [86]	Multifunctional landscapes balancing ecological, social & economic objectives [87]
Governance Approach	Typically state-led or formally designated management [86]	Multi-stakeholder collaboration across sectors [89] [87]
Spatial Strategy	Segregation of conservation areas from human activities [86]	Integration of conservation with production systems [87]
Temporal Focus	Long-term preservation of ecological integrity [86]	Adaptive management through continuous learning [87]
Key Biodiversity Framework	Kunming-Montreal GBF Target 3 (30x30) [88]	CBD Landscape Approach Principles [87]

Conceptual Workflow of Conservation Strategy Selection

The following diagram illustrates the logical decision process for selecting and implementing these conservation strategies, highlighting their distinct pathways and potential integration points.

Figure 1: Conservation Strategy Selection Workflow

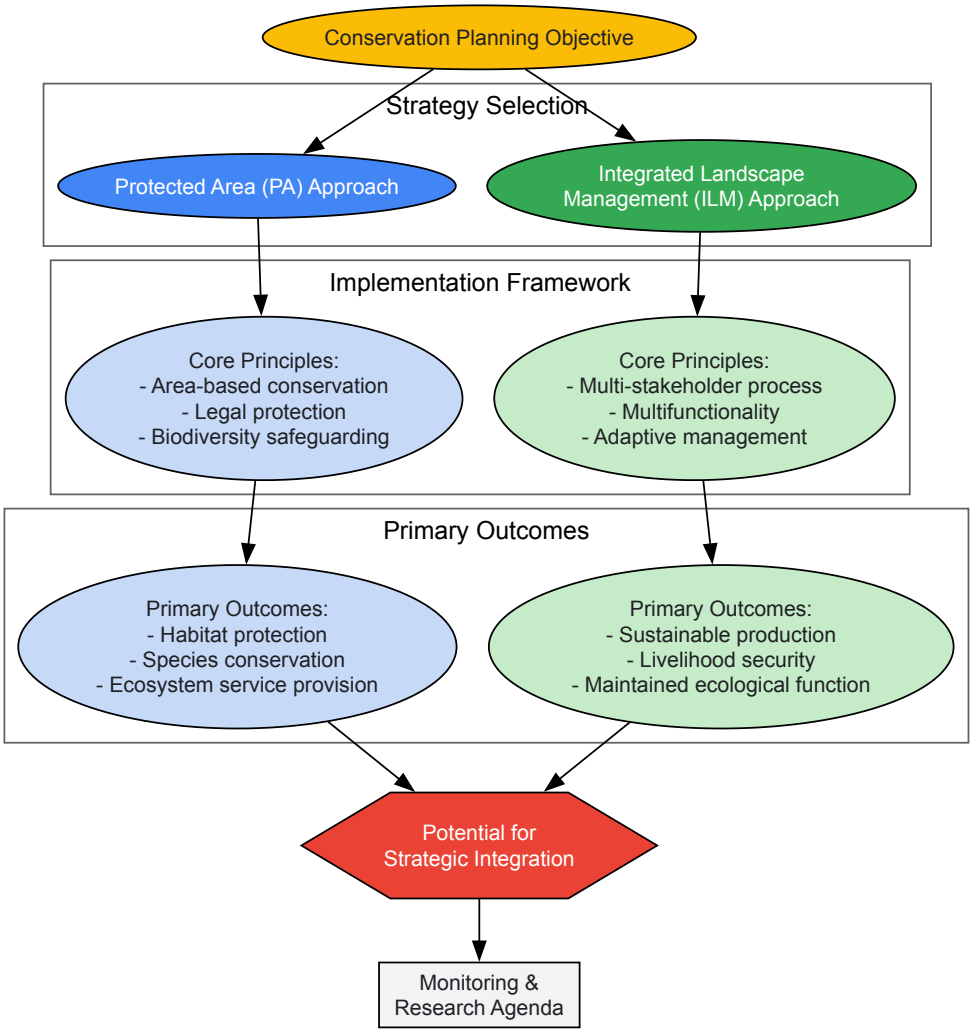

Quantitative Outcomes and Ecosystem Service Delivery

Robust quantitative assessments are essential for evaluating the effectiveness of conservation strategies. Research demonstrates that both PAs and ILM generate significant, though distinct, ecological and ecosystem service benefits.

Protected Areas Performance Metrics

Protected Areas deliver measurable benefits for biodiversity conservation and critical ecosystem functions. A comprehensive global assessment of achieving the "30x30" target (protecting 30% of terrestrial area) reveals substantial gains:

Table 2: Projected Global Benefits from Achieving 30% Terrestrial Protected Area Target [90]

Benefit Category	Projected Gain	Percentage of Global Potential
Species Conservation	1,134 ± 175 vertebrate species gaining habitat protection	47% of which are IUCN threatened species
Climate Change Mitigation	10.9 ± 3.6 $GtCO_2$ $year^{-1}$ of avoided emissions or sequestration	28.4 ± 9.4% of nature-based climate mitigation potential
Nutrient Regulation	142.5 ± 31.0 MtN $year^{-1}$ of nutrient pollution mitigation	28.5 ± 6.2% of global nutrient regulation potential

Beyond these global projections, empirical studies confirm that PAs effectively supply diverse ecosystem services, including **carbon storage**, **flood and climate regulation**, **soil erosion control**, **food provision**, **freshwater supply**, and **recreation opportunities** [86]. However, the capacity of PAs to deliver these services is threatened by ongoing degradation, with approximately **one-third of global protected areas estimated to be degraded** under strong human pressure [86].

Integrated Landscape Management Outcomes

While ILM outcomes are more context-dependent and less easily quantified at global scales, successful implementations demonstrate significant benefits. The **Kagera Transboundary Agro-ecosystem Management Project** across Burundi, Rwanda, Tanzania, and Uganda showcases the potential of integrated approaches. Through testing and adapting sustainable land management practices, the project enhanced **ecosystem service delivery** while supporting **sustainable livelihoods** and contributing to **development goals** [87]. ILM explicitly targets the **optimization of ecosystem functions and services** within defined landscapes, including **food and agricultural production**, **economic development**, **socio-cultural support**, and **ecological regulation** of nutrients, carbon stocks, and water resources [87].

Table 3: Comparative Ecosystem Service Performance Metrics

Ecosystem Service	Protected Areas Performance	Integrated Landscape Management Performance
Biodiversity Conservation	High direct protection; 1134±175 species benefit from 30% expansion [90]	Context-dependent; enhances connectivity between habitats [87]
Climate Regulation	10.9±3.6 $GtCO_2$ $year^{-1}$ mitigation potential at 30% coverage [90]	Integrates carbon storage with production systems [87]
Water Quality Regulation	142.5±31.0 MtN $year^{-1}$ nutrient regulation at 30% coverage [90]	Manages upstream-downstream interactions across watersheds [87]
Food Provision	Limited direct production; potential conflict with agriculture [86]	Explicitly integrates sustainable agricultural production [87]
Livelihood Support	Potential restrictions on resource access [88]	Direct focus on livelihood security and economic development [89]

Methodological Approaches for Researchers

This section provides technical protocols for researchers investigating the effectiveness of both conservation strategies, with particular emphasis on ecosystem service quantification and stakeholder engagement methodologies.

Experimental Protocol for Assessing Ecosystem Services in Protected Areas

Objective: To systematically map and assess ecosystem service provision within protected areas to inform management decisions and evaluate conservation effectiveness.

Methodology: The following workflow outlines the key phases in conducting a comprehensive ecosystem service assessment in protected areas:

Figure 2: Ecosystem Service Assessment in Protected Areas

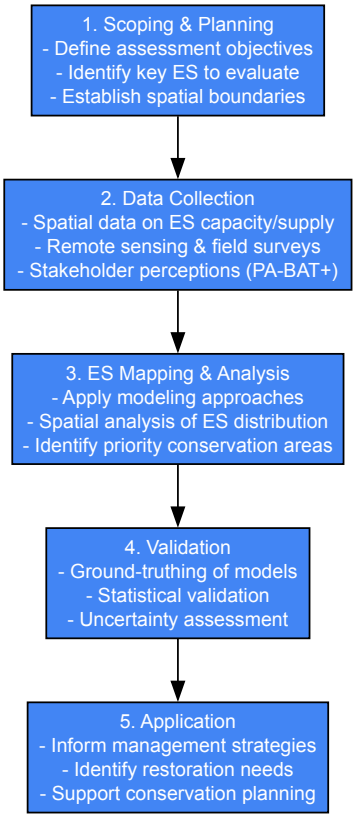

Key Technical Components:

- **Spatial Analysis:** Utilize GIS and remote sensing technologies to model ecosystem service provision. Common approaches include:
  - **InVEST models** (Integrated Valuation of Ecosystem Services and Tradeoffs) for carbon storage, nutrient regulation, and habitat quality [86]
  - **Land use/land cover (LULC) based assessments** correlating land cover types with ecosystem service capacity
  - **Participatory mapping** to incorporate local knowledge and values
- **Ecosystem Service Classification:** Adopt standardized classification systems such as:
  - **Common International Classification of Ecosystem Services (CICES)** [86]
  - **Millennium Ecosystem Assessment categories** (provisioning, regulating, cultural, supporting) [91]
- **Stakeholder Engagement:** Implement the **Protected Areas Benefits Assessment Tool+ (PA-BAT+)** to document local stakeholder perceptions of ecosystem service flows through structured, participatory workshops [91]. This qualitative approach complements quantitative spatial data.
- **Validation:** Employ ground-truthing through field surveys, statistical validation of models, and uncertainty assessment to ensure robustness of findings [86].

Experimental Protocol for Monitoring Integrated Landscape Management

Objective: To evaluate the ecological, social, and economic outcomes of integrated landscape management interventions through multi-stakeholder processes and multidisciplinary assessment.

Methodology: The ILM assessment follows a cyclical, adaptive management approach as depicted below:

Figure 3: ILM Assessment & Adaptive Management Cycle

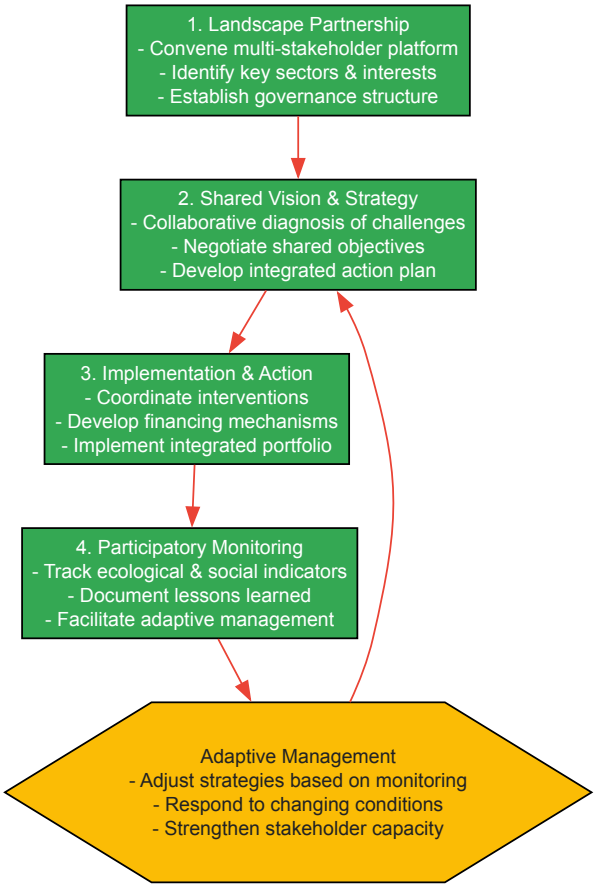

Key Technical Components:

- **Multi-Stakeholder Processes:** Establish and maintain inclusive governance structures that engage:
  - **Local communities and indigenous peoples** [87]
  - **Government agencies** across sectors (agriculture, environment, planning)
  - **Private sector actors** and **civil society organizations** [89]
- **Indicator Development:** Create multidisciplinary indicator frameworks that capture:
  - **Ecological indicators:** Habitat quality, biodiversity metrics, ecosystem service flows
  - **Social indicators:** Livelihood benefits, conflict resolution, capacity building
  - **Economic indicators:** Production yields, income diversification, benefit distribution
- **Participatory Monitoring:** Implement the FAO's approach for **"participatory and user-friendly monitoring"** that engages local stakeholders in data collection and interpretation [87]. This enhances local ownership and leverages traditional knowledge.
- **Adaptive Management:** Establish formal processes for **continuous learning and adaptation** based on monitoring results, changing conditions, and emerging challenges [87].

This section provides technical resources and methodological tools for researchers conducting comparative analyses of conservation strategies.

Table 4: Essential Research Tools for Conservation Strategy Assessment

Tool/Method	Primary Application	Key Features	Conservation Strategy
PA-BAT+ (Protected Areas Benefits Assessment Tool+)	Documenting stakeholder-perceived ecosystem service flows [91]	Participatory workshop methodology; standardized benefit categories; qualitative assessment	Protected Areas
InVEST Models (Integrated Valuation of ES & Tradeoffs)	Spatial modeling of ecosystem services [86]	Open-source suite of models; maps service provision & tradeoffs; scenario evaluation	Both

Tool/Method	Primary Application	Key Features	Conservation Strategy
ILM Practical Guide (1000 Landscapes)	Implementing integrated landscape management [89]	Five-element framework; stakeholder engagement tools; adaptive management guidance	Integrated Landscape Management
Spatial Analysis & Remote Sensing	Mapping ecosystem services & landscape patterns [86]	GIS-based analysis; land cover classification; change detection; habitat connectivity	Both
PERAC Principles (Protection of Environment in Armed Conflict)	Assessing environmental protection in conflict zones [92]	27 draft principles; conflict cycle coverage; integrates IHL, IEL & human rights law	Both (conflict contexts)
ICRC Guidelines	IHL application to natural environment [93]	32 rules & recommendations; practical military guidance; environmental Martens clause	Both (conflict contexts)

This comparative analysis demonstrates that both Protected Areas and Integrated Landscape Management offer distinct yet complementary approaches to biodiversity conservation and ecosystem service provision. **Protected Areas** provide measurable, targeted conservation benefits with demonstrated effectiveness in safeguarding species and critical ecosystem functions, particularly when implemented at scale (e.g., the 30x30 target). Conversely, **Integrated Landscape Management** offers a more flexible, inclusive framework for addressing the complex interplay of ecological, social, and economic objectives across multifunctional landscapes. The choice between these strategies depends fundamentally on conservation goals, socio-ecological context, and governance capacity. Rather than representing mutually exclusive options, these approaches can be strategically combined within comprehensive conservation planning, with PAs serving as core biodiversity reservoirs within broader landscapes managed through ILM principles. For researchers, robust assessment requires specialized methodological tools—from spatial ecosystem service modeling to participatory monitoring frameworks—that can capture the diverse ecological and socio-economic outcomes generated by these contrasting conservation paradigms.

Within the critical research areas of biodiversity and ecosystem services, Nature-based Solutions (NbS) have emerged as essential approaches for addressing interconnected crises of climate change, biodiversity loss, and food insecurity [94]. These solutions harness ecosystems and natural processes to provide environmental and societal benefits while supporting biological diversity. This technical guide examines two prominent NbS applications—mangrove restoration and agroecological interventions—through empirical case studies and quantitative metrics. As international commitments such as the Kunming-Montreal Global Biodiversity Framework and the UN Decade on Ecosystem Restoration gain momentum [95], robust validation of NbS outcomes becomes increasingly crucial for scientific credibility, policy development, and conservation funding. This whitepaper provides researchers and practitioners with standardized methodologies and evaluation frameworks for assessing the ecological and functional effectiveness of these interventions.

Mangrove Restoration: Biodiversity and Coastal Protection Services

Ecological Significance and Threat Context

Mangroves represent among the most productive ecosystems in the biosphere, situated at the critical land-sea interface [96] [97]. These ecosystems provide a multitude of ecosystem services including coastal protection, carbon sequestration, water purification, and habitat provision for commercially important species [97]. Despite their immense value, mangroves face significant threats from aquaculture expansion, coastal development, pollution, and climate change impacts such as sea-level rise [97]. The global implementation costs of restoring mangrove forests have recently been quantified to support prioritization and funding allocation for international conservation commitments [95].

The UNESCO MangRes Project: A Regional Case Study

The UNESCO Man and the Biosphere (MAB) Programme's "Mangrove restoration as a nature-based solution in biosphere reserves in Latin America and the Caribbean" (MangRes Project, 2022-2025) provides a comprehensive framework for mangrove restoration [96]. This initiative employs scientific assessment combined with local knowledge across seven biosphere reserves, enhancing ecosystem services through targeted restoration and conservation activities.

Table 1: UNESCO MangRes Project Implementation Across Biosphere Reserves

Biosphere Reserve	Country	Restoration Activities	Community Engagement
Seaflower	Colombia	Restoring hurricane-damaged mangroves with scientific guidance	Fostering dialogue and aligning local efforts
Guanahacabibes	Cuba	Restoring red mangroves, documenting local knowledge	Training reserve managers

Biosphere Reserve	Country	Restoration Activities	Community Engagement
Macizo del Cajas	Ecuador	Uniting scientists, authorities, and locals to restore mangroves	Participatory restoration planning
Jiquilisco-Xirihualtique	El Salvador	Assessing mangroves, strengthening governance	Promoting youth participation
La Encrucijada	Mexico	Restoring mangroves, tackling invasive species	Building youth networks
Darién	Panama	Training locals in mangrove restoration	Employing NbS with Indigenous Emberá-Wounaan communities
Noroeste Amotapes-Manglares	Peru	Restoring mangroves, supporting crab cooperatives	Promoting awareness in local communities

Mangrove Restoration Experimental Protocol

Site Assessment and Baseline Evaluation

- **Geospatial Mapping**: Utilize satellite imagery (Landsat 8 OLI, 30m resolution; MODIS, 500m resolution) to establish pre-restoration baseline conditions [98].
- **Biodiversity Surveys**: Conduct transect-based floristic surveys to document existing mangrove species composition and associate fauna.
- **Sediment Core Sampling**: Collect 1m sediment cores using Russian peat corers for carbon stock assessment (analyze bulk density, organic matter content, carbon concentration).
- **Hydrological Assessment**: Monitor tidal inundation patterns, salinity gradients, and porewater chemistry using installed piezometers.

Restoration Implementation Methodology

- **Ecological Restoration**: Apply appropriate techniques based on site conditions, including:
  - **Direct Planting**: Propagate nursery-grown seedlings of native species (*Rhizophora mangle*, *Avicennia germinans*, *Laguncularia racemosa*) in degraded areas with appropriate hydrology.
  - **Hydrological Rehabilitation**: Restore tidal flow by removing barriers or installing water control structures in impounded areas.
  - **Biomimetic Structures**: Deploy brush piles or other temporary structures to mimic natural prop roots and enhance sediment accumulation in highly eroded sites.

Post-Restoration Monitoring Protocol

- **Structural Metrics**: Measure tree density, height, diameter at breast height (DBH), and canopy cover quarterly using standardized field protocols.
- **Biodiversity Monitoring**: Conduct quarterly bird point counts, pitfall trapping for invertebrates, and fish sampling in adjacent waters.
- **Carbon Stock Assessment**: Annually resample sediment cores to quantify carbon accumulation rates and aboveground biomass development.
- **Remote Sensing Validation**: Deploy hyperspectral imagery (AVIRIS) and Multiple Endmember Spectral Mixture Analysis (MESMA) to quantify fractional vegetation cover and monitor ecosystem health at landscape scales [98].

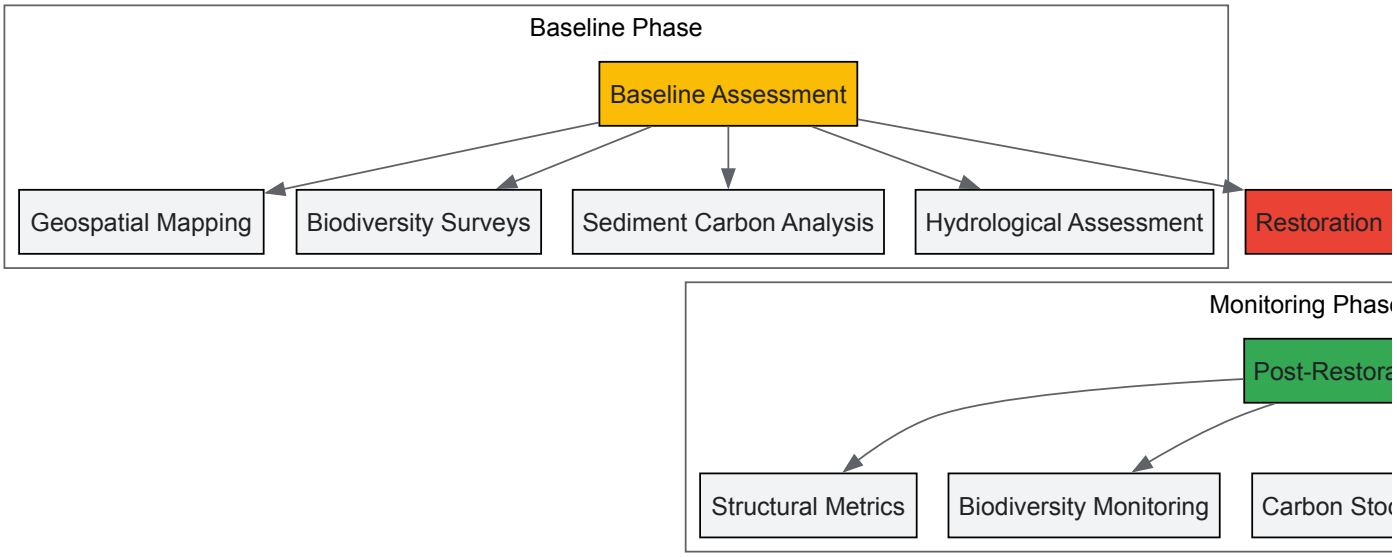

Mangrove restoration monitoring workflow illustrating the sequential phases from baseline assessment through outcome evaluation.

Mangrove Research Reagent Solutions

Table 2: Essential Research Materials for Mangrove Ecosystem Monitoring

Research Reagent/Equipment	Technical Specification	Application in Mangrove Research
Hyperspectral Imaging Sensor	AVIRIS-class airborne sensor (400-2500nm range)	Quantification of vegetation health, species discrimination, and biomass estimation [98]
Piezometer	2.5cm diameter PVC wells with slotted screen	Monitoring of groundwater salinity, nutrient levels, and tidal influence on soil conditions
Dendrometer	Stainless steel diameter tape (precision ±0.1mm)	Measurement of mangrove growth rates and biomass accumulation
Soil Corer	Russian peat corer (50cm length)	Collection of undisturbed sediment samples for carbon stock assessment
Portable Water Quality Meter	Multi-parameter probe (pH, salinity, dissolved oxygen)	In-situ monitoring of hydrochemical conditions affecting mangrove health
DNA Extraction Kit	Commercial soil DNA extraction kit with inhibitor removal	Molecular analysis of microbial communities involved in nutrient cycling

Agroecology: Biodiversity and Ecosystem Service Enhancement

Agroecology as a Nature-Based Solution

Agroecology applies ecological principles to agricultural systems, emphasizing biodiversity, biological cycles, and soil health while reducing external inputs [99]. This approach represents a critical NbS for sustainable food production that simultaneously addresses biodiversity conservation and climate change mitigation. Modern agricultural intensification has significantly contributed to environmental degradation and biodiversity loss, creating an urgent need for farming systems that optimize ecosystem services [99].

Meta-Analysis Evidence for Agroecological Benefits

A comprehensive meta-analysis of European agricultural systems demonstrated that agroecological interventions significantly increase biodiversity across all studied functional groups [100]. This analysis classified interventions along a gradient from input substitution to system redesign, finding

positive effects for both transition types. The research revealed a win-win situation in most studies where both biodiversity and climate change mitigation data were recorded, driven particularly by changes in micro-decomposer biodiversity and soil carbon storage [100].

Table 3: Quantitative Impacts of Agroecological Interventions on Biodiversity and Climate Metrics

Functional Group/Parameter	Effect Size	Confidence Interval	Significance Level
Pollinator Diversity	+42%	[35%, 49%]	$p < 0.001$
Soil Micro-decomposer Diversity	+57%	[48%, 66%]	$p < 0.001$
Bird Species Richness	+28%	[19%, 37%]	$p < 0.01$
Soil Carbon Storage	+19%	[14%, 24%]	$p < 0.001$
Nitrous Oxide Emissions	-22%	[-18%, -26%]	$p < 0.01$

Agricultural Landscape Biodiversity Study Protocol

Experimental Design for Agroecological Assessment

- **Site Selection**: Identify paired conventional and agroecological farms across representative agricultural land-use types (annual crops, perennial systems, mixed farming).
- **Sampling Transects**: Establish permanent 100m transects extending from field margins to centers across all study sites.
- **Landscape Context Assessment**: Quantify landscape variables using GIS, including forest cover percentage, habitat diversity, and connectivity metrics within 1km radii.

Biodiversity Monitoring Methodology

- **Pollinator Surveys**: Conduct standardized transect walks (15-minute duration) during peak foraging hours (10:00-16:00) with visual identification and net-based collection for uncertain specimens.
- **Soil Fauna Sampling**: Extract soil cores (10cm diameter, 20cm depth) for Berlese-Tullgren funnel extraction of microarthropods and DNA-based analysis of microbial communities.
- **Bird and Beneficial Insect Monitoring**: Deploy point counts (5-minute duration, 50m radius) for avian surveys and pitfall traps (48-hour deployment) for ground-dwelling arthropods.
- **Vegetation Diversity Assessment**: Conduct quadrat sampling ($1m^2$) in field margins and within cropping systems to document plant species richness and abundance.

Ecosystem Service Quantification

- **Pollination Service Assessment**: Implement sentinel pollination experiments using potted phytometer plants (e.g., *Brassica napus*) with exclusion controls to quantify pollination efficacy.
- **Natural Pest Control Evaluation**: Deployment of sentinel pest prey (e.g., *Helicoverpa armigera* eggs) on standardized plants to measure predation and parasitism rates.
- **Soil Health Analysis**: Measure soil organic carbon, aggregate stability, water infiltration rates, and nutrient cycling potential using standardized soil assays.
- **Yield Assessment**: Quantify crop yield and quality parameters through systematic harvesting of designated subplots within each field.

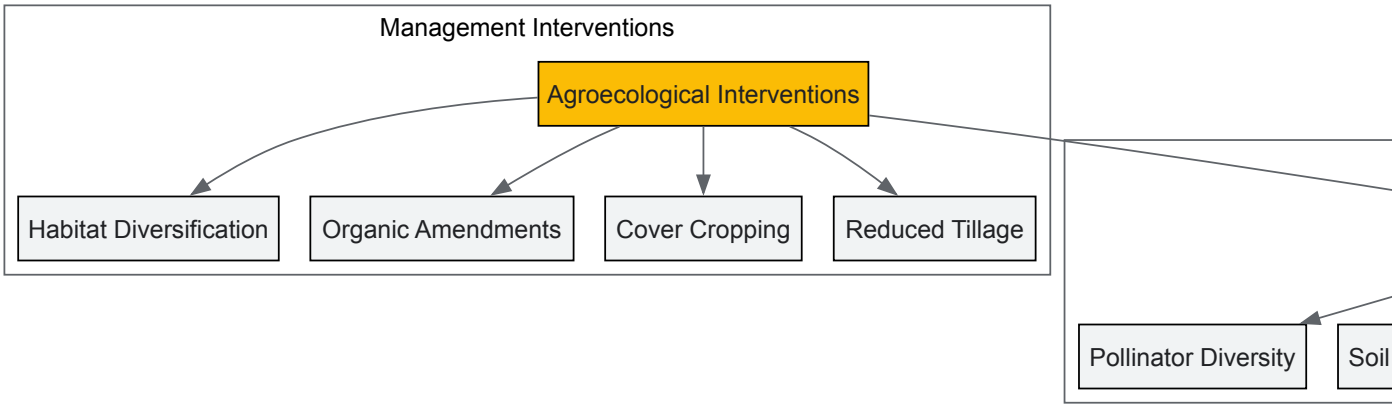

Agroecological intervention pathways showing the causal relationships from management practices through biodiversity enhancement to ecosystem services and agricultural outcomes.

Agroecology Research Reagent Solutions

Table 4: Essential Research Materials for Agroecological Studies

Research Reagent/Equipment	Technical Specification	Application in Agroecology Research
Berlese-Tullgren Extractor	25W bulb heat source, 10cm diameter funnels	Extraction of microarthropods from soil and litter samples for biodiversity assessment
Phytometer Plants	Standardized potted *Brassica napus* or *Vicia faba* plants	Quantification of pollination services through sentinel pollination experiments
Pitfall Traps	500ml plastic containers with preservative (ethylene glycol)	Sampling of ground-dwelling arthropods for natural enemy community assessment
Soil DNA Extraction Kit	Commercial kit with bead-beating disruption	Molecular analysis of soil microbial community composition and functional genes
Portable Photosynthesis System	Infrared gas analyzer with leaf chamber	Measurement of plant physiological responses to management practices
Satellite Imagery	Sentinel-2 multispectral data (10m resolution)	Landscape-scale assessment of habitat diversity and vegetation indices

Comparative Analysis and Research Gaps

Cross-Ecosystem Validation of Nature-Based Solutions

Both mangrove restoration and agroecology demonstrate the capacity of NbS to deliver multiple co-benefits across biodiversity conservation, climate change mitigation, and human well-being. A global analysis of 547 NbS case studies revealed that 63% addressed natural hazards, climate change, and biodiversity loss, while 37% focused on socio-economic challenges [94]. These interventions predominantly generated environmental co-benefits (64%), with social (27%) and economic (9%) co-benefits also being significant [94].

The research highlighted geographical disparities in NbS implementation, with approximately 60% of documented case studies situated in Europe compared to other global regions [94]. This distribution indicates significant knowledge gaps in tropical and developing regions where NbS potential

may be substantial. Additionally, scale limitations were evident, with 92% of interventions implemented at local (50%) and watershed (46%) scales, while very few (4%) operated at landscape scales [94].

Methodological Considerations for Future Research

Future research should address several critical methodological challenges in NbS validation:

- **Standardized Metrics**: Develop unified protocols for quantifying biodiversity and ecosystem service outcomes across different ecosystem types and geographical contexts.
- **Long-Term Monitoring**: Establish permanent monitoring networks to assess NbS resilience and temporal dynamics under climate change pressures.
- **Technological Integration**: Enhance the application of remote sensing technologies like hyperspectral imagery (AVIRIS) and spectral mixture analysis (MESMA) for improved ecosystem monitoring [98].
- **Social-Ecological Linkages**: Better integrate socio-economic assessments with ecological monitoring to comprehensively evaluate NbS effectiveness.
- **Policy Integration**: Strengthen connections between scientific evidence and policy frameworks to facilitate NbS upscaling and mainstreaming in environmental governance.

This technical assessment demonstrates that both mangrove restoration and agroecological interventions represent validated Nature-based Solutions with documented benefits for biodiversity conservation and ecosystem service enhancement. The case studies and meta-analyses presented provide robust evidence that these approaches can simultaneously address multiple environmental challenges, including climate change mitigation, coastal protection, and sustainable food production. As pressure on global ecosystems intensifies, the scientific validation of NbS becomes increasingly crucial for informing policy decisions, guiding conservation investments, and achieving international biodiversity and climate targets. Future research should focus on addressing geographical and scale imbalances in NbS implementation, developing standardized monitoring protocols, and strengthening the science-policy interface to enable broader adoption of these critical approaches.

For decades, **Gross Domestic Product (GDP)** has served as the primary benchmark for evaluating economic performance and guiding policy decisions worldwide. This foundational metric represents the market value of all final goods and services produced within a country's borders in a given year [101]. While invaluable for tracking market economic activity, GDP possesses a critical limitation: it fails to account for the depletion of natural capital and the degradation of ecosystem services that underpin all economic activity [102]. This oversight has created a fundamental disconnect between economic measurement and ecological sustainability, effectively valuing environmental destruction as economic gain while ignoring the costs of ecological loss.

In response to this critical gap, the **Gross Ecosystem Product (GEP)** has emerged as an innovative complementary metric designed to quantify the economic value of ecosystem services within broader economic evaluations [102]. GEP systematically measures the contribution of ecosystems through three primary pathways: direct provisioning of goods (such as timber and water), regulation services (including climate control and water purification), and cultural services (such as tourism and recreational value) that are largely absent from conventional national accounting systems. This framework enables a more comprehensive economic validation of policies and projects by integrating natural capital into decision-making processes, thereby aligning economic development with environmental sustainability within the critical context of biodiversity and ecosystem services research.

Methodological Foundations

GDP Accounting Framework

The GDP accounting framework operates through three primary approaches, all aiming to measure the total economic output of a nation. The **expenditure approach** sums the total spending on final goods and services, calculated as GDP = C + I + G + (X - M), where C is consumption, I is investment, G is government spending, X is exports, and M is imports [103]. The **income approach** aggregates all incomes generated by production, including wages, rents, interest, and profits. The **production approach** calculates the total value added at each stage of production across all industries.

Methodologically, GDP estimates are typically compiled by national statistical agencies using vast arrays of economic data from business surveys, tax records, and trade statistics. In the United States, the Bureau of Economic Analysis (BEA) employs a rigorous process with **multiple estimates** for each quarter—advance, second, and third estimates—each incorporating progressively more complete source data to improve accuracy [103] [104]. These measurements are presented in both **nominal terms** (using current market prices) and **real terms** (adjusted for inflation), with the latter providing a more accurate picture of economic growth by removing the effects of price changes over time [103].

Table 1: Core Methodological Components of GDP Measurement

Component	Description	Measurement Frequency	Key Limitations
Market Production	Value of all final goods and services transacted in markets	Quarterly and Annual	Excludes non-market production
Government Services	Valued at cost of inputs	Quarterly and Annual	Does not measure outcomes or efficiency
Imputed Values	Estimated value of owner-occupied housing and financial services	Annual	Based on models rather than direct measurement
Seasonal Adjustment	Removes predictable seasonal patterns	All releases	Can obscure structural shifts
Revisions	Incorporation of improved and more complete data	Scheduled cycles	Can significantly alter initial growth estimates

GEP Accounting Framework

The GEP accounting framework employs a fundamentally different methodology focused on quantifying the value of ecosystem contributions to human well-being. The calculation involves a **sequential three-stage process**: first, quantifying ecosystem assets and their physical flows of services; second, determining the unit value of each service using various valuation techniques; and third, aggregating the total economic value of all identified ecosystem services [102].

The valuation of ecosystem services in GEP incorporates multiple methodologies depending on data availability and the specific service being valued. **Direct market valuation** applies to ecosystem goods that are traded in markets, such as timber and agricultural products. For regulating services that lack market prices, **revealed preference methods** infer values from observed market behavior, including hedonic pricing (using property values affected by environmental quality) and travel cost methods (deriving value from what people spend to access ecosystems). **Stated preference methods**, including contingent valuation surveys, directly ask individuals about their willingness to pay for specific ecosystem services or their willingness to accept compensation for their loss.

China pioneered the formal standardization of GEP accounting by introducing a **national GEP standard in 2020**, which has since been implemented across multiple governmental levels. By 2023, approximately 200 GEP-related projects were underway across 15 local governments in China [102]. In Zhejiang province, the first to implement GEP rules, officials' performance is evaluated partly based on economic values assigned to local ecosystems, such as the US$43 million value attributed to the Chengtian Radon Spring Nature Reserve, creating powerful incentives for conservation [102].

Table 2: GEP Accounting Methodology for Major Ecosystem Service Categories

Ecosystem Service Category	Valuation Approaches	Data Requirements	Measurement Challenges
Provisioning Services (food, water, raw materials)	Market prices, replacement cost	Production statistics, resource inventories	Overharvesting sustainability adjustments
Regulating Services (climate, air/water purification, flood control)	Avoided cost, replacement cost, damage cost	Biophysical models, monitoring networks	Complex causality, spatial explicit valuation
Cultural Services (recreation, tourism, aesthetic value)	Travel cost, contingent valuation, hedonic pricing	Visitor surveys, property values, social media data	Subjective preferences, cultural differences
Habitat Services (biodiversity maintenance, lifecycle support)	Benefit transfer, contingent valuation, conservation costs	Species inventories, habitat mapping	Non-use values difficult to quantify

Comparative Analysis: GDP vs. GEP

Conceptual and Philosophical Foundations

The philosophical underpinnings of GDP and GEP reflect fundamentally different worldviews regarding human-nature relationships. GDP is grounded in an **anthropocentric and dualistic worldview** that positions humans as separate from and superior to nature, which is treated as a passive resource to be exploited for economic gain [105]. This perspective aligns with the IPBES conceptual framework's "living from nature" life frame, where nature is valued primarily for the material benefits it provides to humans [105].

In contrast, GEP embraces a more **relational and holistic worldview** that recognizes humans as embedded within ecological systems. This aligns with the IPBES "living in and as nature" life frames, acknowledging that human well-being is inextricably linked to ecosystem health and functioning [105]. This philosophical shift enables GEP to account for a broader spectrum of nature's values, including **relational values** (meaningful human-nature relationships that contribute to identity and well-being) and **intrinsic values** (nature's worth independent of human use) that are systematically excluded from GDP calculations [105].

Measurement Priorities and Value Recognition

The differential focus of GDP and GEP leads to contrasting measurement priorities with significant implications for policy and conservation. The table below illustrates how each framework addresses key dimensions of value.

Table 3: Value Recognition in GDP vs. GEP Frameworks

Value Dimension	GDP Treatment	GEP Treatment	Policy Implications
Market vs. Non-Market Values	Prioritizes market values; excludes most non-market values	Explicitly incorporates non-market values	GEP reveals hidden economic contributions of ecosystems
Time Horizon	Short-term focus (quarterly/annual growth)	Long-term perspective (sustainability)	GEP encourages intergenerational equity
Spatial Specificity	National/regional aggregates; not spatially explicit	Spatially explicit; links values to specific ecosystems	GEP enables targeted conservation investments
Substitutability Assumption	Assumes natural capital can be substituted by manufactured capital	Recognizes limited substitutability of critical natural capital	GEP supports precautionary approach to irreversible losses
Well-being Dimensions	Narrow focus on material living standards	Multidimensional well-being (ecological, social, cultural)	GEP aligns with sustainable development goals

Policy Integration and Implementation

The integration of GDP and GEP into policy frameworks follows distinct pathways with different governance requirements. GDP data are used by governments worldwide to guide **fiscal and monetary policy**, with central banks like the Federal Reserve using GDP growth trends when setting monetary policy [103]. The White House and Congress rely on GDP numbers to plan spending and tax policy, while businesses use them to inform decisions about jobs, expansion, and investments [103].

GEP is increasingly being integrated into policy through several innovative mechanisms. **Performance-based conservation** uses GEP to evaluate the effectiveness of environmental programs and the performance of local officials, as demonstrated in China's Zhejiang province [102]. **Spatial planning** applications utilize GEP to identify priority areas for conservation and restoration based on their ecosystem service value. Additionally, GEP informs **payment for ecosystem service schemes** and **biodiversity credit markets** that create economic incentives for conservation by quantifying and monetizing ecological benefits [106].

The emerging field of **nature credit markets** represents a practical application of GEP principles, with governments developing various approaches including principle-driven frameworks (Canada, New Zealand), shared governance models (Colombia, England, France, Germany, United States), and centralized governance frameworks (Australia, India) [106]. These markets operationalize GEP values by creating tradeable units representing quantified conservation outcomes, though significant challenges remain in ensuring equity, inclusion, and ecological integrity [106].

Experimental and Implementation Protocols

GEP Accounting Protocol

Implementing a comprehensive GEP assessment requires a structured methodological protocol encompassing the following key stages:

- **Ecosystem Asset Mapping**: Delineate and classify ecosystem types within the study area using remote sensing data (Landsat, Sentinel), land cover maps, and field validation. The mapping should capture the spatial distribution and extent of forests, wetlands, grasslands, agricultural lands, urban areas, and water bodies at appropriate resolution (typically 10-30m for regional assessments).
- **Ecosystem Service Quantification**: Apply biophysical models to quantify service flows for each ecosystem type. For carbon sequestration, utilize the InVEST Carbon model with region-specific biomass data and sequestration rates. For water purification, apply the InVEST Nutrient Delivery Ratio model using land cover, precipitation, and topographic data. Sediment retention should be modeled using the InVEST Sediment Retention model with rainfall erosivity, soil erodibility, and topographic data. Hydrological flow regulation requires soil water content modeling using the InVEST Seasonal Water Yield model with precipitation, evapotranspiration, and soil depth data.

- **Economic Valuation**: Assign economic values to quantified ecosystem services using appropriate valuation techniques. Apply the social cost of carbon for climate regulation services, water treatment cost savings for water purification, avoided dredging costs for sediment retention, and replacement cost of reservoir capacity for water flow regulation. Conduct sensitivity analysis with value ranges to account for uncertainty.
- **GEP Aggregation and Uncertainty Analysis**: Sum the values of all ecosystem services to calculate total GEP, while carefully documenting double-counting potential and implementing appropriate avoidance measures. Conduct Monte Carlo simulations to quantify uncertainty propagation from both biophysical and economic valuation parameters.
- **Policy Scenario Analysis**: Compare GEP under alternative land-use and management scenarios to evaluate trade-offs and inform decision-making. Assess the GEP impacts of proposed developments, conservation programs, or climate change adaptation strategies.

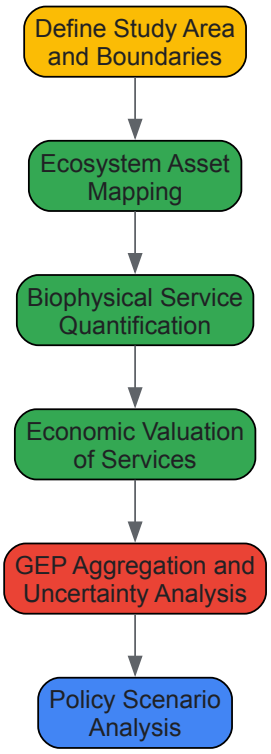

GEP Accounting Workflow

Integrated GDP-GEP Assessment Protocol

For comprehensive economic-environmental validation, researchers can implement an integrated assessment protocol that combines both frameworks:

- **Parallel Accounting Implementation**: Conduct simultaneous GDP and GEP assessments for the same geographic region and time period, ensuring methodological consistency in spatial and temporal boundaries.
- **Trend Analysis**: Analyze temporal trends in both metrics to identify potential decoupling of economic growth from ecosystem degradation or improvement. Calculate the GDP/GEP ratio as an indicator of ecological economic efficiency.
- **Driver Attribution**: Use statistical methods (multivariate regression, path analysis) to identify key socioeconomic and policy drivers influencing both GDP and GEP trends, with particular attention to sectors with high ecological impacts.
- **Trade-off Analysis**: Employ multi-criteria decision analysis to evaluate policy alternatives across both economic and ecological dimensions, identifying win-win scenarios and areas where significant trade-offs exist.
- **Policy Integration**: Develop integrated indicators that combine GDP and GEP metrics, such as "GDP per unit of GEP loss" or composite indices that weight both dimensions according to sustainability priorities.

The Scientist's Toolkit: Research Reagent Solutions

Implementing robust GEP accounting requires specialized methodological tools and data resources. The following table outlines essential components of the GEP research toolkit.

Table 4: Essential Research Toolkit for GEP Accounting

Tool/Resource	Type	Primary Function	Application Context
InVEST Suite (Integrated Valuation of Ecosystem Services and Tradeoffs)	Software Model Suite	Spatially explicit ecosystem service modeling	Core biophysical modeling platform for GEP
ARIES (Artificial Intelligence for Ecosystem Services)	AI-Powered Modeling Platform	Rapid ecosystem service assessment and valuation	GEP accounting in data-scarce regions
Social Cost of Carbon	Valuation Parameter	Monetizes climate regulation services	Carbon sequestration valuation in GEP
Contingent Valuation Surveys	Primary Data Collection Method	Elicits willingness-to-pay for non-market services	Cultural and non-use value assessment
Benefit Transfer Databases	Value Library	Provides pre-estimated values for ecosystem services	Preliminary GEP assessment when primary data limited
Nature Credit Methodologies (e.g., IAPB Principles)	Standardization Framework	Ensures integrity of biodiversity credit markets	GEP application in conservation finance

Discussion: Research Gaps and Future Directions

Despite significant methodological advances, several critical research challenges remain in refining and implementing the GEP framework. **Value pluralism** represents a fundamental frontier, as current GEP methodologies still struggle to adequately capture the full spectrum of nature's values, particularly relational, intrinsic, and shared social values that resist monetization [105]. Developing complementary non-monetary indicators alongside GEP would create a more comprehensive multi-dimensional assessment framework that respects value incommensurability while still enabling decision-relevant comparisons.

Technical methodological challenges persist in several areas, including the treatment of ecosystem service interdependencies and double-counting risks, spatial and temporal scaling issues in service valuation, and uncertainty propagation through biophysical and economic models. Significant data limitations also hamper GEP implementation, particularly the lack of comprehensive baseline ecological data and fragmented information on land tenure, especially where Indigenous Peoples and local communities are key actors [106].

The **equity and justice dimensions** of GEP accounting require greater attention, as current frameworks often lack explicit measures to uphold Indigenous Peoples and local communities' rights and ensure equitable benefit sharing [106]. Protocols ensuring free, prior and informed consent, "no harm" provisions, benefit-sharing mechanisms, and respect for data sovereignty remain conspicuously absent in many implementations [106]. This represents a critical research priority given that Indigenous Peoples and local communities steward approximately 80% of the world's remaining biodiversity.

Future research should prioritize several key directions: developing **standardized GEP accounting protocols** that enable cross-regional comparisons while allowing for local contextualization; advancing **dynamic modeling approaches** that capture ecological thresholds and non-linear changes in ecosystem services; creating **participatory valuation methodologies** that incorporate diverse knowledge systems and value perspectives; and designing **policy integration mechanisms** that effectively embed GEP within public and private decision-making processes from local to national scales.

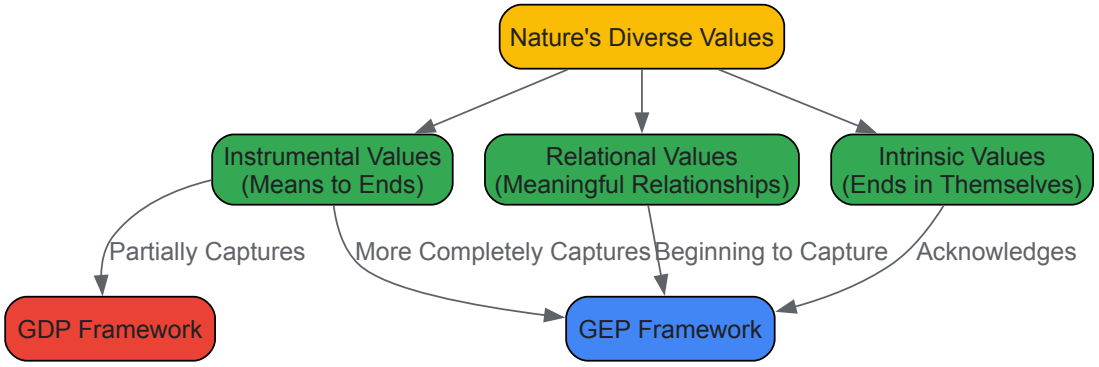

Value Dimensions in Economic Frameworks

The comparative analysis of GDP and GEP accounting frameworks reveals their complementary yet distinct roles in economic validation. While GDP remains an essential metric for tracking market economic activity, its systematic exclusion of natural capital depletion and ecosystem degradation renders it inadequate as a sole indicator for sustainable development policy. GEP addresses this critical gap by quantifying the economic value of ecosystem services, thereby making visible the invisible contributions of nature to human well-being.

The integration of GEP alongside GDP creates a more comprehensive economic validation framework capable of identifying trade-offs and synergies between economic development and ecological conservation. This integrated approach is particularly crucial within biodiversity and ecosystem services research, where demonstrating the economic significance of conservation investments can redirect financial flows toward nature-positive outcomes. As governments worldwide increasingly adopt nature credit markets and other conservation finance mechanisms [106], robust GEP accounting methodologies will become essential for ensuring these markets deliver genuine, additional, and equitable biodiversity outcomes.

Ultimately, the transformation toward a relational biodiversity economics that transcends people-nature dualism requires fundamental shifts in how we conceptualize, measure, and value our relationships with the natural world [105]. By embedding value pluralism within economic decision-making, GEP represents a significant step toward an economic paradigm that seeks the simultaneous flourishing of both human and ecological communities, aligning economic measurement with the imperative of planetary health.

Nature has served as a profound source of medicinal compounds for millennia, with plants, fungi, and other organisms providing chemical blueprints for addressing human disease. This tradition continues in modern pharmaceutical science, where **natural products** and their derivatives remain indispensable for drug development. Today, more than **40% of pharmaceutical formulations** are derived from natural sources, a figure that rises to over 60% for cancer treatments [107] [108]. These compounds offer unparalleled chemical diversity, honed by billions of years of evolutionary selection for biological activity.

However, this vital resource faces unprecedented threats. Biodiversity loss is accelerating at an alarming rate, with extinction rates estimated to be **1,000 to 10,000 times higher** than natural background levels [107]. This erosion of genetic diversity directly impacts drug discovery potential; some estimates suggest our planet is losing at least **one important drug every two years** [109]. Simultaneously, advances in technology are creating new opportunities to explore nature's molecular treasure trove with increasing sophistication. This whitepaper provides a technical framework for researchers navigating the complex journey from ecological specimen to clinically validated therapeutic, emphasizing sustainable and ethical practices crucial for preserving this invaluable discovery pipeline.

Market and Scientific Context

The market for botanical and plant-derived drugs demonstrates significant and growing commercial and therapeutic importance, driven by consumer preference for natural solutions and advancements in extraction technologies.

Table 1: Global Botanical and Plant-Derived Drugs Market Projections

Metric	2025 (Estimate)	2032 (Projection)	CAGR (2025-2032)
Market Size	US$ 61.6 Billion	US$ 114.1 Billion	9.2%
Leading Source Segment	Herbal Plants (~70% share)	-	-
Dominant End-Use	Pharmaceuticals (>60% share)	-	-
Historical Growth (CAGR 2019-2024)	8.5%	-	-

Source: Persistence Market Research [110]

North America currently dominates the market with a **39% share**, while the Asia-Pacific region is the fastest-growing market, propelled by its rich history of traditional medicine systems like Ayurveda and Traditional Chinese Medicine (TCM) [110]. The nutraceuticals segment is experiencing particularly rapid growth, reflecting a global shift toward preventive healthcare [110].

Promising Therapeutic Areas and Recent Discoveries

Biodiversity-derived compounds continue to yield breakthroughs in addressing critical unmet medical needs. Key areas of progress include:

- **Antimicrobial Resistance (AMR)**: A molecule extracted from European chestnut leaves has demonstrated potent activity against methicillin-resistant *Staphylococcus aureus* (MRSA), offering a potential new weapon against drug-resistant bacteria [107].
- **Neurodegenerative Diseases**: Galantamine, a natural alkaloid from snowdrop bulbs, is now used as a synthesized treatment for Alzheimer's disease, while water hyssop is being investigated for its anti-inflammatory effects on the brain [107].
- **Oncology**: A marine bacterium from deep-sea environments is being explored as a potential treatment for aggressive brain cancer, and the venom of the *Polybia paulista* wasp is being studied for its ability to target and destroy cancer cells [107].

The Validation Workflow: From Field to Clinic

Translating a raw ecological sample into a validated pharmaceutical lead requires a multi-stage, iterative process. The following diagram outlines the core workflow, integrating ecological, analytical, and biological validation steps.

Diagram 1: Biodiversity Drug Validation Workflow.

Stage 1: Ethical Sourcing and Sustainable Collection

The initial stage sets the foundation for both scientific and ethical integrity.

- **Prior Informed Consent and Benefit-Sharing**: Future efforts must consider the interests of indigenous people, respect their knowledge, and ensure equitable benefit distribution [109]. The Cali Fund is an emerging benefit-sharing mechanism for digital genetic sequence data [55].
- **Voucher Specimen Deposition**: A physical specimen must be deposited in a recognized herbarium or museum with a unique accession number to provide a permanent taxonomic record.
- **Geo-Referencing and Habitat Data**: Precise GPS coordinates, soil type, associated species, and climatic data should be recorded, as environmental factors significantly influence metabolic profiles [109].
- **Sustainable Harvesting Practices**: Collection must adhere to principles that ensure species and population survival. For vulnerable species like the Pacific yew (source of paclitaxel), advanced cultivation or biotechnological alternatives are essential [107].

Stage 2: Bioactivity Screening and Compound Identification

This stage focuses on identifying the active component(s) and their initial biological characterization.

- **High-Throughput Phenotypic Screening**: Modern screening employs complex disease-relevant cell models, including **3D organoids** and **organ-on-a-chip** systems, which provide more physiologically relevant data than traditional 2D cultures [111]. These New Approach Methodologies (NAMs) can improve predictive accuracy for human outcomes.

- **Bioassay-Guided Fractionation**: This iterative process couples a robust biological assay (e.g., inhibition of cancer cell growth) with sequential chemical separation (e.g., chromatography) to isolate the active compound from the crude extract.
- **Structural Elucidation**: Advanced analytical techniques are used to determine the precise chemical structure of the active compound.
  - **Liquid Chromatography-Mass Spectrometry (LC-MS/MS)**: For separation and initial mass determination.
  - **Nuclear Magnetic Resonance (NMR) Spectroscopy**: (1D & 2D) For definitive atomic-level structure characterization.
  - **High-Resolution Mass Spectrometry (HRMS)**: For determining exact molecular formula.

Stage 3: Preclinical Development and Optimization

Leads that pass initial screens enter a rigorous optimization and safety assessment pipeline.

- **Medicinal Chemistry and Structure-Activity Relationship (SAR)**: The natural compound is often used as a scaffold for synthetic modification to improve its **drug-like properties**. SAR studies systematically modify different parts of the molecule to understand which features are critical for activity versus toxicity.
- **In Vitro ADMET Profiling**: Early assessment of Absorption, Distribution, Metabolism, Excretion, and Toxicity is critical. This includes:
  - **Caco-2 cell assays** for predicting intestinal permeability.
  - **Microsomal stability assays** (human liver) to predict metabolic clearance.
  - **hERG channel binding assays** to assess cardiac toxicity risk.
  - **CYP450 inhibition assays** to predict drug-drug interactions.
- **Mechanism of Action (MoA) Studies**: De-riscing clinical development requires understanding *how* the compound works. Techniques include:
  - **Transcriptomics/Proteomics**: To identify gene/protein expression changes.
  - **CRISPR-Cas9 knock-out/screening**: To identify essential cellular targets.
  - **Cellular Thermal Shift Assay (CETSA)**: To confirm direct target engagement in cells.
- **In Vivo Efficacy and Safety**: Traditionally tested in animal models, though the field is shifting. The **FDA Modernization Act 2.0** now permits the use of alternative NAMs, such as sophisticated in vitro human-based systems and in silico models, to establish safety and efficacy [111]. These can provide more human-relevant data and reduce reliance on animal studies.

Key Signaling Pathways for Biodiversity-Derived Drugs

Understanding the molecular pathways targeted by natural compounds is essential for rational drug development. The following diagram illustrates common pathways modulated by successful biodiversity-derived therapeutics.

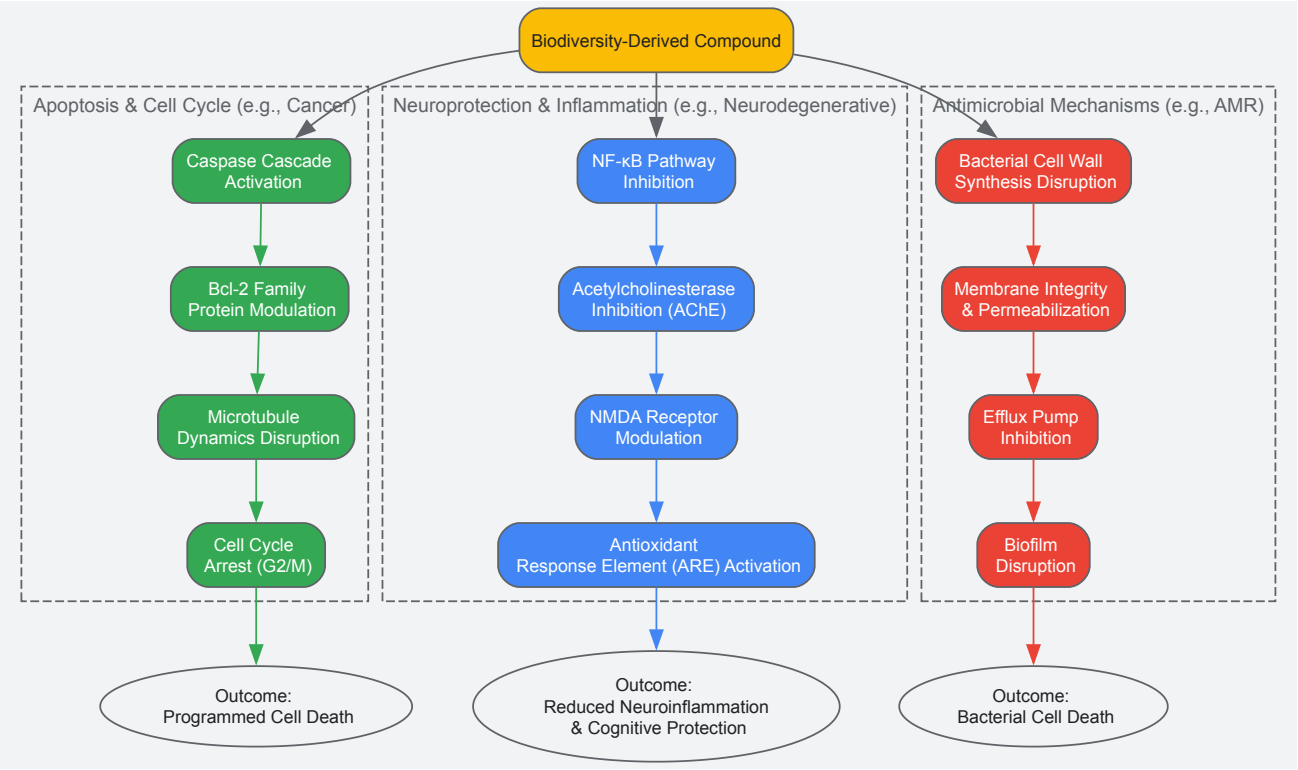

Diagram 2: Key Pathways for Biodiversity-Derived Drugs.

The Scientist's Toolkit: Essential Research Reagents and Materials

Successful validation of biodiversity-derived leads relies on a suite of specialized reagents and platforms.

Table 2: Key Research Reagent Solutions for Biodiversity Drug Validation

Reagent/Material	Primary Function	Application Notes
Patient-Derived Organoids	3D cell cultures that mimic in vivo organ structure/function for efficacy/toxicity testing.	More physiologically relevant than 2D cultures; used in advanced preclinical screening [111].
Organ-on-a-Chip Systems	Microfluidic devices lined with living human cells for modeling human physiology.	Used by companies (e.g., Roche, J&J with Emulate) to predict human-specific toxicity and efficacy [111].
LC-MS/MS & NMR Reagents	Solvents, columns, and standards for compound separation, quantification, and structure elucidation.	Critical for bioassay-guided fractionation and definitive structural characterization of novel compounds.
CYP450 Isozyme Panels	Human liver microsomes or recombinant enzymes for predicting metabolic stability and drug interactions.	Essential for in vitro ADMET profiling; helps identify compounds with high metabolic clearance.
hERG Channel Assay Kits	In vitro kits for assessing inhibition of the hERG potassium channel (a key cardiac safety liability).	Early identification of compounds with potential for causing fatal arrhythmias (Torsades de Pointes).
CRISPR-Cas9 Libraries	Tool for genome-wide knockout screens to identify drug targets and mechanism of action.	Enables systematic identification of essential genes and pathways for compound activity.

Sustainability and Ethical Considerations

The pursuit of biodiversity-derived medicines must be inextricably linked with conservation and ethical practice. The alarming loss of biodiversity—with **almost half of the world's flowering plants facing extinction**—represents a direct threat to future drug discovery [108]. Researchers and corporations must adopt a stewardship role.

- **Sustainable Sourcing and Cultivation**: Over-harvesting of medicinal plants like snowdrops and Pacific yew has pushed species toward extinction [107]. Solutions include shifting to cultivated sources and employing biotechnological approaches. For example, transferring biosynthetic pathways to yeast creates "cell factories" for complex molecules like artemisinin, reducing pressure on wild populations [107].
- **Adherence to International Frameworks**: The **Nagoya Protocol** on Access and Benefit-Sharing provides a legal framework for ensuring that benefits from genetic resources are shared fairly and equitably with countries and indigenous communities of origin [109].
- **Adoption of a Circular Economy**: Pharmaceutical manufacturing is adopting Lean principles and circular models to reduce waste. Companies are exploring **biodegradable, paper-based packaging** and optimizing processes to minimize water and solvent use, aligning with broader pharmaceutical sustainability goals [112].

Financial Context and the Path Forward

Scaling up biodiversity-based drug discovery requires significant investment, and the financial landscape is evolving. A **$700 billion annual biodiversity finance gap** has been identified, highlighting the need for increased funding from public, private, and philanthropic sources [55]. Promisingly, private finance is mobilizing, with organizations representing **$20 trillion in Assets Under Management** now committed to reporting their impacts on nature [55]. Innovative mechanisms like **green bonds** and **biodiversity credits** are emerging to direct capital toward conservation and sustainable research [113].

The future of biodiversity-derived drug discovery lies in the convergence of **advanced technologies** and **international, interdisciplinary collaboration**. AI and machine learning can accelerate the screening and optimization of natural compounds [114], while consortia like **Bio2Bio (Biodiversity-to-Biomedicine)** are building unified frameworks for sharing resources and data across borders [109]. By harnessing these tools and fostering collaborative, ethical models, researchers can continue to translate the immense chemical innovation of nature into the next generation of life-saving medicines.

Conclusion

The critical research areas in biodiversity and ecosystem services converge on a singular imperative: the need for integrative, predictive, and policy-relevant science. Foundational research continues to reveal the profound, but often inadequately quantified, dependence of human health and economic stability on nature's variety. Methodological breakthroughs, particularly in forecasting genetic diversity, promise a more complete understanding of ecological resilience. However, significant challenges in scaling, data integration, and managing anthropogenic pressures remain. Validating these efforts through robust policy frameworks like the GBF and economic metrics like GEP is essential for translating science into action. For biomedical and clinical research, the implications are direct—accelerating the discovery of nature-derived compounds and mitigating zoonotic disease risks require the immediate conservation of genetic and species diversity. The future of drug discovery and a resilient biosphere are inextricably linked, demanding unprecedented cross-disciplinary collaboration.

References

- 1. The Global Carbon Budget: FAQs 2025 [https://globalcarbonbudget.org/gcb-2025/the-global-carbon-budget-faqs-2025/]
- 2. Updated monitoring priorities for 2025–2028 [https://www.biodiversa.eu/2025/04/24/updated-biodiversity-monitoring-priorities-for-2025-2028/]
- 3. Method for the quantitative evaluation of ecosystem ... [https://pmc.ncbi.nlm.nih.gov/articles/PMC6336092/]
- 4. Half of the World's Most Critical Biodiversity Sites Remain ... [https://newsroom.wcs.org/News-Releases/articleType/ArticleView/articleId/25274/Half-of-the-Worlds-Most-Critical-Biodiversity-Sites-Remain-Undiscovered.aspx]
- 5. Quantifying Nature: Introducing NatureScore™ and ... [https://pmc.ncbi.nlm.nih.gov/articles/PMC10876217/]
- 6. Spending at least 120 minutes a week in nature is ... [https://www.nature.com/articles/s41598-019-44097-3]
- 7. The Ultimate Guide to Biodiversity Net Gain (BNG): A 2025 ... [https://www.bng.ai/blog/the-ultimate-guide-to-biodiversity-net-gain-a-2025-perspective/]
- 8. Climate and health strategies must address the biodiversity ... [https://www.statnews.com/2025/10/20/biodiversity-loss-health-climate-change-policy/]
- 9. Metrics for biodiversity and health policy integration - PMC [https://pmc.ncbi.nlm.nih.gov/articles/PMC12212572/]
- 10. Progress in regulating ecosystem services research [https://www.nature.com/articles/s40494-025-01674-2]
- 11. Future Projections of Biodiversity Under Global Change ... [https://pmc.ncbi.nlm.nih.gov/articles/PMC12379566/]
- 12. A strong science-policy interface now for climate and ... [https://www.idos-research.de/en/the-current-column/article/a-strong-science-policy-interface-now-for-climate-and-biodiversity/]
- 13. How biodiversity conservation adapts to climate change [https://www.frontiersin.org/journals/climate/articles/10.3389/fclim.2025.1646318/full]
- 14. A business guide to using biodiversity data [https://www.biodiversa.eu/2025/10/27/a-business-guide-to-using-biodiversity-data/]
- 15. Bioprospecting and optimized production of the terrestrial ... [https://cordis.europa.eu/programme/id/HORIZON_HORIZON-CL6-2025-01-CIRCBIO-08]
- 16. Microbial Blue Bioprospecting: Exploring the Advances of ... [https://pmc.ncbi.nlm.nih.gov/articles/PMC12565130/]
- 17. Ecosystem Services Justice: The Emergence of a Critical ... [https://www.sciencedirect.com/science/article/pii/S2212041624000627]
- 18. Top 5 Drug Discovery Trends 2025 Driving Breakthroughs [https://www.pelagobio.com/cetsa-drug-discovery-resources/blog/drug-discovery-trends-2025/]
- 19. Emerging New Drug Modalities in 2025 [https://www.bcg.com/publications/2025/emerging-new-drug-modalities]
- 20. The latest trends in drug discovery [https://www.cas.org/resources/cas-insights/2025-drug-discovery-trends]
- 21. Bioprospecting Trichoderma: A Systematic Roadmap to ... [https://pmc.ncbi.nlm.nih.gov/articles/PMC10512312/]
- 22. Lessons from our approach to bioprospecting in ticks [https://research.arcadiascience.com/pub/perspective-approach-bioprospecting-ticks/release/1/]
- 23. Food web structure and ecosystem multifunctionality in a ... [https://www.nature.com/articles/s41598-025-25395-5]
- 24. Habitat complexity drives food web structure along a ... [https://www.sciencedirect.com/science/article/pii/S0025326X23010329]
- 25. Unraveling the Influence of Structural Complexity ... [https://pmc.ncbi.nlm.nih.gov/articles/PMC11830571/]
- 26. The complex structure of aquatic food webs emerges from ... [https://www.nature.com/articles/s41559-025-02647-1]
- 27. Soil biodiversity and function under global change [https://journals.plos.org/plosbiology/article?id=10.1371/journal.pbio.3003093]
- 28. Enhancing the Valuation of Cultural Ecosystem Services ... [https://www.mdpi.com/2073-445X/14/2/280]
- 29. Global blind spots in soil health research overlap with ... [https://www.nature.com/articles/s43247-025-02663-w]
- 30. The Research Gap between Soil Biodiversity and ... [https://www.mdpi.com/2571-8789/8/3/97]
- 31. The impact of green landscape on the socio-cultural value ... [https://link.springer.com/article/10.1007/s11355-025-00677-2]
- 32. harnessing genetic data to meet conservation commitments [https://www.sciencedirect.com/science/article/abs/pii/S0168952523001816]
- 33. Global meta-analysis shows action is needed to halt ... [https://www.nature.com/articles/s41586-024-08458-x]
- 34. The importance of genomic variation for biodiversity, ... [https://www.nature.com/articles/s41576-020-00288-7]
- 35. Genetic diversity affects ecosystem functions across trophic ... [https://pmc.ncbi.nlm.nih.gov/articles/PMC11925449/]
- 36. Power and limitations of the mutations-area relationship to ... [https://ecoevorxiv.org/repository/view/4793/]
- 37. Process-explicit models reveal the structure and dynamics of ... [https://pmc.ncbi.nlm.nih.gov/articles/PMC9355350/]
- 38. A unified framework for analysis of individual-based ... [https://www.nature.com/articles/s41467-019-12172-y]
- 39. Assessing adequacy of citizen science datasets for ... [https://pmc.ncbi.nlm.nih.gov/articles/PMC10830347/]
- 40. What are EBVs? [https://geobon.org/ebvs/what-are-ebvs/]
- 41. Essential biodiversity variables for mapping and monitoring ... [https://www.nature.com/articles/s41559-019-0826-1]
- 42. Gross Ecosystem Product (GEP) (China) [https://naturalcapitalproject.stanford.edu/research/projects/gross-ecosystem-product]
- 43. Gross Ecosystem Product (GEP) Accounting and ... [https://www.mdpi.com/2073-4441/17/22/3321]
- 44. Towards implementing workflows for essential biodiversity ... [https://www.sciencedirect.com/science/article/pii/S2351989425003002]
- 45. GEO Biodiversity Observation Network [https://earthobservations.org/groups/geo-biodiversity-observation-network]
- 46. Metrics - Terrascope 2024 - MIT [https://terrascope2024.mit.edu/?page_id=157]

- 47. Assessing ecosystem service value dynamics and ... [https://www.frontiersin.org/journals/environmental-science/articles/10.3389/fenvs.2025.1648758/full]
- 48. Understanding Success Criterion 1.4.11: Non-text Contrast [https://www.w3.org/WAI/WCAG21/Understanding/non-text-contrast.html]
- 49. Understanding Graphics Contrast - W3C on GitHub [https://w3c.github.io/wcag21/understanding/21/graphics-contrast.html]
- 50. FAQs - Science Based Targets [https://sciencebasedtargets.org/faqs]
- 51. Corporate commitments to nature have evolved since 2022 [https://www.mckinsey.com/industries/agriculture/our-insights/corporate-commitments-to-nature-have-evolved-since-2022]
- 52. Biodiversity targets [https://sciencebasedtargetsnetwork.org/companies/take-action/set-targets/biodiversity-targets/]
- 53. How to Choose Good Biodiversity Metrics [https://natcapresearch.com/blog/how-to-choose-good-biodiversity-metrics]
- 54. Biodiversity Finance Trends Dashboard 2025 (accessible ... [https://www.gov.uk/government/publications/biodiversity-finance-trends-2025/biodiversity-finance-trends-dashboard-2025-accessible-version]
- 55. Halfway to 2030: What the Biodiversity Finance Dashboard ... [https://www.nature.org/en-us/about-us/where-we-work/europe/stories-in-europe/biodiversity-finance-dashboard-2025/]
- 56. Advancing the Future of Biodiversity Data [https://b-cubed.eu/news/b-cubed-living-data-2025-advancing-future-biodiversity-data]
- 57. Biodiversity [https://www.who.int/news-room/fact-sheets/detail/biodiversity]
- 58. Dynamic perspectives on biodiversity quantification [https://pmc.ncbi.nlm.nih.gov/articles/PMC11470763/]
- 59. Living Data 2025 - Information that together, transforms [https://www.livingdata2025.com/]
- 60. Biodiversity experimental design - CREEM [https://www.creem.st-andrews.ac.uk/research/biodiversity/biodiversity-experimental-design/]
- 61. 2025 - Biodiversity Modelling Summer School [https://www.usherbrooke.ca/ecoles-de-pointe/en/biology/2025-biodiversity-modelling]
- 62. Visualizing and interacting with large-volume biodiversity ... [https://www.sciencedirect.com/science/article/pii/S1574954116300097]
- 63. Trends and gaps in biodiversity and ecosystem services ... [https://pmc.ncbi.nlm.nih.gov/articles/PMC9666618/]
- 64. Ecosystem services—current challenges and opportunities ... [https://www.frontiersin.org/journals/ecology-and-evolution/articles/10.3389/fevo.2014.00087/full]
- 65. How can we ... address dataset scarcity challenges and ... [https://science.ai.cam.ac.uk/machine-learning/2025/03/31/how-can-we-address-dataset-scarcity-challenges-and-mitigate-algorithmic-bias-to-build-better-ai-healthcare-tools]
- 66. Addressing bias in big data and AI for health care [https://pmc.ncbi.nlm.nih.gov/articles/PMC8515002/]
- 67. FAIR Principles [https://www.go-fair.org/fair-principles/]
- 68. Global extent and change in human modification of terrestrial ecosystems from 1990 to 2022 | Scientific Data [https://www.nature.com/articles/s41597-025-04892-2]
- 69. Frontiers | Predicting changes in land use and land cover using remote sensing and land change modeler [https://www.frontiersin.org/journals/environmental-science/articles/10.3389/fenvs.2025.1540140/full]
- 70. Valuing biodiversity and ecosystem services: a useful way to ... [https://pmc.ncbi.nlm.nih.gov/articles/PMC5204147/]
- 71. Assessing ecosystem service trade-offs and synergies [https://pmc.ncbi.nlm.nih.gov/articles/PMC6722157/]
- 72. Biodiversity and ecosystem services [https://www.lunduniversity.lu.se/research-and-innovation/research-excellence-areas/strategic-research-areas/biodiversity-and-ecosystem-services]
- 73. Evaluation and optimization of ecosystem services under ... [https://www.sciencedirect.com/science/article/pii/S1470160X2101181X]
- 74. Economic values for ecosystem services: A global ... [https://www.sciencedirect.com/science/article/pii/S2212041624000123]
- 75. Case Studies on Business and Biodiversity [https://www.cbd.int/business/ressources/case-studies.shtml]
- 76. Next stop on the journey to to Nature Positive by 2030 [https://www.naturepositive.org/news/blog/blog-next-stop-on-the-journey-to-to-nature-positive-by-2030-metric-and-actions/]
- 77. Balancing the books of nature by accounting for ecosystem ... [https://www.nature.com/articles/s41598-024-62137-5]
- 78. Towards 30×30 biodiversity targets: Potential contributions ... [https://www.sciencedirect.com/science/article/pii/S2950476725000078]
- 79. Kunming-Montreal Global Biodiversity Framework [https://www.cbd.int/gbf]
- 80. 2030 Targets (with Guidance Notes) [https://www.cbd.int/gbf/targets]
- 81. Landmark GBF shows results two years on, but work must ... [https://environment.ec.europa.eu/news/landmark-gbf-shows-results-two-years-work-must-continue-2024-12-19_en]
- 82. 自然相关风险管理与信息披露专题| 第四期| 《TNFD 2025进展 ... [https://www.ifs.net.cn/news/1915]
- 83. 气候行动| 迈向2025：如何实现气候与自然共赢？ [https://wri.org.cn/guandian/qihouxingdong-maixiang2025ruheshixianqihouyuzirangongying]
- 84. 「沉默的外部性」終結！30兆資本拉警報、TNFD正在走入你的 ... [https://www.reccessary.com/zh-cn/insight/tnfd-2025-status-report]
- 85. 【观点】评估与管理金融机构生物多样性风险《中国金融》 [https://syntaogf.com/info-detail/2]
- 86. Mapping ecosystem services in protected areas. A ... [https://www.sciencedirect.com/science/article/pii/S0048969723078786]
- 87. Integrated Landscape Management | Land & Water [https://www.fao.org/land-water/overview/integrated-landscape-management/en/]
- 88. Protected areas and ecosystem services [https://www.international-climate-initiative.com/en/funding-priorities/protecting-and-restoring-habitats/]
- 89. Integrated Landscape Management Practical Guide [https://landscapes.global/guide/intro/]
- 90. Gains in biodiversity conservation and ecosystem services ... [https://pmc.ncbi.nlm.nih.gov/articles/PMC9159568/]

- 91. Guide to identifying ecosystem services in protected areas [https://iucn.org/news/commission-environmental-economic-and-social-policy/202009/guide-identifying-ecosystem-services-protected-areas]
- 92. The ILC Draft Principles on Protection of the Environment in ... [https://lieber.westpoint.edu/ilc-protection-environment-armed-conflict/]
- 93. The protection of the natural environment under international ... [http://international-review.icrc.org/articles/protection-of-the-natural-environment-under-ihl-icrc-2020-guidelines-924]
- 94. A global analysis of NBS case studies [https://pubmed.ncbi.nlm.nih.gov/37527720/]
- 95. Implementation costs of restoring global mangrove forests [https://www.sciencedirect.com/science/article/pii/S259033222500168X]
- 96. Mangrove restoration as a nature-based solution in ... [https://www.unesco.org/en/mab/mangres]
- 97. Biodiversity, Health, and Ecosystem Services of Mangroves [https://www.mdpi.com/1999-4907/16/8/1278]
- 98. SARP East 2025 Ecohydrology Group [https://www.nasa.gov/science-research/earth-science/sarp-east-2025-ecohydrology-group/]
- 99. Biodiversity in an agroecological landscape [https://www.cgiar.org/research/publication/biodiversity-agroecological-landscape-harnessing-ecosystem-services-agriculture/]
- 100. Agroecological interventions increase biodiversity and the ... [https://www.sciencedirect.com/science/article/pii/S0167880925004700]
- 101. List of countries by GDP (nominal) [https://en.wikipedia.org/wiki/List_of_countries_by_GDP_(nominal)]
- 102. Gross ecosystem product [https://en.wikipedia.org/wiki/Gross_ecosystem_product]
- 103. Gross Domestic Product [https://www.bea.gov/resources/learning-center/what-to-know-gdp]
- 104. Gross Domestic Product, 2nd Quarter 2025 (Third Estimate ... [https://www.bea.gov/news/2025/gross-domestic-product-2nd-quarter-2025-third-estimate-gdp-industry-corporate-profits]
- 105. Toward a relational biodiversity economics: Embedding plural ... [https://pmc.ncbi.nlm.nih.gov/articles/PMC12519078/]
- 106. New Global Study Maps Policy for Nature Credit Markets ... [https://www.ecosystemmarketplace.com/articles/new-global-study-maps-policy-for-nature-credit-markets-revealing-diverse-approaches-across-six-continents/]
- 107. How biodiversity loss is jeopardising the drugs of the future [https://www.theguardian.com/environment/2021/oct/09/how-biodiversity-loss-is-jeopardising-the-drugs-of-the-future]
- 108. How biodiversity loss impacts medicine and human health [https://www.weforum.org/stories/2023/11/biodiversity-nature-loss-health-medicine/]
- 109. Biodiversity, drug discovery, and the future of global health [https://pmc.ncbi.nlm.nih.gov/articles/PMC5735771/]
- 110. Botanical and Plant-Derived Drugs Market Forecast 2032 [https://www.persistencemarketresearch.com/market-research/botanical-plant-derived-drugs-market.asp]
- 111. How new approach methodologies are reshaping drug ... [https://www.mckinsey.com/industries/life-sciences/our-insights/the-synthesis/how-new-approach-methodologies-are-reshaping-drug-discovery]
- 112. Top Trends in Pharmaceutical Sustainability for 2025 - BioFocus [https://www.bio-focus.co.uk/sustainability/top-trends-in-pharmaceutical-sustainability-for-2025]
- 113. Why Every Company Needs a Biodiversity Strategy in 2025 [https://thepalladiumgroup.com/news/Why-Every-Company-Needs-a-Biodiversity-Strategy-in-2025]
- 114. Pharmaceutical industry trends 2025, outlook and strategies [https://www.zs.com/insights/pharmaceutical-trends-2025-outlook-ai-supplychain-and-beyond]